Census of India, 1931

VOLUME XVII

PUNJAB

PART I.

REPORT

BY

KHAN AHMAD HASAN KHAN, M A , K S ,
SUPERINTENDENT OF CENSUS OPERATIONS
PUNJAB & DELHI

1933
PRINTED AT T "CIVIL AND MILITARY GAZETTE" PRESS
Lahore
Pr : Rs. 4-12-0 or 7s. 2d.

Revised List of Agents for the Sale of Punjab Government Publications.

ON THE CONTINENT AND UNITED KINGDOM.

Publications obtainable either direct from the High Commissioner for India, at India House, Aldwych, London, W. C. 2, or through any book seller :—

IN INDIA.

The GENERAL MANAGER, "The Qaumi Daler" and the Union Press, Amritsar.

Messrs. D. B. TARAPOREWALA, SONS & Co., Bombay.

Messrs. W. NEWMAN & Co. Limited, Calcutta.

Messrs. THACKER SPINK & Co., Calcutta.

Messrs. RAMA KRISHNA & SONS, Lahore.

The SECRETARY, Punjab Religious Book Society, Lahore.

The University Book Agency, Kacheri Road, Lahore.

L. RAM LAL SURI, Proprietor, "The Students' Own Agency," Lahore.

L. DEWAN CHAND, Proprietor, The Mercantile Press, Lahore.

The MANAGER, Mufid-i-Am Press, Lahore.

The PROPRIETOR, Punjab Law Book Mart, Lahore.

The MANAGING PROPRIETOR, The Commercial Book Company, Lahore.

Messrs. GOPAL SINGH SURI & Co., Law Booksellers and Binders, Lahore.

R. S. JAURA, Esq., B.A., B.T., The Students' Popular Depôt, Anarkali, Lahore.

Messrs. R. CAMBRAY & Co., 11 A. Halder Lane, Bowbazar P. O., Calcutta.

Messrs. B. PARIKH & Co., Booksellers and Publishers, Narsinhgi Pole, Baroda.

Messrs. DAS BROTHERS, Booksellers and Publishers, Anarkali, Lahore.

The MANAGER, The Firm Book Depôt, opposite Tonga Stand of Lohari Gate, Lahore.

The MANAGER, The English Book Depôt, Taj Road, Agra.

*The MANAGING PARTNER, The Bombay Book Depôt, Booksellers and Publishers, Girgaon, Bombay.

*The PROPRIETOR, The Book Company, Calcutta.

*Messrs. CHATTERJI & Co., Booksellers, 204, Cornwallis Street, Calcutta.

*The MANAGER, Standard Book Depôt, Lahore.

The PROPRIETOR, Aftab Punjab General Law Book Agency, Lahore.

The MANAGER, Oxford Book and Stationery Co., The Mall, Lahore.

The PROPRIETOR, City Book Co., Post Box No. 283, Madras.

The MANAGER, The New Book Depôt, No. 79, The Mall, Simla.

These firms will be allowed discount at 10%.

Paragraph Subject Pages

CHAPTER II.—Cities, Towns and Villages.

59 General 88
60 Division of population as rural and urban 89
61 Urban population 90
62 Population of towns by class 91
63 Individual cities and towns 93
64 Urban population by religion 96
65 Urban sex ratio 96
66 Rural population 96
67 Average size and distance between villages .. 97
68 Some statistics of rural population 97
69 Rural population by religion 98

Subsidiary Tables

I—Distribution of the population between towns and villages 99
II—Number *per mille* of the total population of each main religion, who live in towns 100
III—Towns classified by population 100
IV—Cities and selected towns 100
V—Distribution of urban population according to size and in rural territory 1881—1931 101
VI—Classification of urban population and population of rural territory as constituted in 1931 with increase since 1921 101
VII—Places classed as towns in each of the last six censuses classified according to the present population 102
VIII—Increase (+) or decrease (—) in the population of towns in the inter-censal periods 105
IX—Rural density, Census 1931 106
X—Statement showing average population and area per village in Tahsil, Census 1931 109
XI—Statement showing average number of persons per house (in Tahsil or State), 1931 111

CHAPTER III—Birth-place and Migration.

70 General 113
71 Casual migration 114
72 Other kinds of migration 115
73 Temporary migration 115
74 Periodic migration 116
75 Semi-permanent migration 117
76 Permanent migration 117
77 Reasons for small amount of migration 118

Subsidiary Tables

I—Immigration to all Districts and States of the Province 120
II—Emigration from the Province 121
III—Migration between the Province and other parts of India 121
IV—Showing the details of emigrants to different Indian Provinces and States and some foreign countries by sex . 124

CHAPTER IV.—Age

78 Introductory 125
79 Peculiarities of age returns 126
80 Smoothing of figures 126
81 Different methods of recording age 128
82 Age distribution at different censuses 128
83 Variation in individual age-groups 130
84 Age distribution compared to other countries 131
85 Mean age 132
86 Mean age in Natural Divisions 133
87 Longevity in different areas 133
88 Quinquennial births and age-groups 134
89 Census as a test of vital record 135
90 Effect of migration on age distribution 135
91 Age distribution by caste 136

Paragraph.	Subject.	Pages.

Subsidiary Tables.

Paragraph.	Subject.	Pages.
	I.—Age distribution of 10,000 of each sex in the Province and each Natural Division at six censuses and mean age	137
	II.—Age distribution of 10,000 of each sex in each main religion (six censuses)	138
	III.—Age distribution of 1,000 of each sex in certain castes	139
	IV.—Proportion of children under 14 and of persons over 43 to those aged 14—43 in certain castes also of married females aged 14—43 per 100 females	140
	V.—Proportion of children under 10 and of persons over 60 to those aged 15—40; also of married females aged 15—40 per 100 females by District or State and Natural Division	141
	V A.—Proportion of children under 10 and of persons over 60 to those aged 15—40 in certain religions also of married females aged 15—40 per 100 females by Natural Division	143
	VI.—Variation in population at certain age-periods since 1901 by District or State and Natural Division	143
	VII.—Reported birth-rate by sex and Natural Division (for British Territory only)	145
	VIII.—Reported death rate by sex and Natural Divisions (for British Territory only)	146
	IX.—Annual reported death rate by sex and age in decade per *mille* living at same age according to the census of 1921 (for British Territory only)	146
	X.—Actual recorded deaths from certain diseases and death rate per *mille* of each sex (for British Territory only)	147
	XI.—Age distribution of 100,000 of each sex by individual year of age according to actual returns in census schedules	148
	XII.—The ratio of the number of males, females and persons per 100,000 at the census of 1921 to those of the census of 1931 for each year of age, as recorded in the census schedules	149
	XIII.—Statement showing the recorded births and deaths since 1881 (for British Territory only)	150

CHAPTER V.—Sex.

Paragraph.	Subject.	Pages.
92	Proportion of the sexes	151
93	Sex at birth	152
94	Masculinity at birth	153
95	Female infanticide	154
96	Neglect of females	156
97	Recorded male and female death-rates	158
98	Sex proportion in natural population	159
99	Comparison with other provinces and countries	159
100	Sex proportion in different localities	159
101	Sex proportion in smaller units	160
102	Sex proportion by religion and localities	160
103	Sex proportion by caste	161

Subsidiary Tables.

Paragraph.	Subject.	Pages.
	I.—General proportion of the sexes by Natural Divisions, Districts and States for six censuses	163
	II.—Number of females per 1,000 males at different age-periods by religions at each of the last three censuses	164
	III.—Number of females per 1,000 males at different age-periods by religions and Natural Divisions	164
	IV.—Number of females per 1,000 males for certain selected castes and tribes at different ages, 1931 census ...	165
	V.—Actual number of births and deaths reported for each sex during the decades 1901—1910 1911—20 and 1921—1930 (for British Territory only)	166
	VI.—Number of deaths of each sex at different ages (for British Territory only)	167
	VII.—Number of births and deaths of main religions by sex (for British Territory only).	167
	VIII.—Number of females per 1,000 males (by Tahsils)	168

Paragraph Subject Pages

CHAPTER VI.—Civil Condition.

Paragraph	Subject	Pages
104	Introductory .. .	169
105	Movement in actual figures	171
106	Proportional distribution according to age and civil condition	172
107	Age at marriage	172
108	Age at marriage from census data	174
109	Proportion of sexes in marriageable population	176
110	Polygamy ..	177
111	Polyandry	178
112	Special inquiry into marriage and fertility	178
113	Size of the family correlated to occupation of husband	178
114	Size of the family by religion and class	179
115	Size of the family according to age of wife at marriage	180
116	The amount of sterility	182
117	Duration of marriages and size of family	184
118	Fertility data compared with general census	185
119	The widowed	185
120	Proportion of widows among females of main religions	186
121	Proportion of widows in different areas	187
122	Proportion of widows among different castes	187
123	Widow remarriage	188

Subsidiary Tables

I —Distribution by civil condition of 1,000 of each sex, religion and main age period at each of the last five censuses 189

II —Distribution by civil condition of 1,000 of each sex at certain ages in each religion and Natural Division 190

III —Distribution by main age-periods and civil condition of 10,000 of each sex and religion 191

IV —Proportion of the sexes by civil condition at certain ages for religions and Natural Divisions . 192

V —Distribution by civil condition of 1,000 of each sex at certain ages for selected castes 192

CHAPTER VII —Infirmities

Paragraph	Subject	Pages
124	General .	195
125	Insane	195
126	Local distribution of insanity	195
127	Sex proportion and age distribution among the insane	196
128	Punjab Mental Hospital	197
129	The deaf and dumb	197
130	Age distribution of deaf-mutes	198
131	Local distribution of deaf mutes	198
132	The blind	199
133	Age distribution of the blind	200
134	Measures for combating blindness	200
135	Leprosy and its local distribution	201
136	Leprosy at different ages	202
137	Proportion of sexes among the leprous	202
138	Leper Asylums in the Province	202
139	Age distribution among different infirmities and total population	203
140	Comparison of the number of the infirm with other provinces	203
141	Sex proportion by age among the infirm	204

Subsidiary Tables

I —Infirm per 100,000 of the population of each sex at each of the last five censuses . . 205

II —Infirm per 100,000 and females infirm per 1,000 males at certain age periods .. 207

III —Distribution of the infirm by age per 10,000 of each sex (five censuses) . 207

Paragraph. Subject Pages.

CHAPTER VIII.—Occupations or Means of Livelihood

SECTION 1.—GENERAL.

Paragraph	Subject	Pages
142	Instructions about the return of occupations	208
143	Changes in instructions since 1921	211
144	Classification of occupations	213
145	Comparison with the figures of last census	214
146	Earners and working dependants	215
147	Female worker	216
148	Subsidiary occupations	217
149	Comparison of the population of workers with other provinces	218
150	Distribution of non-working dependant	219

SECTION 2.—DETAILED EXAMINATION OF OCCUPATIONS.

Paragraph	Subject	Pages
151	Detailed examination of occupational distribution	220
152	Cultivation	220
153	Cultivating owners and tenant	221
154	Agricultural labourers	222
155	Cultivating owners and co-sharers in holdings	223
156	Cultivation of special crops, etc.	224
157	Stock raising	224
158	Birds and bees	225
159	Order [illegible]—Fishing	225
160	Sub-class II, Order 9 Exploitation of Minerals	225
161	Class B	225
162	Sub-class III, Industry	225
163	Sub-class IV Transport	227
164	Sub-class V Trade	229
165	Class C Administration, Public Force	230
166	Service of the State	230
167	Professions and liberal arts	230
168	Class D Miscellaneous	230
169	Beggars and vagrants	231

SECTION 3.—OCCUPATIONS OF SELECTED CASTES.

Paragraph	Subject	Pages
170	Occupations of selected castes	231
171	Occupations of Brahman	232
172	Female workers in each caste	232

SECTION 4.—EDUCATED UNEMPLOYMENT

Paragraph	Subject	Pages
173	Educated unemployment	233
	Table XII.—Educated unemployment	234

Subsidiary Tables.

Table	Subject	Pages
I (a)	—General distribution of earners (Principal occupation) and working dependants	235
I (b)	—General distribution of earners by subsidiary occupations	236
II (a)	—Distribution of earners (Principal occupation) and working dependants by sub-classes in Natural Divisions Districts and States	237
II (b)	—Distribution of earners (Subsidiary occupation) by sub-classes in Natural Divisions District and States	238
III	—Occupations of females by sub-classes orders and selected groups	239
IV	—Selected occupation giving comparative figures for 1931 and 1921	241
V	—Occupations of selected castes	244
VI	—Number of persons employed on the 26th February 1931 on the Railways, in the Irrigation Department and Posts Office Telegraph and Engineering Department	247

ragraph	Subject	Pages

CHAPTER IX —Literacy

174	General	248
175	Local distribution of literacy	249
176	Literacy in cities and selected towns	251
177	Literacy by main religions	252
178	Progress of literacy in younger generation	253
179	Returns of Education Department	254
180	Adult literacy	255
181	Literacy by selected castes	258
182	Literacy in English	259
183	English literacy by castes	259
184	Literacy in vernaculars	260
185	Comparison with other provinces	261

Subsidiary Tables

I —Literacy by age, sex and religion (reproduced in the text)	252
II —Literacy by age, sex and locality	262
III —Literacy by religion, sex and locality	263
IV —English literacy by age, sex and locality (four decades)	265
V —Literacy by caste	266
VI —Progress of literacy since 1881	267
VII —Absolute figures of literacy at certain ages with 000's omitted	267
VIII —Showing the growth in the number of educational Institutions, scholars and expenditure from 1889-90 to 1930 31 from the returns of the Education Department	269
IX —Showing the number of schools and scholars by Tahsil and District according to the returns supplied by the Director, Public Instruction, Punjab, for the year 1930-31	270

CHAPTER X —Language

186	General	271
187	Scheme of classification of languages	272
188	The linguistic families	273
189	Indo-European languages	273
190	Tibeto-Chinese languages	273
191	Linguistic division	273
192	Punjabi	274
193	Lahnda or Western Punjabi	274
194	Hindustani	275
195	Western Pahari	275
196	Rajasthani	275
197	Pashto	276
198	Balochi	276
199	English	276
200	Tibeto Chinese languages	276
201	Kashmiri	276
202	Sindhi	277
203	Nepali	277
204	Minor languages, Odki	277
205	Persian	277
206	Bhili	277
207	Bengali	278
208	Gujarati	278
209	Marhatti	278
210	Tamil and Telugu	278
211	Arabic	278
212	Central Pahari	278
213	Other minor languages	278
214	Bilingualism	279
215	Literacy activity in different languages	280

Subsidiary Tables

I.— Distribution of total population by mother tongue according to census of 1931	283
II —Part I. Distribution by language of the population of each district	284

REPORT

ON THE

CENSUS OF THE PUNJAB

1931.

CHAPTER I.

DISTRIBUTION AND MOVEMENT OF THE POPULATION

SECTION 1.—THE AREA DEALT WITH

1 Introductory 2. Administrative Divisions 3 Natural Divisions 4 External changes in boundaries 5. Internal changes 6 Area [illegible]

SECTION 2.—POPULATION

7 General 8 The Census 9 Provisional totals

SECTION 3.—AREA, POPULATION AND DENSITY

10 Density 11 Density in Administrative Divisions 12 Density in Districts and States

SECTION 4.—VARIATIONS IN POPULATION

13 Past Censuses 14 Variation in population (1881—1921) 15 Conditions of the previous decade (1911—1921)

SECTION 5.—CONDITIONS OF THE LAST DECADE.

16 General 17 Health conditions 18 Hospitals and Dispensaries. 19 Definitions 20 Agricultural conditions 21 Agriculture 22 Improvement in methods of Agriculture. 23 Fruit Orchards 24 Use of improved implements. 25 Agricultural stock and its care 26 Horse, Mule and Cattle breeding 27 Prevention and Treatment of cattle diseases 28 Irrigation 29 Sutlej Valley Project 30 Trade 31 Industry 32 Two new sources of wealth 33 Joint Stock Companies 34 Wages 35 Prices 36 Road communications 37 Railway transport 38 Post Office Telegraph and Telephone services 39 Co-operative movement 40 Education 41 Panchayat system 42 Rural uplift 43 The Mandi Hydro Electric Scheme 44 Broadcasting

SECTION 6.—MOVEMENT OF THE POPULATION.

45 Increase in population 46 The causes of the variation in population 47 Natural increase births and deaths 48 Age distribution 49 Sex proportion 50 Influence of religion on the movement of the population

SECTION 7.—MOVEMENT IN SMALLER UNITS.

51 Movement in Natural Divisions 52 Movement in each British district 53 Pressure on resources 54 Movement in Punjab States 55 Accuracy of census figures

SECTION 8.—HOUSES AND FAMILIES

56 General 57 Definition of census house 58 Number of persons per house

SECTION 1.—THE AREA DEALT WITH.

1 This Report deals with the eighth Census of the Punjab, taken on the night between the 26th and 27th February 1931 A separate Report for Delhi Province, which has hitherto been treated in the Punjab Reports, has been compiled on the present occasion **Introductory**

The Province derives its name from its rivers (*Punj-ab* meaning five rivers) namely Sutlej, Beas, Ravi, Chenab and Jhelum, which traverse its length from north-east to south-west and join up with the Indus at Mithankot (in the Dera Ghazi Khan District) and thus along with it pour their waters into the Arabian Sea near Karachi. Four decades back it was the existence of the five rivers rather than their utility which conferred the name on the Province. Now these rivers do not merely exist in name but have been rendered a valuable asset by the engineer's skill, and all of them have to their credit magnificent canal systems which have brought fertilising water to millions of acres of arid land and thus provided livelihood for a considerable portion of the provincial population and have *brought into existence prosperous colony towns and flourishing villages*, built on modern lines with due regard to the laws of sanitation and cleanliness. The Beas is the smallest and the only river whose name is not directly associated with a canal but during the *kharif* it feeds an old private canal in the Hoshiarpur District known as Shah Nahr and after joining the Sutlej near Ferozepore its supply is utilized by the canals of the Sutlej Valley Project. At the last census, the Sutlej had only one canal, the Sirhind, to feed, but now it claims a most extensive canal system which irrigates large tracts in the Ferozepore, Lahore, Montgomery and Multan Districts and the States of Bahawalpur and Bikaner. Thus the Punjab is now in reality a tract which in a way derives its life from these rivers, depending on them largely for its material prosperity. Two other rivers, the Jumna and the Indus, also traverse the Province and form its boundaries on the east and west respectively. The Jumna divides the Punjab from the United Provinces, and the Indus while forming the boundary line on the north-west runs through the Mianwali District and separates the Dera Ghazi Khan District from the rest of the Province.

Administrative Divisions. 2. The Province is administratively divided into two parts, the British Territory and the Punjab States. The former has an area of 99,265 square miles or 72.5 per cent. of the total area of the Province and an enumerated population of 23,580,852 or 82.8 per cent. of the total population. As at last census, the British Territory is divided into 29 districts each administered by a Deputy Commissioner and these are grouped in five divisions, each in charge of a Commissioner. The map in the margin shows the limits of the districts and divisions. The order in which the

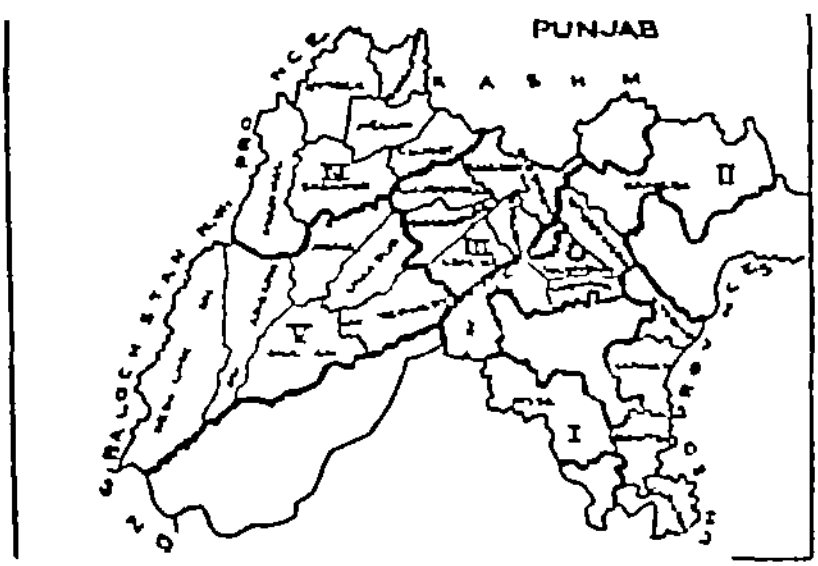

Political Divisions.

I Ambala Division. II Jullundur Division. III Lahore Division

IV Rawalpindi Division V Multan Division.

administrative divisions of the British Territory appear in the census tables and official documents is shown below —

Ambala Division		*Jullundur Division*		*Lahore Division*		*Rawalpindi Division*		*Multan Division*	
1	Hissar	7	Kangra	12	Lahore	18	Gujrat	24	Montgomery
2	Rohtak	8	Hoshiarpur	13	Amritsar	19	Shahpur	25	Lyallpur
3	Gurgaon	9	Jullundur	14	Gurdaspur	20	Jhelum	26	Jhang
4	Karnal	10	Ludhiana	15	Sialkot	21	Rawalpindi	27	Multan
5	Ambala	11	Ferozepore	16	Gujranwala	22	Attock	28	Muzaffargarh
6	Simla			17	Sheikhupura	23	Mianwali	29	Dera Ghazi Khan

The Punjab States have an area of 37 099 square miles and a population of 4 910 005 or 27 5 per cent of the total area and 17 2 per cent of the total population The Simla Hill States are 27 in number, and their grouping remains as before and the Deputy Commissioner Simla continues to be their Superintendent These and three others (Pataudi Kalsia and Dujana) have political relations with the Punjab Government, and 13 states have political relations with the Government of India through the Agent to Governor General Their arrangement in the tables is shown below —

A —Having political relations with the Punjab Government	*B —Having political relations with the Government of India*	
1 Dujana	5 Loharu	12 Faridkot
2 Pataudi	6 Sirmoor	13 Chamba
3 Kalsia	7 Bilaspur	14 Patiala } Phulkian States
4 Simla Hill States (27 states)	8 Mandi	15 Jind } Phulkian States
	9 Suket	16 Nabha } Phulkian States
	10 Kapurthala	17 Bahawalpur
	11 Maler Kotla	

This arrangement depends on the closeness of their relations with the Province and also on their geographical position, but not on the importance of their size or status In the last Census Report Nahan appeared as the name of the Sirmoor State, as a matter of fact the name of the State is Sirmoor and Nahan is its capital The map in the margin indicates the location of the various Punjab States

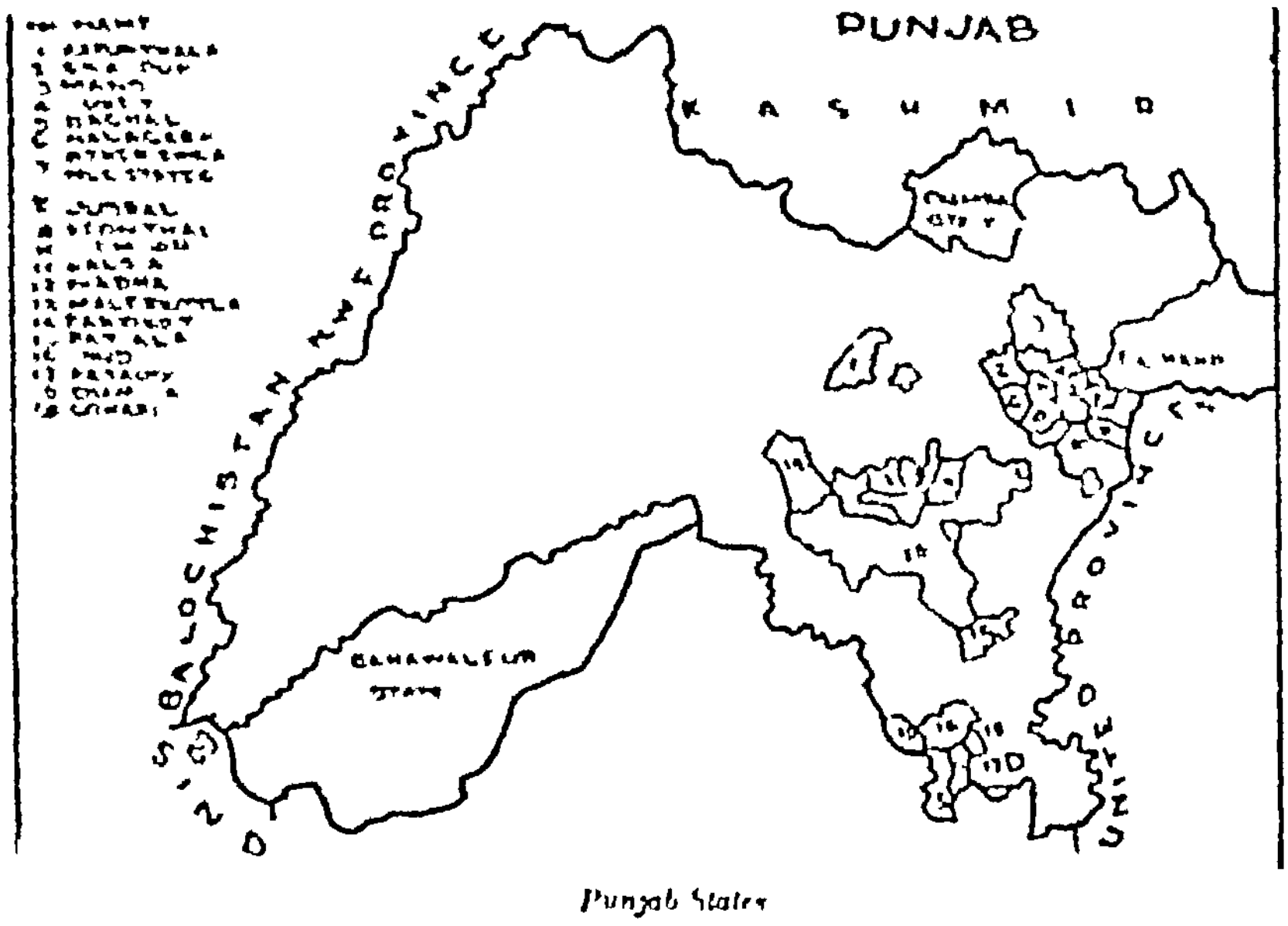

Punjab States

3 For a lucid presentation of certain derivative results, shown in the subsidiary tables printed at the end of each chapter of this Report, the Province has been divided into four Natural Divisions, as opposed to Administrative Divisions, with main reference to physical and climatic features These are the Indo Gangetic Plain West, the Himalayan, the Sub-Himalayan and the North-West Dry Area Their names are determined with regard to India as a whole, and do not

Natural Divisions.

necessarily define the areas merely in respect of their location in the Punjab For example the Indo-Gangetic Plain West does not only include a number of the districts and states of the Punjab but also the western districts of the United Provinces Similarly the North West Dry Area comprises some Punjab districts and Bahawalpur State as well as Rajputana Sind and Baluchistan. The above map shows the four Natural Divisions of the Punjab and the statement below indicates the districts and states situated in each division —

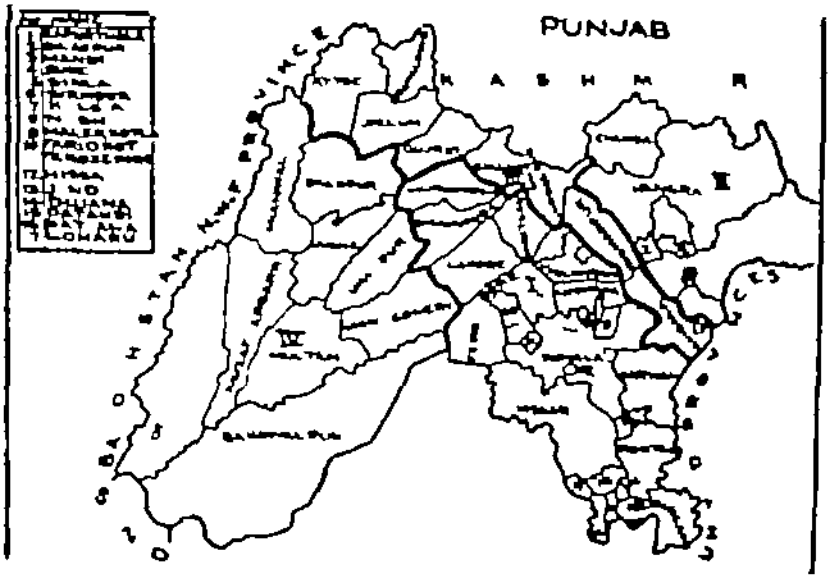

Natural Divisions.

I Indo-Gangetic Plain West *II Himalayan.*
III Sub-Himalayan. *IV North-West Dry Area.*

I.—Indo-Gangetic Plain West.

1 Hissar
2. *Loharu State.*
3. Rohtak.
4. *Dujana State.*
5. Gurgaon.
6. *Pataudi State.*
7 Karnal.
8. Jullundur
9. *Kapurthala State.*
10. Ludhiana.
11. *Maler Kotla State.*
12. Ferozepore
13 *Faridkot State.*
14 *Patiala State.*
15. *Jind State.*
16. *Nabha State.*
17 Lahore
18. Amritsar
19 Gujranwala.
20. *Sheikhupura.*

II.—Himalayan.

21. *Sirmoor State*
22. Simla.
23. *Simla Hill States.*
24. *Bilaspur State.*
25. Kangra.
26. *Mandi State.*
27 *Suket State.*
28. *Chamba State.*

III.—Sub-Himalayan.

29. Ambala.
30. *Kalsia State.*
31. Hoshiarpur
32. Gurdaspur
33. Sialkot.
34. Gujrat.
35. Jhelum
36. Rawalpindi.
37 Attock.

IV.—North-West Dry Area.

38. Shahpur
39. Mianwali.
40. Montgomery
41. Lyallpur
42. Jhang
43. Multan.
44. *Bahawalpur State*
45. Muzaffargarh.
46. Dera Ghazi Khan *(including the Biloch Trans-frontier Tract).*

The four Natural Divisions are the same as at last census. They have been retained unchanged for two main reasons. In the first place they have changed but little in their physical and climatic features since last census although canal irrigation in several districts of the North West Dry Area has revolutionized the economic conditions, particularly during the last decade or two and they now *resemble more than ever some of the districts of the Indo-Gangetic Plain.* In the second place any re-shuffling would have rendered the comparison of statistics with the past censuses very difficult if not an impossible task. The main characteristics of the four divisions are described below

Himalayan. It contains country on both sides of the outer range of the Himalayas. The lower slopes, valleys and foot hills are under cultivation There are many fertile tracts here and there. Irrigation is supplied by numerous mountain streams, small water-courses being made by the cultivators to irrigate the valleys and lower slopes. There is no dearth of grazing grounds and timber and fuel-wood are in abundance. Climatically the Division is mild in summer and very severe in winter; the high mountains are covered with perpetual snows and early in winter many of the tracts become isolated from the rest of the world by wide barriers of snow and even postal communications cease. The average annual rainfall for the last decade is 62 inches as compared with the corresponding figure of 9 inches for the North-West Dry Area. The highest average (120 inches) is claimed by the Kangra District and the lowest (47 inches) by the Chamba State.

Sub-Himalayan

This Division is the narrow strip of country adjoining the Himalayan, called sub-montane, into which run some of the spurs of the Himalayas such as the Siwaliks and the high hills of Kasauli, Dalhousie and Murree. In some districts the lands in the vicinity of the foot hills are traversed by numerous hill torrents, many of which lay a deposit of silt and add to the fertility of the soil. The three northern districts of this Division are hilly in their character and for the most part composed of broken country. In the other districts the greater portion of the area is a fairly level plain where depth to water is small and wells easy to sink except in Ambala. The rainfall is fairly copious, the ten years' average for the Division is 31 inches, the highest average being 37 inches (Kalsia) and the lowest 21 inches (Attock).

Indo-Gangetic Plain West

This Natural Division like the North-West Dry Area is the level alluvial plain of the Punjab. The rainfall is less here than in the Sub-Himalayan area and decreases from east to west. Most of the districts and states receive a good deal of irrigation from perennial canals. The units not receiving canal water, such as Jullundur District and Kapurthala State possess an extensive well-irrigation. The districts lying near the Rajputana border have for the greater part a sandy soil, a low water-table and very meagre well-irrigation. For example, the portions of Hissar and Ferozepore Districts outside canal irrigation limits solely depend on rain for their crops. The average rainfall is 20 inches, the highest average being 27 inches (Karnal) and the lowest 16 inches (Ferozepore).

North-West Dry Area

The North-West Dry Area differs from the Indo-Gangetic Plain in having a smaller rainfall and a lower water-table. During the pre-canal period, i.e., less than forty years ago, it was for the most part a vast expanse of arid waste and the haunt of pastoral people, but now claims to be one of the biggest granaries of the world. The Districts of Lyallpur, Shahpur, Jhang, Montgomery and Multan and the State of Bahawalpur have benefited by several extensive canal systems which have steadily come into existence during the last four decades. The rainfall factor has become negligible in the case of these districts, and in point of fertility they are now more than a match for the districts of the Indo-Gangetic Plain. Muzaffargarh and parts of Multan, Dera Ghazi Khan and Bahawalpur receive irrigation from a net-work of inundation canals. In the riverains of Multan, Jhang, Muzaffargarh and Dera Ghazi Khan there is also considerable irrigation from wells. The average rainfall for the Division is 9 inches, the highest average being 15 inches (Shahpur) and the lowest 5 inches (Bahawalpur).

External Changes in Boundaries.

4. The boundary of the Province has undergone no appreciable change in the last decade, and the only external transfers of area, which are hardly of

or the manner in which they were overcome That will form the subject of a separate volume It will suffice to say here that the slip system of sorting was again resorted to, and the work of compilation done at one central office for the whole Province except that of the Patiala Nabha, Jind and Bahawalpur States, which carried out their own compilation and sent only the summary figures to the Central Compilation Office Various methods to improve the work of extraction and tabulation have been carefully studied and explored The use of automatic sorting and tabulating machines such as those used in the tabulation of statistics in some of the countries in the West, had to be rejected as being too expensive and elaborate A process, which seems economical on the face of it, is to make a record of individuals straightaway on slips suitable for sorting and thus eliminate the filling-up of schedules and copying of the entries on the slips The chief objection to this method, however, is that the classification made by enumerators will in numerous cases be haphazard and unreliable, and it will not be possible to have the doubtful cases verified by the supervising agency as is feasible in the case of the schedules

SECTION 3.—AREA, POPULATION AND DENSITY.

Density

10 The Punjab with an area of 136,964 square miles and a population of 28,490,857 has a density of 208 persons per square mile The British Territory has an area of 99,265 square miles and a population of 23,580,852, which give a density of 238 In the case of the Punjab States, which have an area of 37,699 square miles and a population of 4,910,005 the density is 130 The States of the Punjab Agency have an area of 32,407 square miles and a population of 4,472,218

The Punjab in respect of area is the fourth province in India the first three being Burma, Bombay and Madras In point of population and density, it is sixth and fifth, respectively, among the provinces It is slightly smaller in size than the Republic of Poland, which has an area of 150,000 square miles and an estimated population of 32,150,000 (on the 31st December 1930) The number of persons per square mile in Poland is thus 214 which is about the same as in the Punjab

The Republic of Ukraine, according to the 1926 census, has a population of 29,020,304, or about half a million more than that of the Punjab, and an area of 174,201 square miles or about 30 per cent in excess of the Punjab the density being 166 per square mile

The area of the British Territory of the Punjab is nearly equal to that of the United Kingdom, which is 94,208 square miles The population of the United Kingdom (46,077,000) according to the 1931 census is, however, nearly twice as much, which gives a density of 489 per square mile The population of the British Territory is also comparable to that of Spain including the Canaries, which according to an estimate made in December 1931 was 23,581,000 The area of Spain is 194,208 square miles or nearly twice as large as that of British Territory, and its density (121) is thus about one-half

The Punjab States are comparable to Ireland in point of density In 1926 Ireland had an area of 32,531 square miles and a population of 4,228,553, the density being 130 per square mile or exactly the same as that of the Punjab States

Comparison with Foreign Countries.

The table on the next page compares the latest figures of area, population and density of some of the principal foreign countries with those of the Punjab.

Country.	Area in square miles.	Population according the last census.	Density per square mile.	Country	Area in square miles.	Population according to the last census.	Density per square mile
1		3	4	1	2	3	4
Punjab	136,964	28 490,857	208	Europe.			
Africa				Scotland	30,405	4,843,000	159
Union of South Africa	471,814	8 914,000	17	Ireland	32,531	4,228,553	130
Ukraine	174,814	29 020,000	166	France	212,741	41,860,000	197
America.				Germany	181,001	64,776,000	358
North America	7,566,023	134,200,000	18	Belgium	11,752	8,092,000	689
Canada	3,690,863	10,390,000	3	Italy	119,691	41 100,000	343
United States	3,026,838	124,070,000	41	Norway	124,710	2,811,000	23
Asia.				Poland	150 000	32,130,000	214
China	4,280,985	452,791,000	106	Spain (including Canaries).	194,208	23,451,000	121
Japan	147 490	64 700,000	439	Switzerland	15,940	4,077,000	256
Persia	627 190	9,000,000	14	Sweden	172,973	6,142,000	36
Europe				Oceania			
United Kingdom	94,206	46,077,000	489	Australia	2,974,581	6,470,000	2
England and Wales	58,301	39,946,000	685	New Zealand	103,475	1,506,000	15

The Median Point of Population. The map below shows the "median point" of population for the present census and for the censuses of 1911 1901 and 1881 This point is a numerical centre and if horizontal and vertical lines are drawn through it, each

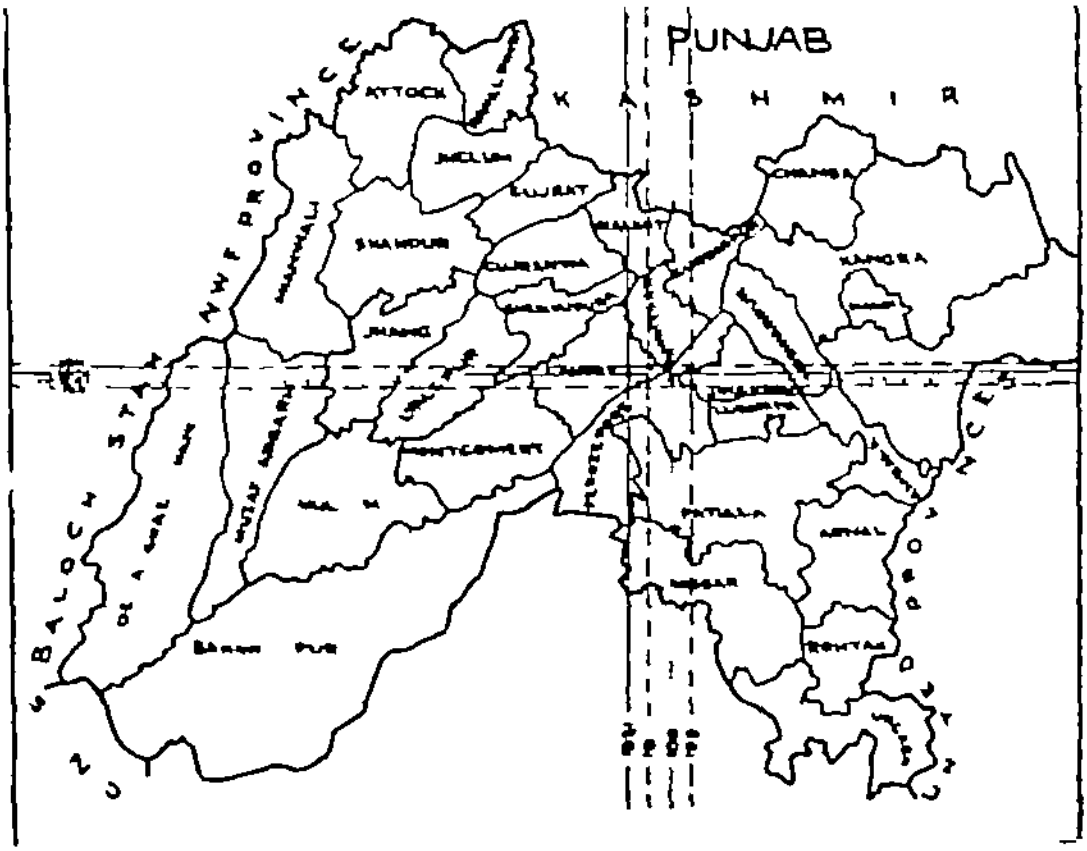
PUNJAB
KASHMIR
N W F PROVINCE
BALUCHISTAN
ATTOCK
JHELUM
GUJRAT
SHAHPUR
MIANWALI
JHANG
GUJRANWALA
SIALKOT
CHAMBA
KANGRA
LYALLPUR
MONTGOMERY
MULTAN
MUZAFFARGARH
DERA GHAZI KHAN
BAHAWALPUR
FEROZEPORE
PATIALA
AMBALA
HISSAR
ROHTAK
UNITED PROVINCES

Median Points of Population at four censuses.

of them will divide the population of the Punjab equally into two parts It is noteworthy that the median point has moved westward, indicating that the population of the North-West Dry Area has made long strides during the last three decades as a result of the various colony schemes

Density in Administrative Divisions

11 The marginal table shows the area and population as well as the density per square mile of the different administrative divisions of the Province The Multan Division with an area of 31,805 square miles is the largest in extent, but the Lahore Division with a population of 5,879,075 is the most populous Of the Punjab States those having political relations with the Government of India are the most extensive as well as the most populous

Division	Area	Population	Density
Ambala	15,013	4,077,665	272
Jullundur	18,842	4,606,416	244
Lahore	12,217	5,879,075	481
Rawalpindi	21,388	3,914,849	183
Multan	31,805	5,102,917	160
PUNJAB STATES	37,699	4,910,005	130
A—Having political relations with the Punjab Government	5,292	437,787	83
B—Having political relations with the Government of India	32,407	4,472,218	138

Density in Districts and States

12 The density of the Province varies widely in its different parts, and the variation is undoubtedly due to the difference in ability of each to support the population The resources and the pressure of population will be discussed later on after we have examined the conditions obtaining in different parts of the Province in the past, but it will be better at this stage to show the distribution of the population in the various parts of the Province by means of a map which appears in the margin It can be seen at a glance that the greatest density exists in the central districts, and that the north-west of the Province is sparsely populated, as also the Hissar District in the south-east On the north-east, Kangra, Chamba and Simla Hill States have a density below 100 owing to the hilly nature of the country On the south-west, Bahawalpur has a very low density owing to its huge area, containing many sandy and bare tracts, which are thinly populated, but it is gaining ground as a result of canal-irrigation

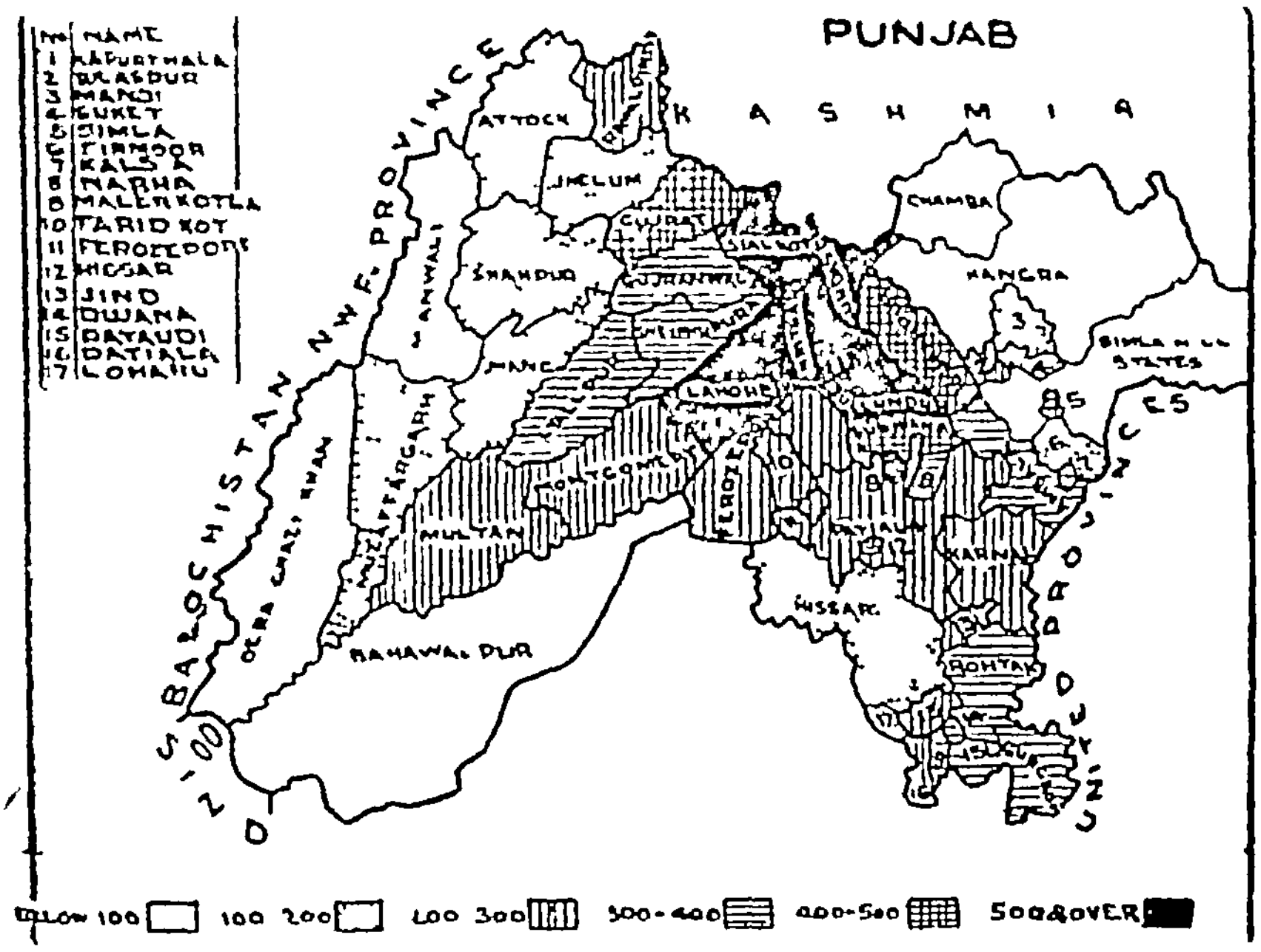
PUNJAB
No NAME
1 KAPURTHALA
2 BILASPUR
3 MANDI
4 SUKET
5 SIMLA
6 SIRMOOR
7 KALSIA
8 NABHA
9 MALERKOTLA
10 FARIDKOT
11 FEROZEPORE
12 HISSAR
13 JIND
14 DUJANA
15 PATAUDI
16 PATIALA
17 LOHARU
KASHMIR
N.W.F. PROVINCE
BALOCHISTAN
SIND
UNITED PROVINCES
ATTOCK
JHELUM
GUJRAT
SIALKOT
GUJRANWALA
SHAHPUR
MIANWALI
JHANG
LAHORE
MONTGOMERY
MULTAN
MUZAFFARGARH
DERA GHAZI KHAN
BAHAWALPUR
FEROZEPORE
HISSAR
ROHTAK
KARNAL
CHAMBA
KANGRA
SIMLA HILL STATES
BELOW 100
100 200
200 300
300-400
400-500
500 & OVER

Number of persons per square mile in Census 1931

In the following table the density figures relating to colony districts and Bahawalpur State are compared with those of the pre-canal period to show how rapidly the population rises when large tracts lying waste are brought under the plough.

Statement showing the density figures for certain districts

Serial No.	District or State.	Density per square mile.				
		1931.	1921.	1911.	1901	1881.
1	Lyallpur	308				18
2	Jhang	193				117
3	Shahpur	172			162	
4	Gujrat	410		331		
5	Montgomery	226		109		
6	Multan	202		144		
7	Gujranwala	310		202		
8	Sheikhupura	303		238		
9	Bahawalpur State	60	48			

SECTION 4.—VARIATIONS IN POPULATION

Past Censuses.

13 As remarked at the outset this Report deals with the 8th census taken in the Punjab The dates of the censuses with the name of the officer deputed to superintend the operations and the territory concerned are noted below —

Date.	Superintendent	Territory
1st January 1855	Sir Donald McLeod	British Territory only including the present Punjab and the North-West Frontier Province but omitting Delhi, Hissar Rohtak, Gurgaon, and part of Karnal
10th January 1868	Mr A. Roberts	British Territory only including the present North-West Frontier Province Punjab and Delhi.
17th February 1881	Mr D J Ibbetson	British Territory and the Punjab States, the former including the same territory as in 1868.
26th February 1891	Mr. E. D Maclagan	The same territory as in 1881
1st March 1901	Mr H. A. Rose	The same territory as in 1891 but with separate statistics for (1) the Punjab including Delhi and (2) the North West Frontier Province
10th March 1911	Pandit Hari Kishan Kaul, R.B., C.I.E.	The Punjab including Delhi and the Punjab States
18th March 1921	Mr L. Middleton	The present Punjab and Punjab States with separate statistics for Delhi.
26th February 1931	Khan Ahmad Hasan Khan, K. B.	The present Punjab and Punjab States

The early growth of the population of the Province under British rule was chiefly due to the increased security and later on to improved means of production as a result of the opening of the canal colonies and the extension of the means of transport and marketing A contributary cause was also the greater accuracy

Posts and Telegraphs. The cultivated area increased by 17 per cent. and the canal irrigated by 19 per cent.

1881—1891. During the decade 1881—1891 the increase in population was again rapid, and the annual rate of 1·01 per cent. is the third highest recorded so far The area under cultivation increased by about 10 per cent., as compared with the corresponding figures of 32 and 17 per cent. for the two preceding intercensal periods. The material progress other than agricultural was however considerable and to this fact and to the absence of any famine the large rise in population, during this decade is mainly attributable. A census of the Punjab States was taken in 1881 for the first time, and in their case the annual increase during the decade was 1·04 per cent

1891—1901 The average rate of increase during the decade 1891—1901 was ·09 for British Territory and ·38 for Punjab States. The disparity is mainly attributable to the development of canal irrigation in British Territory as a result of the opening of the Lower Chenab Canal. The cultivated area rose by 10 per cent. and the canal irrigated by 64 per cent The rate of increase in population slowed down very much in the states and the districts in the east of the Province, and there was migration from Patiala to the Punjab districts The year 1892 was the most unhealthy cholera having caused a record mortality and fevers also being responsible for high death-rate The decade was free from famine but the south-eastern districts experienced a great scarcity The improved means of transport, however were a relieving factor and the affected districts were therefore enabled to record a fair rate of increase in population.

1901—1911. The decade 1901—1911 was characterised by a prevalence of widespread disease An epidemic of plague of great virulence coupled with fever of specially fatal type contributed to a death rate which exceeded the birth-rate in all the years of the decade except three 1906 1909 and 1910 and in one year (1907) it reached the extraordinary figure of 62·1 *per mille* mainly owing to the unprecedented mortality from plague which caused 608 685 deaths. In the following year (1908) the death rate amounted to 50·[illegible] "fevers" being the main cause. The excess of deaths over births during the decade was 557 447 the total deaths from plague being over two millions in British Territory alone The loss of female lives was appalling, and the female population for the Province was considerably in defect at the census of 1911 there being 817 females per 1 000 males in that year as against 834 in 1901 Considerable material progress was made in spite of the adverse conditions, and the Lower Jhelum Canal, opened in 1901 was irrigating an area of 1 100 square miles of what was previously a barren tract. The area irrigated by the Lower Chenab Canal increased by 602 square miles and 1 103 miles of new railway lines were opened The decade was also marked by steady industrial progress, and prices and wages were higher than in the previous decades.

Conditions of the Previous Decade 1911—1921. 15 The annual rate of increase in the decade 1911—1921 was ·57 in British Territory and ·48 in the Punjab States. The decade was healthy for the most part, but the year 1918 made all the difference. During that year the influenza epidemic, which came in several waves during August and September assumed a terrible aspect in October and within a few weeks accounted for a little less than a million deaths in British Territory alone The decade will also remain memorable because of the Great War which raged during four of its ten years and was responsible for a death roll of 12 791 a number too small to affect the population to any appreciable extent The districts which contributed the greatest number of combatants were Rawalpindi Jhelum Gujrat and Rohtak, each of which had more than 25,000 persons serving in the army, and in the number of troops contributed by the Punjab States Patiala's share was 50 per cent

The diagram given below shows for British Territory the number of births and deaths together with population figures for each year, based on vital statistics It is evident that the population kept rising each year and was at its maximum in 1917, but was brought down violently in the following year by the influenza epidemic

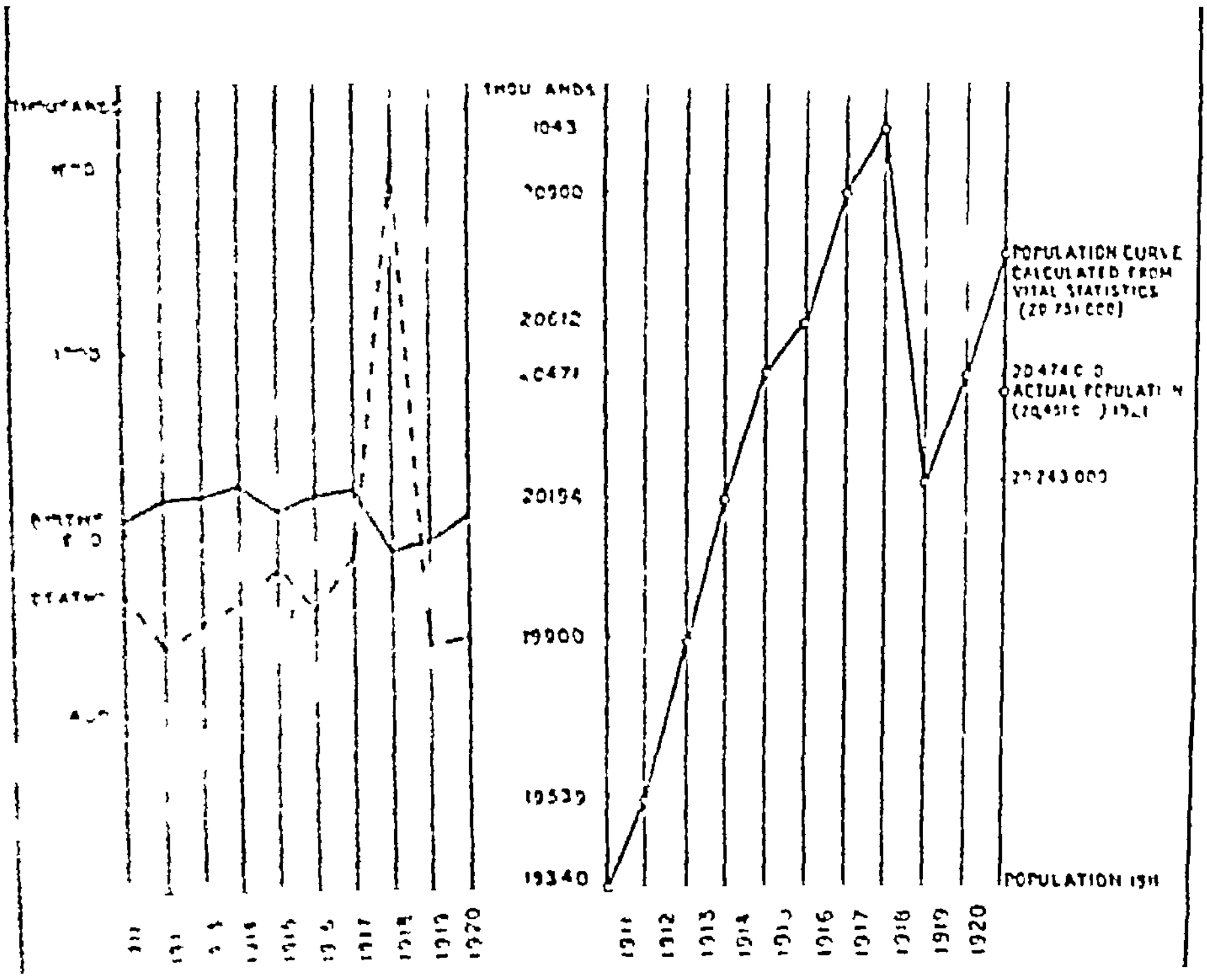

Birth, Death and Population curve calculated from vital statistics, 1921

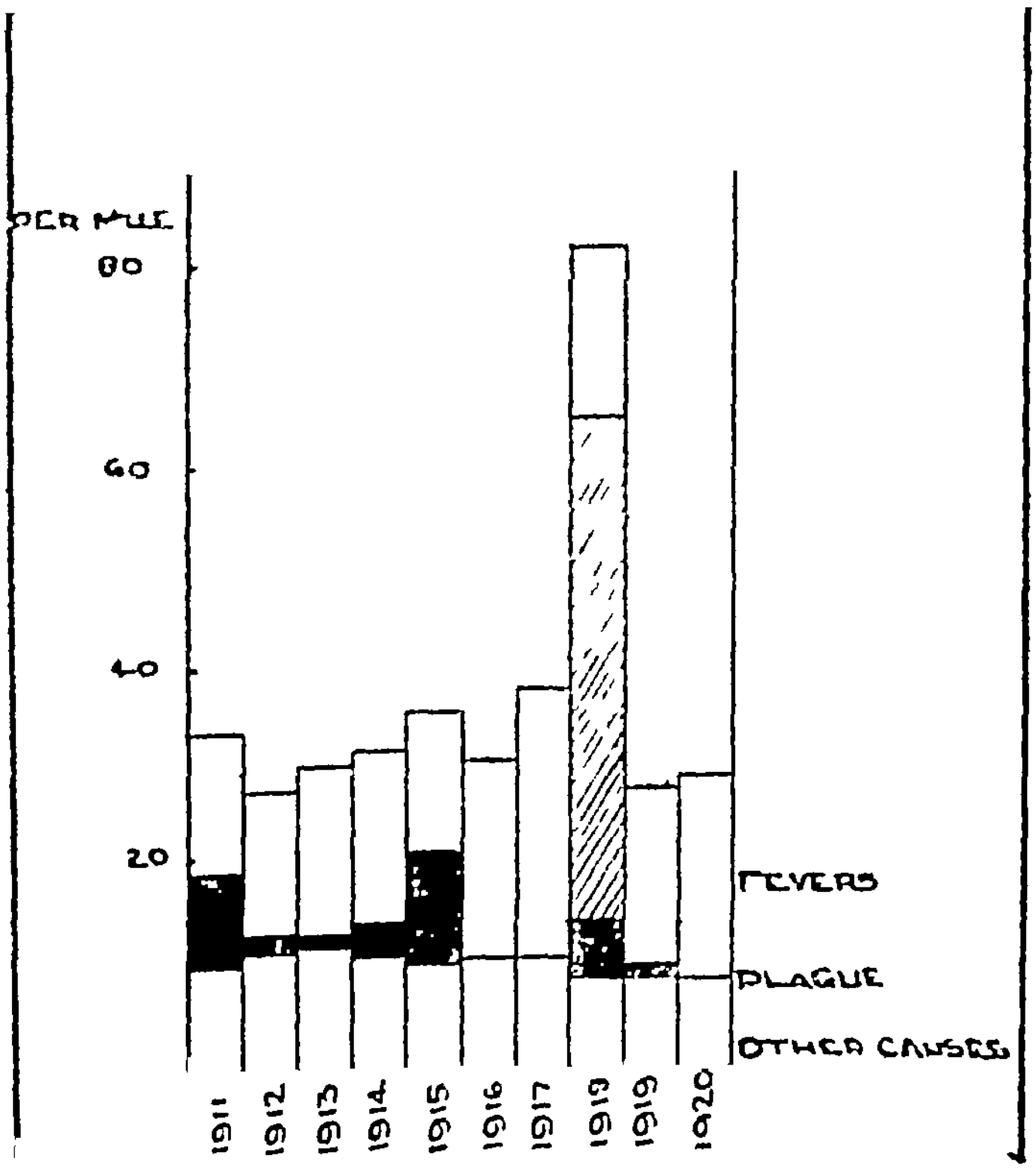

Death-rate by main diseases (1911—20)

The diagram in the margin shows the deaths from main causes for each year of the decade, the deaths due to influenza have been shown by the shaded portion of the rectangle for deaths due to fevers for the year 1918

In the Punjab the registration of deaths dates back to 1867 and that of births to 1880. The following diagram will indicate how these rates have fluctuated up to the end of the previous decade, i.e., 1921.

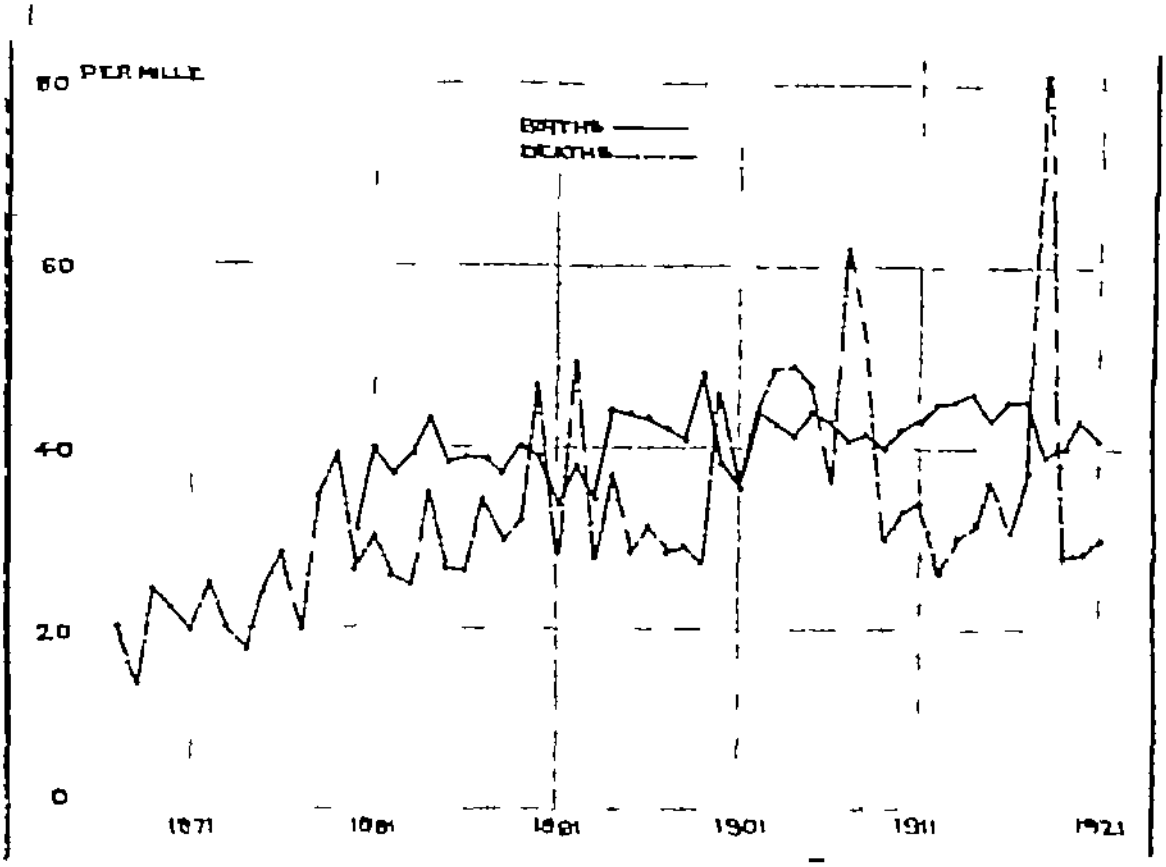

Birth and Death-rates in the Punjab (British Territory) 1867—1921

The highest death-rate was recorded in 1918 the year of the influenza epidemic, and the next highest in 1907 when the plague was at its worst. The birth-rate sinks low during a year following the period of any widespread epidemic but regains its former level or even rises higher soon afterwards. It was one of the lowest in 1891 and 1893 following the years, 1890 and 1892 during both of which fevers took a heavy toll, the latter year being also characterised by the record number of deaths from cholera. In 1894 the birth rate went up to an unprecedented figure and five years later it rose still higher. Another year remarkable for its low birth rate was 1909 which followed 1907 referred to above as the plague year and 1908 when mortality from fevers was very heavy. A year or so later the birth rate made a recovery and kept up a high level till 1917.

The decade may be described as a healthy one with the exception of the year of influenza. In a series of particularly good years 1915 and 1916 stand out as less healthy than the rest owing to epidemics of plague and fevers respectively. Consequently the birth rate was high except in 1918 when it dropped to an exceptionally low figure and though it improved in each of the subsequent years, it failed to reach its former level.

The Triple Canal Project, consisting of the Upper Jhelum, the Upper Chenab and the Lower Bari Doab Canals was completed during the decade and by 1920-21 the three canals were irrigating 2,811 square miles.

absence of Indian representatives was resented by a section of the public At the same time the country was drifting towards an economic depression. In 1928 as the result of a widespread revolutionary conspiracy Mr Saunders a young Assistant Superintendent of Police was shot dead at Lahore in broad daylight when leaving his office and a head constable was also murdered when pursuing the assailants. Two years later an attempt was made on the life of the Governor of the Punjab when a Hindu youth opened fire on him with a pistol as he was leaving the University Hall after presiding over the Convocation. The proceedings of the judicial trials of those involved in revolutionary conspiracies were given great prominence in the vernacular press. The activities of the Congress in this Province received a fillip by the holding of its 44th session in Lahore during the Christmas of 1929 when a resolution of complete independence was passed The civil disobedience movement was started in the spring of 1930 and an attempt was made in many places to break the salt laws. Later in the year Government took strong action against the law breakers, and numerous Congressmen were arrested. Some of the prominent Indian politicians were invited during the winter to a Round Table Conference in London. The Congress, however declined to participate. Early in 1931 the Congress leaders were released and soon after as a result of negotiations between the Government of India and the Congress a pact was concluded, under which the Congress called off the civil disobedience and Government released all political prisoners except those convicted of violent crime. Thus the decade ended as it had begun with the political situation being a dominant feature in the country

Health Conditions. 17 The principal features of the decade, 1921—30 so far as they bear on the general health of the people and affect the birth and death rates, are described below year by year The figures relate to British Territory only

1921. The year 1921 was healthy though it did not come up to 1920 in this respect. The death rate (30·1) was low but it was slightly in excess of those of the previous two years, which was largely the result of a widespread epidemic of cholera which was the highest on record since 1900 coupled with localised epidemics of malaria in areas where the monsoon conditions had been favourable The fever death rate was the highest of the death-rates and exceeded the rate of the previous two years. The birth-rate (41 3) was lower than that of the preceding year

1922. The year 1922 was an exceptionally healthy year in the Punjab The total death rate (29 07) from all causes was lower than it had been since 1878 and considerably lower than the quinquennial average (39·2). Only two provinces Madras and North West Frontier Province, reported a lower death rate for 1922. Rainfall was timely and the meteorological conditions were unfavourable to the spread of the disease. The only epidemic disease which assumed alarming proportions during 1922 was plague, which caused 7 837 deaths as against 2 896 in 1921 Even so the outbreak was considerably less severe than that of 1910 when the total number of deaths from plague approached 13 000 No other cause of mortality showed an increase The birth-rate was 30·3 showing a decrease of 2·2 *per mille* a against the figure for the previous year

1923. The year 1923 was a year of good harvests and low prices but was considerably less healthy than the year 1922. Heavy winter and spring rain favoured the spread of plague and a slight excess in the monsoon rainfall was responsible for an increase in the mortality from fevers. The year was, however relatively healthy and the death-rate (30·91) was lower by 0 4 *per mille* than the quinquennial average but it was higher than that recorded for other provinces in India.

During 1923 the birth-rate rose to 43 2 *per mille* as against 39 3 *per mille* for the year 1922 This figure is the highest recorded for any province in India with the exception of the Central Provinces for which the birth-rate stood at 45 63

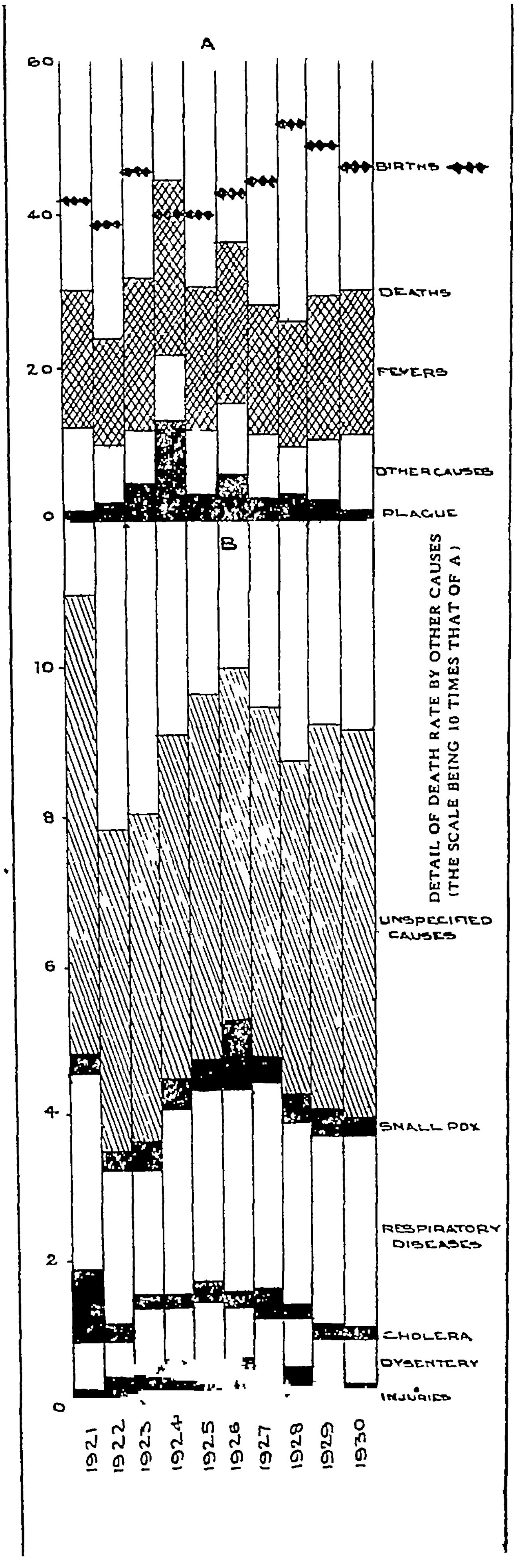

Annual Birth and Death rate (1921—30), *and deaths according to causes.*

Of the chief diseases prevalent during the year were plague and fevers with a total death-rate of 2 44 and 20 49, respectively The latter included relapsing fever which was prevalent in an epidemic form more especially in the western Punjab In Muzaffargarh District it was particularly severe and caused 6,207 deaths during the year The year 1923 marks the re-organisation of the Public Health Department in the Punjab

1924. After 5 relatively healthy years the year 1924 was characterised by extreme unhealthiness, the death-rate being 43 43 which is four times that of the United Kingdom and 16 08 *per mille* in excess of the provincial death-rate during the preceding five years The rainfall and climatic conditions were eminently favourable for the spread of the disease and the main cause of the abnormal death-rate was plague and fevers, the figures for which were 11 48 and 3 65 *per mille* respectively, above the quinquennial averages But the high death-rate was associated with a high birth-rate, the provincial figure being 40 1 *per mille* as compared with an average birth-rate of 40 5 during

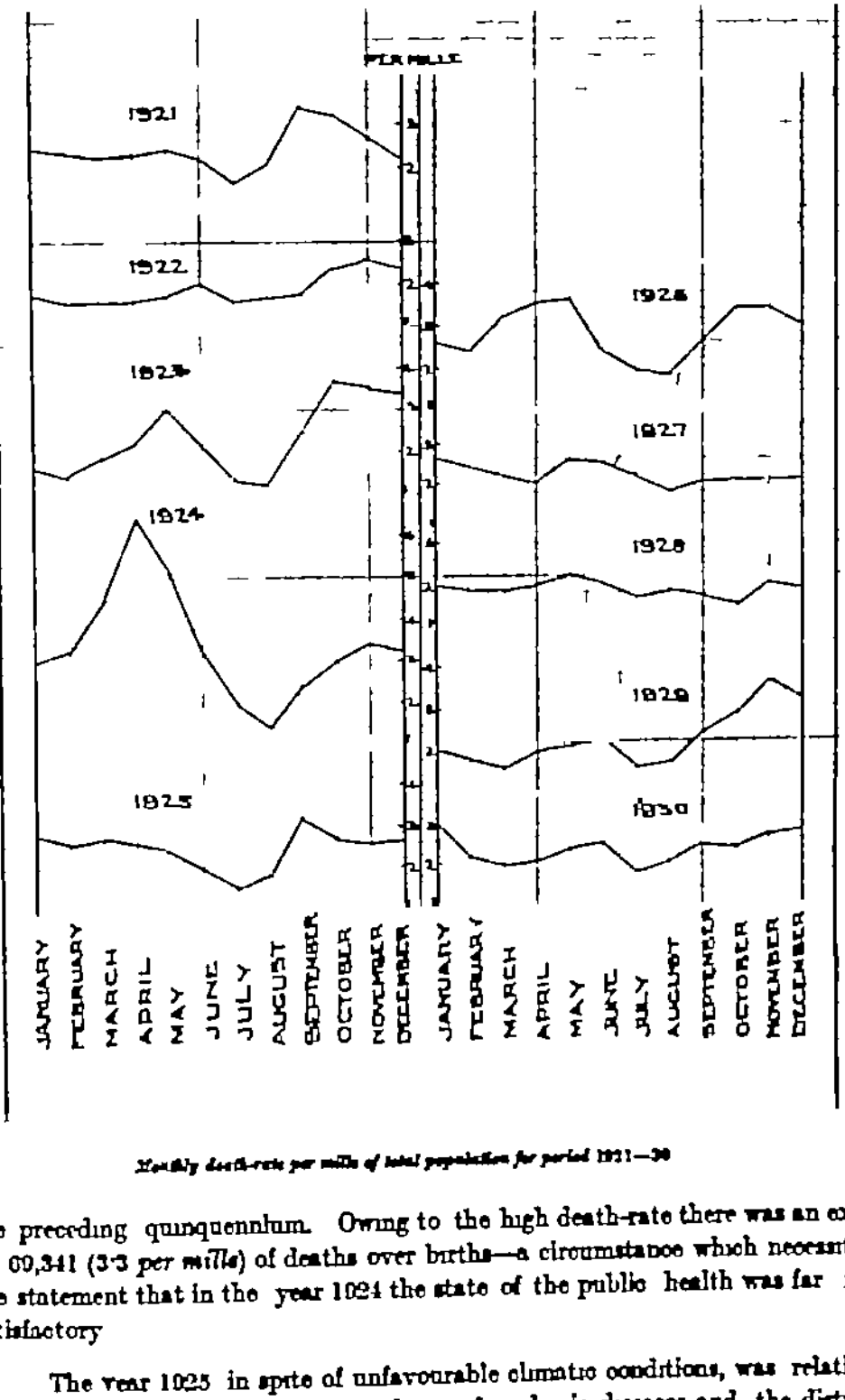

Monthly death-rate per mille of total population for period 1921—30

the preceding quinquennium. Owing to the high death-rate there was an excess of 69,341 (3·3 *per mille*) of deaths over births—a circumstance which necessitates the statement that in the year 1024 the state of the public health was far from satisfactory

1925. The year 1025 in spite of unfavourable climatic conditions, was relatively healthy There was no undue prevalence of epidemic diseases and the distribution of the monsoon rainfall, which was above normal, was unfavourable to malaria. The death-rate was not only 13 4 *per mille* less than the rate of the previous year but also less than the average for the previous quinquennium. The Punjab continued to occupy the position of having the high birth-rate and a greater excess of births over deaths (10·1 *per mille* of the population) than any other province of India. There was, however no variation in the birth-rate for 1025 over the figures for the previous year northern hill range and outcrop in a thin ribbon along the scarp of the Salt Range. The oil bearing rocks which have been penetrated by the drill at Khaur consist entirely of upper and lower Murree beds, of Miocene (Helvetian to Burdigalian) Age. Oil is found at a great number of levels, of which the most highly productive are known as the 400 foot sand, the 1,600 foot sand the 3,100 foot sand the 3,800 foot sand and the 4,800 foot sand. Water is also present frequently in large volume, the main water sands being known as the 500 foot, the 2,800 foot and the 4,300 foot sand. Attempts have been made to stimulate production by "shooting by the application of vacuum, and the injection of air or gas under pressure, but the results achieved have been meagre The shallow wells—that is, those less than 2,000 feet in depth—are pumped by means of central powers driven by electric motors and gas engines, while the deep wells either flow naturally or are pumped " on the beam " by electric motors. The hardness of the strata has rendered drilling a slow and expensive proposition, although the Company has kept well abreast of modern practice. At present with the most modern and high powered rotary drilling equipment it takes six months to drill a well to 4,800 feet depth.

The greatest difficulty in the present development of the field is caused by the extremely high pressures encountered. Measurements made in some of the deep wells give records very much exceeding the hydrostatic head of a column of water of equivalent depth. In one well nearly 5,200 feet deep the rock pressure is known to be at least 5,100 lbs. per square inch. The explanation given by the Company geologists for these extremely high pressures is that the rocks are still under the influence of the Himalayan folding movements. The means employed to combat the high pressures consist of the use of specially weighted mud fluid and of various mechanical devices allowing of drilling under pressure.

Production of the field by years.

Year	Barrels of 40 Imperial Gallons.
1922	182,904
1923	285,114
1924	268,343
1925	201,180
1926	188,528
1927	260,690
1928	308,334
1929	480,222
1930	191,684
1931 ..	138,943

Since the refinery was opened in 1922, annual production has been as given in the margin. The crude is refined into the following products Petrol Kerosene, Lubricants, Diesel Fuel, Wax and Candles. A 6" diameter pipe line conveys the crude oil from the oil field to the Company's Refinery at Morgah, near Rawalpindi, a distance of 42 miles.

Cement Works.

July—December	1923		4,930 Tons.
Jan.—December	1924		33,276
Do.	1925		36,088 ..
Do.	1926		41,148 ..
Do.	1927		43,207
Do.	1928		58,203 ..
Do.	1929	..	60,323
Do.	1930		66,441 ..
Do.	1931		52,439 ..

The cement works are situated at Wah, a railway station on the North Western Railway between Rawalpindi and Campbellpur The Managing Company started working in May 1922, and the figures in the margin give the annual output of cement since 1923 The exports from this Company have so far been limited to various districts within the Province

Joint Stock Companies.

33 The last decade witnessed an appreciable growth in joint-stock enterprise. The table on the following page shows the number of new companies registered and their nominal capital for the last two decades the number and capital of companies which went into liquidation or were otherwise dissolved and

the average number and capital of companies existing at the end of each year in the two decades

1	2		3				4			
	New companies registered		Companies which were liquidated or otherwise dissolved				Average Number of Companies and Capital existing at the end of each year.			
Year.	No	*Capital* (0,000's *omitted*) Nominal	No	*Capital* (0,000's *omitted*)			No	*Capital* (0,000's *omitted*)		
				Nominal	Subscribed	Paid up		Nominal	Subscribed	Paid up
1911 12 to 1920 21	159	7,653	194	8 253	2,018	913	1097	5,783	2,989	2,208
1921 22 to 1930 31	337	14,320	150	6,331	2,338	1,689	1827	12,268	4,013	3,148

The above table reveals some interesting features of the development of joint-stock enterprise and the commercial and industrial life of the Province In the first place, it will be observed that whereas the total number of new companies registered during the last decade was more than double the number of new companies registered during the previous decade, the increase in nominal capital was slightly less in proportion The average nominal capital of the companies existing at the end of each year, shown in column 4 of the table, gives an increase of 112 per cent , the average increase in the number of companies being only 65 per cent The subscribed and paid up capital, which is a true index of the financial position of a company, showed an increase of 54 per cent and 37 per cent respectively, as compared with the 65 per cent increase in the number of companies The fact that the subscribed and paid up capital did not keep pace with the increase in the number of companies was due partly to over-caution on the part of the average investor, imposed by his past sad experience, and partly to uncertain trade conditions towards the close of the decade While the average nominal capital of companies which went into liquidation in the two decades ending 1920-21 and 1930-31 was about the same, *i e*, Rs 42 5 lakhs, the average subscribed and paid up capitals during the last decade were higher, *i e*, Rs 15 6 and Rs 11 3 lakhs as compared with Rs 10 4 and Rs 4 9 lakhs, respectively, for the previous decade This is accounted for by the fact that the companies which went into liquidation had larger subscribed and paid up capitals

The number and capital of the companies in existence on 31st March each year are shown in the following statement, which also gives similar details in respect of new companies registered and companies which were liquidated or ceased to work in each year —

Year	New Companies Registered				Companies which were liquidated or otherwise dissolved				Companies existing at the end of the year			
	No	*Capital* (0,000 s *omitted*)			No	*Capital* (0,000 s *omitted*)			No	*Capital* (0,000 s *omitted*)		
		Nominal	Subscribed	Paid up		Nominal	Subscribed	Paid up		Nominal	Subscribed.	Paid up
1	2	3	4	5	6	7	8	9	10	11	12	13
1921 22.	23	1,426	Not available	Not available	10	293	164	154	112	1,083	451	357
1922 23	23	1,097			5	1,040	672	660	130	1,022	352	219
1923 24	33	3,742			17	270	42	33	149	1,204	355	278
1924-25	26	1,038			16	225	244	123	159	1 099	391	220
1925 26	23	418			13	900	117	37	168	1 071	420	280
1926-27	29	2,479			21	882	123	38	173	1,269	456	314
1927 28	31	603			17	733	174	129	187	1,236	491	329
1928 29	36	1,046			11	144	21	4	212	1,366	571	387
1929-30	57	1,476			17	508	165	40	252	1,463	575	297
1930 31	56	995			23	1,327	616	471	285	1,435	548	367

NOTE —In the year 1921 22, two companies were transferred from Delhi to the Punjab and in the year 1922 23 one company was transferred to Bengal and one company from Bengal was transferred to the Punjab In the years 1923-26, one company was transferred to Bengal and three companies were transferred from Delhi to the Punjab and in the year 1926-27, one company was transferred to Delhi and two to United Provinces

The table shows that the revival which set in in the year 1920-21 was maintained in the succeeding two years, followed by a big increase in the number of new companies registered in the year 1923-24 after which there was a lull for two years. From 1926-27 onwards the number of new companies rose from 29 in 1926-27 to 36 in 1928-29 and then by a rather sudden leap to 57 in 1929-30

The decade was not marked by any serious financial crisis or bank failures. The abnormal number of failures in the last year of the decade was apparently due to the continued trade depression, which also resulted in an increasing *tendency among capitalists to withdraw rather than invest money* During the whole of the decade most of the new flotations were minor trading concerns and joint-stock organizations, with a tendency to group themselves into commercial and banking corporations rather than into industrial organizations. The last two years were remarkable for the increased interest in the flotation of loan companies.

The nature of companies in existence in 1921 and 1931 is shown in the table below

Nature of Company		N	Capital 0,000' omitted. Nominal.	Subscribed.	Paid up.
Banking and Loan	1921	25	4 73,6	[illegible],73,2	2,20,3
	1931	26	4,83,4	[illegible],03,1	1,01,1
Insurance	1921	4	30,0	16,7	8,0
	1931	1	78,1	36,8	6,8
Transport	1921	4	9,5	[illegible]6	2,0
	1931	4	6,2	1,3	1,2
Trading and Manufacturing	1921	44	1 07,2	36,8	23,5
	1931	194	4,93,3	1,4[illegible]2	1,04,4
Mills and Presses	1921	9	1,3	16,3	18,2
	1931	1[illegible]	1,56 8	87,0	80,2
Mining and Quarries	1921	2	3,3	3,1	3,1
	1931	3	6,6	1 8	1,2
Estate Land and Building	1921	2	1,3	2	1
	1931				
Breweries and Distilleries	1921	3	2[illegible]9	22,0	2[illegible]9
	1931	2	38 0	34 0	34,0
Sugar	1921	2	8	6,8	4 8
	1931	6	46 0	[illegible]3 9	23,3
Hotels, Theatres and Entertainments	1921	3	39,[illegible]	42,4	49 4
	1931		93,5	41 4	42,6
Others	1921				
	1931	1	1,0		

It is evident that there was an increase in the number of companies in all branches of business, excepting breweries and distilleries which decreased from three in 1921 to two in 1931 Estate land and buildings, the two companies existing in 1921 were wound up eight years later The number of transport companies remained stationary Among other classes of companies, insurance companies have multiplied [illegible]5 times and trading and manufacturing companies 4.41 times.

The number of mills and presses companies has doubled, and that of sugar companies trebled Hotels, theatres and entertainments companies have increased from 3 to 8, and banking and loan companies from 25 to 28

During the decade 36 new banks were started and 32 were brought under liquidation The higher percentage of fall in the paid up capital of banking and loan companies was due to the failure of some banks with a higher proportion of paid up capital

The large increase in insurance companies is not necessarily a sign of satisfactory progress as a fairly large number of such companies has been started by men of small means and with little experience of their working The majority of trading and manufacturing companies are private limited companies as distinguished from public limited companies Most of these companies are working satisfactorily The increase in mills and presses and sugar companies indicates healthy growth The increase under hotels, theatres and entertainments is due to the flotation of film companies, which have received much patronage from the public during the concluding portion of the decade

The nominal, subscribed and paid up capital of all companies at the close of the decade was Rs 143,503,380, Rs 54,813,100 and Rs 36,655,924, as compared with Rs 108,301,940, Rs 45,128,850 and Rs 35,769,359 in 1921, respectively

The increasing interest evinced by the industrial and commercial community of the Province in joint-stock enterprise during the last ten years was due to the comparative prosperity and high level of prices during the first half of the decade The abnormal increase in the number of companies, which commenced in 1929-30, continues and as many as 80 companies, which is a record number, were registered during the year 1931-32 The flotation of trading and manufacturing and provident insurance companies is becoming more popular Companies falling under the former category are intended to further industrial objects, such as supply of pure *ghi*, silk and hosiery manufacture, manufacture of chemicals and drugs, export and import business and commission agencies On the whole the increase in the number of registered companies indicates an increasing realisation of the benefits of joint-stock enterprise During the decade undesirable and financially weak concerns continued to go into liquidation, but there is still a considerable number of spurious companies The continued increase in the number of companies indicates a return of confidence in their working, which was so badly shaken at the close of the previous decade It is anticipated that with the rise in the general level of prices and the end of prevailing trade depression, more capital will be diverted into joint-stock companies

34 The wages of agricultural labour continued to remain at a high level up to 1927-28 During this period an appreciable improvement was noticed in the position of labourers, which is evident from the fact that many landlords found it difficult to secure tenants A slight fall in wages was noticed in the year 1928-29, after which there has been a continuous fall in agricultural wages In his Report for the year ending 30th June 1931 the Director of Land Records, Punjab, remarked, "Wages of agricultural labour have gone down to some extent though not in proportion to the decline in prices" This remark is also true of labour employed in factories registered under the Indian Factories Act The figures quoted on the next page show the wages of various classes of workmen employed in factories during the last decade, and also compares them with the wages prevalent in 1911 and 1915 Wages

Statement of monthly wages (in rupees) of factory operatives

Wages.	1911.	1918.		1921.	1922.	1923.	1924.	1925.	1926.	1927.	1928.	1929.	1930.	1931.
Monthly.														
Engine driver	25-0	15-0	40-0	30-0	35-0	35-0	40-0	42-0	41-0	44-0	43-0	41-0	41-0	39-0
Boilerman	12-0	15-0	25-0	25-0	28-0	25-0	28-0	30-0	33-0	33-0	32-0	33-0	31-0	28-0
Blacksmith	24-0	15-0	40-0	35-0	35-0	35-0	40-0	44-0	44-0	44-0	48-0	42-0	42-0	38-0
Fitter	24-0	20-0	60-0	50-0	50-0	50-0	53-0	60-0	62-0	63-0	63-0	61-0	60-0	55-0
Carpenter	28-0	20-0	40-0	35-0	40-0	40-0	43-0	45-0	48-0	43-0	45-0	41-0	41-0	39-0
Oilman		10-0	20-0	20-0	23-0	23-0	24-0	27-0	27-0	37-0	25-0	21-0	31-0	20-0
Mech				30-0	30-0	[illegible]	33-0	40-0	45-0	48-0	46-0	43-0	41-0	38-0
Spinner	8-0	18-0	20-0	20-0	[illegible]	[illegible]	28-0	25-0	23-0	28-0	27-0	28-0	28-0	25-0
Weaver	10-0			40-0	33-0	35-0	40-0	40-0	41-0	40-0	38-0	33-0	32-0	32-0
Dyer	11-0			30-0	[illegible]	23-0	20-0	[illegible]	22-0	22-0	23-0	20-0	20-0	20-0
Reeler (woman)				15-0	20-0	20-0	22-0	[illegible]	22-0	[illegible]	23-0	20-0	20-0	20-0
Press Compositor		20-0	31-0	25-0	40-0	40-0	36-0	40-0	42-0	44-0	43-0	43-0	39-0	35-0
Press Distributor		8-0	14-0	15-0	18-0	18-0	16-0	20-0	[illegible]	22-0	—-0	20-0	20-0	18-0
Daily.														
Cooly (opener)		0-6 to 0-10		0-15	1-0	1-0	1-0	1-0	1-0	1-0	1-0	0-13	0-12-6	0-11
Coolie (man) on gins.	12-0-0 p. m.	0-4 to 0-6		0-8	0-8	0-8	0-8	0-8	0-8	0-8	0-8	0-7	0-6	0-5
Coolie (woman) on gins	8-0-0 p. m.	0-3 to 0-5		0-7	0-6	0-6	0-6	0-6	0-6	0-6	0-6	0-5-6	0-5	0-4

It will be seen from the above statement that wages reached the maximum limit in 1926 and remained stationary with very slight fluctuations till 1928 after which a gradual fall commenced in sympathy with the general trade depression and fall in prices. The downward tendency still continues as is apparent from the figures for 1931. It is also noteworthy that as compared to 1921 the wages in 1926 had increased by 33 to 50 per cent. for the various classes of workers. Even in 1930 they were about 20 to 25 per cent. in excess of those in 1921 though in the case of unskilled daily labourers they fell about 25 per cent. in 1931 as compared with 1921. The increase in wages since 1911 has been enormous, and in 1926 it was 100 to 400 per cent.

Prices. 35. The average price of wheat in the preceding decade (1911-20) was Rs. 4·298 per maund as compared with Rs. 5·186 for the 10 years ending in 1930 which gives an increase of 20 per cent. The highest price was reached in the year 1921 when it was Rs. 7·647 per maund. There was a fall in 1923 but thereafter till the end of 1929 prices ranged high. The course of prices has been similar in the case of inferior food grains. The price of cotton was very remunerative throughout the decade excepting the last two years when it fell suddenly like all other prices.

The average prices of food-stuffs are given in the table below for all the years of the decade.

*Average annual prices in the Punjab expressed in rupees and decimals of a rupee per maund.**

Year.	Wheat.	Rice.	Barley.	Bajra.	Jowar.	Gram.	Maize.	Salt.
1921	7·647	9·112	[illegible]	7·254	[illegible]	[illegible]	6·219	2·878
1922	6·093	8·767	4·074	5·377	4·941	5·040	5·332	2·907
1923	4·078	7·111	2·490	2·383	3·219	2·976	2·979	2·834
1924	4·444	7·272	2·850	3·34	3·370	3·153	[illegible]	2·949
1925	6·008	7·901	3·953	4·708	4·441	3·679	4·384	2·810
1926	5·423	7·901	3·835	5·377	5·203	4·507	5·161	2·808
1927	4·84	7·819	3·637	[illegible]	4·464	4·418	4·125	2·838
1928	5·829	7·830	3·767	4·839	3·976	4·870	4·923	2·880
1929	5·703	7·447	[illegible]	5·81	4·764	5·470	4·637	2·850
1930	3·161	[illegible]	[illegible]	[illegible]	[illegible]	3·441	2·965	2·831

* Averages are based upon figures given in [illegible] Years of Punjab Food Grain Prices by Professor Brij Narain as subsequently brought up to date by [illegible] of Economic Inquiry, Punjab.

Cost of living

Index numbers of prices are not published by any agency in this Province It is, therefore, not possible to give an accurate idea of the general level of prices and their relation to wages As regards the relation between the fall in the prices of food grains and wages of agricultural labour, the opinion of the Director of Land Records, Punjab, has been quoted above But a large number of non-food articles enter into the family-budget of a worker regarding which no reliable information concerning the Punjab is available An idea of the fluctuation of prices may be formed from the table in the margin which shows annual movements in food, non-food and general wholesale prices in Bombay* It is evident that the actual index numbers of food and non-food articles for the Punjab would be different from those of Bombay but it may be assumed that the trend of the curve of index numbers for the Punjab would run on the whole almost side by side if not quite parallel to that of Bombay The above table shows a fall of 64, 63 and 64 per cent in food, non-food and general index numbers, respectively, in 1930 as compared with 1921 Assuming that the prices of food and non-food articles in the Punjab nearly fell to the same extent, we could safely say that while wages were still high in 1930 as compared with 1921, prices had gone down considerably, indicating that a labourer was better off than in the previous decade

(*July* 1914-100)

Year		Food Index No	Non food Index No	General Index No
Twelve monthly average for	1918	171	275	239
Ditto	1919	202	234	223
Ditto	1920	206	219	216
Ditto	1921	193	201	198
Ditto	1922	186	187	187
Ditto	1923	179	182	181
Ditto	1924	173	188	182
Ditto	1925	155	167	163
Ditto	1926	145	152	149
Ditto	1927	143	148	147
Ditto	1928	144	146	146
Ditto	1929	149	143	145
Ditto	1930	123	127	126
Ditto	1931	95	116	109

Road Communications.

36 Whereas the increase in the mileage of metalled roads during the previous decade amounted to 318 (from 2,619 to 2,937 miles), the corresponding figure for the last decade is 1,136 miles or nearly four times as much, and the total mileage now is 4,073 miles These figures, however, do not indicate the actual development, which has taken place in the form of bridges over rivers and *nullahs* and inter-district connections being established in various directions The effect of such development on the agricultural and industrial life of the Province cannot be over-estimated

The first step was to reclassify the roads on a systematic basis and by the reclassification scheme sanctioned during the last decade 42 important lines of communication were arterialized Main roads of secondary importance remained with the local bodies The District Boards also maintained certain roads which were not included in the above two categories The total mileage of metalled road increased from 2,937 miles in 1920-21 to 4,073 miles in 1930-31 Important road-bridges were completed over the Chenab and Palkhu at Wazirabad, over the Beas near Dera Baba Nanak, over the Sutlej near Ferozepore, over the Chenab at Chiniot, over the Jhelum at Khushab, the weir across the Sutlej at Suleimanki, over the Bakrala Nallah in the Jhelum District, at Haro on the Grand Trunk Road in Attock District, over Binwan Khud in Kangra Valley, over Deg and Dehri streams and over the Bhimber near Gujrat A large number of smaller bridges was also constructed or rebuilt and boat-bridges were thrown across the river Chenab at Talibwala and a suspension bridge† over the Choi Nallah on the Pindigheb-Campbellpur Road A span of the Kohala Bridge on the Rawalpindi-Kashmir Road was washed away by the abnormal floods of 1929 among the illiterate masses of this Province, who cannot be taught by any other means, can surely be regarded as of inestimable value At the present moment the only transmitting station in the Province, which was opened in Lahore in October 1930, is maintained by the Young Men's Christian Association and functions only from October to May It can be picked up regularly throughout the central Punjab and occasionally in the whole of the Northern India The total number of receiving sets in the Province is about 1,500

---

*Bombay Labour Gazette Vol XI, No 8, April 1932 page 752

†The bridge was washed away in August 1929 soon after completion

Broad-casting is still in its infancy in the Punjab, but in view of its increasing popularity it has, I believe, a great future before it

SECTION 6.—MOVEMENT OF THE POPULATION.

45 Having summarized in the last section the progress made by the Province in several directions we may now examine the intercensal increase in the population The population of the Punjab has increased during the last decade by 3,389,343 or by 13 5 per cent, which is a rate of growth higher than that recorded at any previous census The increase in British Territory amounts to 2,895,374 or 13 9 per cent and that in the Punjab States to 493,969 or 11 2 per cent During the last fifty years the population of the Province has risen from 20,800,995 to 28,490,857 or by 37 per cent The corresponding figure of increase for British Territory is 6,641,540 or 39 2 per cent and for Punjab States 1,048,322 or 27 1 per cent The table below shows for the Punjab and some of the principal foreign countries the actual rise in population since 1881 together with the percentages of increase

Increase in the Population

Country	1931	1881	Variation	Percentage
Punjab	28,490,857	20,800,995	7,689,862	37·0
i *British Territory*	*23,580,852*	*16,939,312*	*6,641,540*	*39 2*
ii *Punjab States*	*4,910,005*	*3,861,683*	*1,048,322*	*27 1*
India	352,837,778	253,896,330	98 941,448	39 0
England and Wales	39,988,000	25,974,439	14,013,561	54 0
France	41,860,000	37,672,048	4,187,952	11 1
Sweden	6,162,000	4,565,668	1,596,332	35 0
Japan	64,700,000	35,769 000	28,931,000	80 9
United States of America	124,070,000	50,156,000	73,914,000	147 4

During the last fifty years the population of this Province has risen by a percentage almost equal to that of India The rate of growth is, however, much smaller than that of England and Wales for the same period, although the latter lose much of their population by emigration France, which has the smallest rise of all civilized countries, is of course an exception The rise in Sweden is about the same as in India, and it would have been much greater but for large emigration to America The rise in Japan, which is due more or less to natural causes, is twice as much as in the Punjab, while the extraordinary rise in the population of the United States of America is nearly four times as much

The increase during the last decade is phenomenal, and was certainly not expected, particularly when it is realised that the number of deaths caused by the influenza epidemic of 1918 in British Territory alone was about a million, out of which the deaths in the reproducing section (aged 15—40) were 417,699 (205,399 males and 212,300 females) The recuperative power of the Province is, however, well-known and the birth-rate after an epidemic or famine soon recovers its former level, while the death-rate keeps low This has been ascribed sometimes to the weeding out of the weak elements of society, as evidenced by the fact that in 1919 the death-rate fell to 28 3 *per mille* and in 1922 to 22 *per mille*, which is the lowest on record since 1877 As regards the birth-rate, it had dropped to 39 6 *per mille* during 1918, the year of the influenza, but rose to 40 3 in the following year and to 42 9 in 1920 as against 43 8, the average of the decade.

During the last decade the birth rate maintained a high level while the death rate was particularly low during most of the years. The natural increase i e. the excess of births over deaths, though considerable, does not account for the total rise in population, and the amount of migration has further to be taken into account and undoubtedly has a considerable effect on the population figures The exodus from the Province is much greater than the influx. The statistics obtained at this census show that 703 603 Punjab-born persons were enumerated outside the Province while 674 152 persons enumerated within the Province had been born outside its limits. This excess of emigration over immigration has also to be reckoned with.

It has also to be borne in mind that the record of births and deaths cannot be entirely depended upon, and errors apart from omissions which must be considerable especially in the case of births, are also accompanied by errors that creep in during compilation under a system which does not enjoy the benefit of centralisation

Before entering upon further discussion about the rate of increase in the population and ascertaining how far it is due to natural causes it will be well here to indicate by means of a map the varying rates of increase in different parts of the Province. In colony areas, where there is a considerable amount of immigration, and where the economic prosperity and sanitary conditions secure for the populace a large excess of births over deaths, the rate of increase is not at all a *matter for surprise*. The map in the margin shows at a glance the percentages of increase for the various districts and states. A comparison with the density map at page 13 will show that the areas with the largest percentage of increase are not necessarily those with the maximum density and this is far from being the case except in one or two districts. It is however obvious that the population is gravitating towards the south west where the canal colonies are situated In this tract the population is growing apace and the rise in the Montgomery District is as large as 43 8 per cent in Multan 22 1 per cent and in Bahawalpur State 26 per cent Of course the main cause is the influx of cultivators into these areas as a result of colonization.

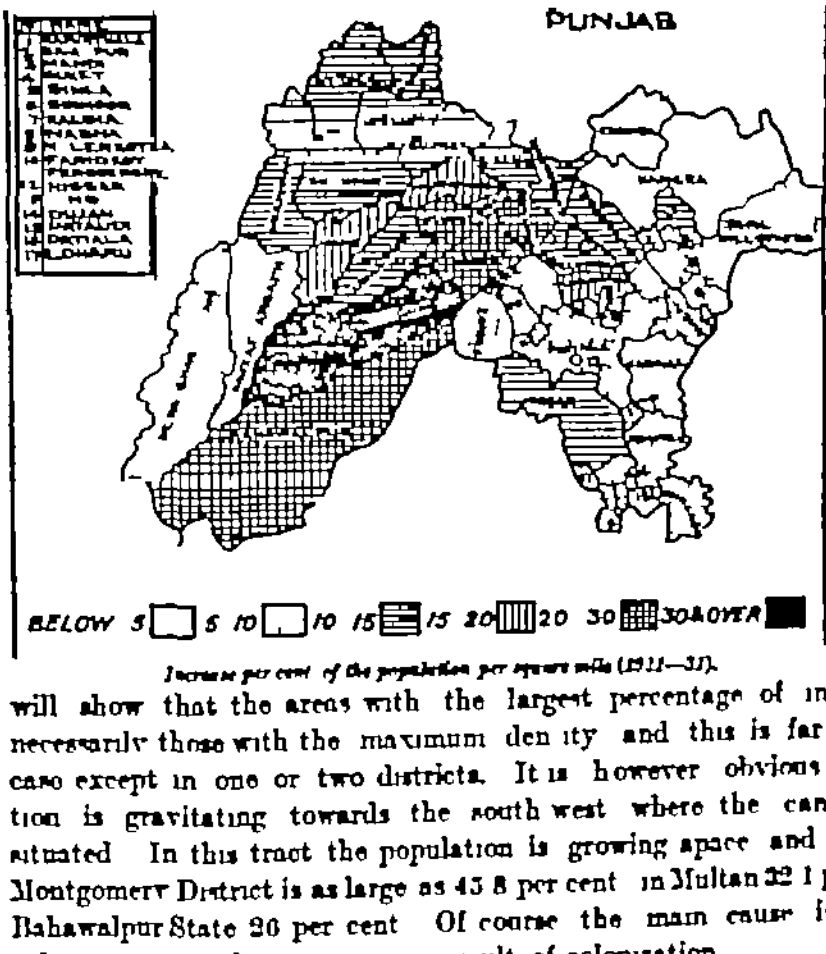

Increase per cent of the population per square mile (1911—31).

There is a danger however of over-estimating the rise in population if expressed in the form of percentages as certain district which were sparsely populated show a high percentage of increase without the population having approached the density of thickly populated non-colony districts. Mianwali is a case in point and although it is the 23rd district in the order of absolute increase, it has the ninth highest percentage of rise A more suitable way to estimate the rise in population of a locality is to examine the rise in the number of persons per square mile, for this correlates the rise in the number of persons with the extent of the area on which they are spread The map in the margin shows the increase in the number of persons per square mile in each district and state during the last decade It will be seen that Montgomery is among the few districts, which claim an increase of over 70 persons per square mile and it has also the highest percentage increase On the other hand Lahore, Amritsar, Jullundur and Ludhiana, while showing a large increase in the number of persons per square mile, do not exhibit such a large percentage of increase for the obvious reason that they were already congested In Lyallpur, Sialkot and Gurdaspur the population has risen considerably both in respect of the total increase and increase per square mile In Multan and Bahawalpur the increase per square mile is still very much less than in the districts mentioned above Before Bahawalpur becomes densely populated like the neighbouring District of Multan, it will absorb nearly 200,000 more persons, and in view of its agricultural development, such a contingency does not appear to be very remote

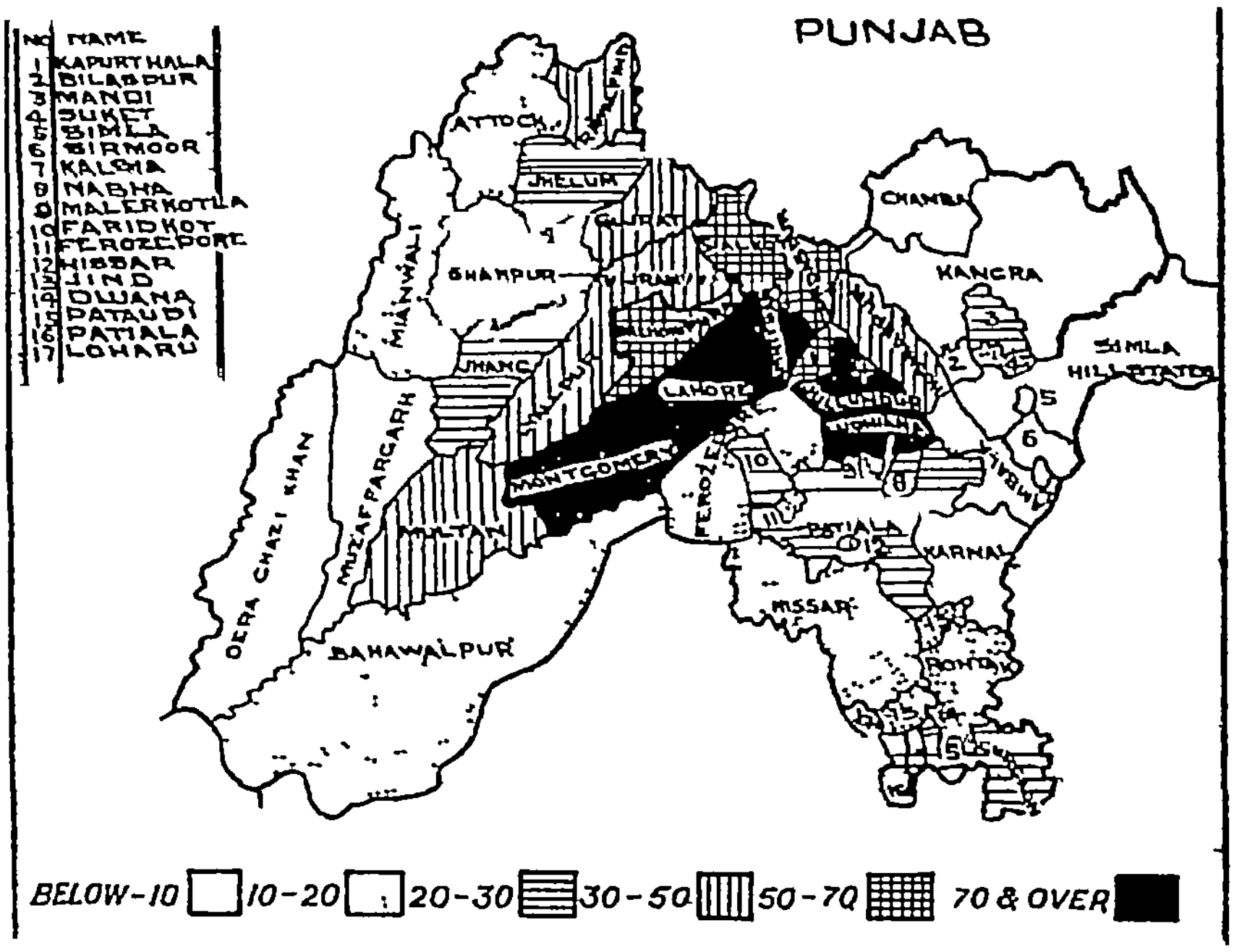
PUNJAB
NO NAME
1 KAPURTHALA
2 BILASPUR
3 MANDI
4 SUKET
5 SIMLA
6 SIRMOOR
7 KALSIA
8 NABHA
9 MALERKOTLA
10 FARIDKOT
11 FEROZEPORE
12 HISSAR
13 JIND
14 DUJANA
15 PATAUDI
16 PATIALA
17 LOHARU
ATTOCK
JHELUM
GUJRAT
SHAHPUR
MIANWALI
JHANG
LAHORE
MONTGOMERY
MULTAN
MUZAFFARGARH
DERA GHAZI KHAN
BAHAWALPUR
FEROZEPORE
PATIALA
KARNAL
HISSAR
ROHTAK
AMBALA
CHAMBA
KANGRA
SIMLA HILL STATES
BELOW-10 ☐
10-20 ☐
20-30 ▤
30-50 ▥
50-70 ▦
70 & OVER ■

Increase in the number of persons per square mile (1921—31)

The Causes of the Variation in the Population

46 In the ordinary course of events the population may vary at each census owing (1) to a difference in the standard of accuracy attained at different censuses, (2) to variation in area, (3) to excess of births over deaths or *vice versa* and (4) to migration For the sake of convenience the last three causes will be dealt with first To illustrate the variation in population resulting from changes in area, it may be stated that the population of the Punjab in 1901 was smaller than in 1891 because during the intervening period a considerable portion had been taken away from it to constitute the North-West Frontier Province As a matter of fact in the areas, which continued to form the Province, the population showed an increase as observed in Section 4 above When we refer to the population of the Province or any of its parts at a past census, we mean the population that resided in the area as constituted at present In this way alone a comparison is possible, and it is after the necessary adjustments that variations at each census are given in Imperial Table II for the Province as well as for all districts and states *

---

*The revised total population of Lyallpur and Sheikhupura for 1921 comes to 1 009,570 persons (562,320 males, 447,250 females) and 582,895 (326,404 males, 256,491 females), respectively, and not as shown in Imperial Table II

The external changes of boundaries during the last decade which affect the population of the Province have been described in Section 1 and the increase in population due to them is only 454 for the 1921 Census, which is negligible. All the same the figures of 1921 and of previous censuses in Table II have been adjusted.

Natural Increase, Births and Deaths.

47 We can now take up the subject of natural increase in the population. There have been 8 700 082 births and 6,260 408 deaths during the last decade in British Territory where a uniform system of registration obtains.* The above figures do not include those for the Biloch Trans-frontier tract of Dera Ghazi Khan District, for which vital statistics are not available.

Ignoring the effect of migration for a moment and adding the births to and subtracting the deaths from, the population enumerated at the Census of 1921 we would obtain the population of the Province, as warranted by natural increase. This simple expedient applied to the figures for British Territory gives result as shown in the margin. This indicates that the actual population is greater than the estimated population.

Census population of 1921	20,648,720
Add excess of births over 1921—30 deaths during the decade 1921—30	2,439,674
Calculated population 1931	23,088,394
Census population 1931	23,581,310
Excess in census population 1931	492,916

An attempt may now be made to calculate the population after taking into account the element of migration during the last decade. The vital statistics do not include the particulars of persons, who were born in the Punjab but left it during the decade or those who were born elsewhere and came to reside therein. As no information is available as to the number of such persons the only alternative is to make an estimate from the material at our disposal. That material consists of the number of persons enumerated in the Punjab with a foreign birth place (immigrants) the number of the Punjab-born enumerated in other provinces and some foreign countries (emigrants), and the total number of births and deaths recorded during the last ten years. In making an estimate of migration we will have to assume that the waves of migration are constant from year to year and that those who migrate do not return. The proportion of the population, which migrates to and from the Province is so small, being only between 3 and 5 per cent. respectively of the total population that it should not affect the results to any appreciable extent even if the calculations err slightly on one side or the other

The number of the present migrants is known to us, and we can obtain from the last Census Report the number of persons born in the Punjab and enumerated outside in 1921 while the same Report will also give us the number of persons born outside and enumerated in the Province in 1921 These we may call the emigrants and immigrants of 1921 The figures of emigrants of 1931 as communicated by the Census Commissioner and immigrants in our own record. contain some of the persons, who had migrated prior to 1921 and were still alive If we could find out their number we would be in a position to ascertain the number of persons who migrated during the last decade? The only means to ascertain the former figure is the application of a suitable death rate to the total number of migrants of 1921 While determining the death rate we have to bear in mind the fact that the persons who leave the Province of their birth are generally in the prime of their lives and as a rule come from the more energetic and healthy section of society They includ a comparatively small number of children and aged people, and consequently the death-rate among them is considerably smaller than in the total population. The mean death-rate of the Punjab for the last decade was 28·6 *per mille*, and assuming that the emigrants do not go to localities more unhealthy than their own, and in this assumption we are on firm ground since most of the emigrants were enumerated in the neighbouring provinces or states a death-rate of 20 *per mille* will be quite appropriate to adopt. If this death-rate is applied we find that $\frac{1}{50}$th of the persons, who had migrated prior to 1921, died every year so that at the time of the present census $\frac{1}{5}$th of them in all would be dead and the number of present survivors will thus be $\frac{4}{5}$th of the total strength of the emigrants in 1921.

---

*11,294 births and 30 104 deaths, registered in cantonments situated in British Territory have been added to figures supplied by the Public Health Department for the [illegible] Punjab.

Having ascertained the number of survivors among persons, who went from or came into the Province prior to 1921, we can work out similar figures for the last decade. It will not, however, suffice merely to subtract the survivors from the total emigrants or the immigrants recorded at this census, because some of the immigrants or emigrants of the decade too must have died during the decade. Applying the same death-rate and still keeping to the assumption of the constant waves we find that of 1,000 emigrants leaving the Province during the first year of the decade ten will have died at the end of the year, and 20 will die in each of the next nine years, leaving 810 of them surviving in 1931. Similarly, of the 1,000, who went out in the second year of the decade 830 will have been left and so on in the ascending scale till we find that of 10,000 emigrants going out of the Province in each of the ten years, 9,000 will be surviving at the time of the census. The same method may be used in respect of the immigrants. Now if we subtract the survivors of the immigrants of the period prior to 1921 from all the emigrants of 1931 we will obtain $\frac{9}{10}$th of the emigrants of the last decade. The result can be shown in the form of the following equation :—

$$E_{31}—\tfrac{4}{5}E_{21}=\tfrac{9}{10}E$$

or

$$9E=10E_{31}—8E_{21}$$

Where E_{31} represents emigrants of 1931, E_{21} emigrants according to the 1921 Census and E the emigrants of the decade, 1921—31.

Similarly, if I (denoting immigrants) is substituted for E in the above equation, we can obtain the number of immigrants coming into the Province during the last decade.

We know that E_{31}=1,065,897 and E_{21}=903,348

I_{31}=895,547 and I_{21}=856,951

By substituting these values in the above formula we get E=381,354, and I=233,318. Therefore I—E=148,036, or in other words the excess of emigration over immigration in the Punjab during the last decade amounts to 148,036. Subtracting this from the figures obtained in the elementary table above we get the result as shown in the margin. The last line in the table indicates that there is an excess of about 600,000 in the enumerated over the calculated population of British Territory in 1931. We may now proceed to explain this excess.

Calculated population (1931) by vital statistics	23,098 394
Deduct excess of emigrants over immigrants during the decade	148 036
Estimated population	22,950,358
Census population of 1931 excluding Biloch Trans frontier Tract	23,551,210
Excess of census population over estimated population	600 852

The enumerated population of 1921 was in defect of the calculated population of that year. If re-calculated with the help of the vital statistics and the figures of migration since 1911 by the same method as has been used above

Census population of 1911 (excluding Baloch Trans-frontier Tract)	19,530,459
Add excess of births over deaths (1911—20)	1,409,348
	20,939,807
Deduct excess of emigrants over immigrants during (1911—20)	141,463
Calculated population 1921	20,818,244
Census population 1921	20,658,720
Defect in census population 1921	159,524

the population of 1921 appears to have been under-enumerated by about 160 000 as indicated in the margin. Subtracting this figure we find that there is an excess of 441,228 in the enumerated population of British Territory over the calculated population. Some of the remaining portion of this excess is accounted for by the over statement of the population which can be tested by other internal evidence afforded by the statistics An attempt will be made at the end of the next section to summarise the causes of inaccuracy in the figures of the total population on this account Further allowance has to be made about the return home of demobilized soldiers and rehabilitation of certain emigrants. Some portion of this excess perhaps results from a more complete enumeration of backward areas. It will be reasonable to assume that these factors account for half of the excess the remainder works out at 94 per cent. of the total population.

Age Distribution.

48 We may now attempt to study how the increase in population has altered the age distribution of the Province or the proportions of the sexes. We shall also notice in the next paragraph what influence the different religions have on the growth of the population.

Percentage of variation in Age-distribution (1921—31)

Province and Natural Divisions	All ages	0—10	10—15	15—40	40—60	60 and over
Punjab Province	*+13·5*	*+14·8*	*+17·1*	*+20·6*	*+5·4*	*−14·2*
1. Indo-Gangetic Plain West	+11·4	+12·6	+17·6	+19·1	+3·1	−17·1
2. Himalayan	+8·4	+9·9	+8·1	+9·3	−0·2	−30·4
3. Sub-Himalayan	+11·9	+13·7	+13·4	+17·8	+1·2	−15·7
4. North-West Dry Area	+ 1·8	+ 1·3	+23·2	+29·9	+7·6	−12·3

The effect of the movement of the population on age distribution can be examined by means of the marginal table. Certain quinquennial age-groups have been amalgamated to eliminate as far as possible the effect of different methods of tabulation adopted at this and the last census, and to show the results in a form easily comprehensible. The groups appearing in this table coincide with well known divisions of human life, viz, childhood youth and middle and old ages. The figures are given for the Province as well as for Natural Divisions. The most striking fact is an all round decline in the number of persons aged 60 and over This is, however entirely due to the figures of the present census having been compiled by methods different to those of 1921 This subject is further discussed in Chapter IV where the cause of this deficiency is fully explained The next age period which attracts attention is that of ages 15 to 40 and in this there is generally a large increase over the figures of 1921 This is due to the corresponding age period at last census having been adversely affected by the influenza epidemic The effect of that epidemic is also noticeable in the age period 40 to 60 which shows a comparatively small increase the persons now between these ages being the survivors of the affected population.

The effect of immigration into the North West Dry Area is reflected in the larger percentage of increase in the population aged between 15 and 40 which is usually the most active period of life The same reason accounts for the proportionately higher increase in ages 40—60 in this area. The growth in the population under 10 and from 10 to 15 is comparatively high in all Natural Divisions and indicates the "renewal" of the population.

Sex Proportion.

49 The movement of the population has but slightly altered the sex proportion of the Province or its Natural Divisions as indicated by the table below, which also gives the figures for certain other provinces

Number of females per 1,000 males (Actual Population)

Locality	1931	1921	Locality	1931
Punjab Province	831	828	North West Frontier Province	843
British Territory	831	830	Delhi	722
Punjab States	832	820	United Provinces	906
Indo Gangetic Plain West	813	805	Bihar and Orissa	1,008
Himalayan	906	907	Bengal	924
Sub-Himalayan	847	852	Burma	958
North West Dry Area	831	827	Central Provinces	9,996
Urban	705	719	Madras	1,025
Rural	850	841		

The proportion of females has on the whole increased slightly, but is still one of the lowest in India The conditions in each Natural Division remain much the same as in 1921 A slight decrease is noticeable in the case of the Sub-Himalayan and Himalayan Divisions In the case of the former the decrease is to a considerable extent due to the return of disbanded soldiers to the Districts of Jhelum, Attock, Sialkot and Gujrat The insignificant decrease in the Himalayan Division is due to the decrease in Kangra for the same reason

There has been an increase in the number of females in rural areas and corresponding decrease in urban areas, which shows that more males than females have moved to the towns from rural areas

Influence of Religion on the Movement of the Population

50 In order to ascertain the influence of religion on the movement of the population we will examine the distribution of the population according to religion at different periods An examination on these lines indicates that every 10,000 of the population at each census was distributed as in the margin These figures indicate that the proportion of Sikhs, Christians and Muslims to the total population has been on the increase during the last fifty years In other words these communities have increased at a higher rate than Hindus Such an examination of the figures, however, does not indicate the actual pace at which the population of each religion has varied or the extent to which it has affected the total population The percentage of actual variation is shown in the marginal table for different religions for the past six censuses It is evident that Hindus have decreased while the other communities have increased The increase among Christians and Sikhs, as we shall see later on, is not due to natural causes alone, but is also due to a considerable extent to conversion The rise among Muslims, which would seem entirely to be due to natural increase, is considerably higher than the rise in the total population which would not be so great if the Muslims did not form the pro-

Year	Hindu	Sikh	Muslim.	Christian
1881	4,381	824	4,758	14
1891	4,358	822	4,778	21
1901	4 127	863	4,961	27
1911	3,579	1,211	5,107	82
1921	3,506	1,238	5,105	133
1931	3,018	1,420	5,240	148

RELIGION	1881 to 1891	1891 to 1901	1901 to 1911	1911 to 1921	1921 to 1931	1881 to 1931
Hindus	9 8	7	−15 3	3 4	2 3	−5 8
Sikhs	10 2	11 6	37 0	7 8	31 0	138 1
Muslims	10 9	10 4	0 5	5 5	16 5	61 2
Christians	70 5	35 5	201 3	70 5	26 0	1394 8
Total	*+10 2*	*+6 3*	*−2 4*	*+5 5*	*+13 5*	*+37 0*

Movement in Each British District

52 The table in the margin compares the actual variation in population for each district with the fluctuation in cultivated area and the excess of births over deaths The districts are shown in the order of increase in total population In the Districts of Montgomery, Multan and Mianwali cultivated area has increased by more than two lakhs of acres in each case, accompanied by a big natural increase The former feature indicates undoubtedly the large influx of cultivators into the two first-named districts In Mianwali the indigenous population has multiplied at a rate unknown since 1881, obviously owing to the large increase† in cultivated area The percentage of matured area in this district is now much larger than it was during the previous decade

Serial No	District	Variation in population in thousands 1921-30	Increase or decrease in cultivated area in thousands of acres 1921 22 to 1930 31*	Excess of births over deaths in thousands 1921—30
1	Montgomery	314	291	138
2	Multan	280	270	148
3	Lahore	249	21	118
4	Amritsar	188	14	130
5	Lyallpur	142	132	220
6	Jullundur	121	9	148
7	Gurdaspur	119	29	124
8	Sheikhupura	114	65	89
9	Gujranwala	113		72
10	Ludhiana	105	15	88
11	Hoshiarpur	105	20	127
12	Sialkot	102	—1	91
13	Shahpur	102	157	87
14	Gujrat	98	23	58
15	Jhang	94	67	98
16	Hissar	83	9	94
17	Attock	72	—6	49
18	Rawalpindi	65	—5	51
19	Jhelum	64	1	37
20	Ambala	61	12	56
21	Ferozepore	58	65	131
22	Gurgaon	58	12	79
23	Mianwali	53	213	51
24	Kangra	35	4	27
25	Rohtak	33	—8	40
26	Dera Ghazi Khan	25	—174	32
27	Karnal	24	—40	7
28	Muzaffargarh	23	—8	31
29	Simla	—9		1

*For the purpose of this column the figures of 1921 22 and 1930 31 have been taken

In districts such as Shahpur, Lyallpur, Sheikhupura, Jhang and Ferozepore, cultivated area has risen substantially though not at all to the same extent as in the three districts, mentioned above, and in these also there has been a large natural increase which in the case of Lyallpur, Jhang and Ferozepore is even higher than the total increase

In certain other districts there has been a large natural increase, unaccompanied by a corresponding rise in cultivated area The total rise in population in these districts, however, is smaller than the natural increase, indicating that there has been actually some emigration from them Such districts are Jullundur, Gurdaspur, Hoshiarpur, Rohtak, Hissar, Gurgaon, Dera Ghazi Khan and Muzaffargarh, which comprise some of the best and some of the poorest districts of the Province It can safely be said that in these districts the population has reached a stage where its pressure is being felt on the resources Of course, the rate of the natural increase in population varies considerably in various districts, and presumably fluctuates with the ability of the inhabitants to improve the means of subsistence The true extent of migration from these districts is not equivalent to the difference between the actual and the natural increase, but the figures point to the existence of this important movement in no uncertain manner

As regards the remaining Districts, namely Lahore, Amritsar, Gujranwala, Ludhiana, Sialkot, Gujrat, Attock, Rawalpindi, Jhelum, Ambala, Kangra and Karnal, the actual rise in population is not fully accounted for, either by natural increase as indicated by vital statistics or by the increase in cultivated area

---

† It is problematic as to whether increase in resources results in larger population or rise in population results in increased resources In this Province the former seems to be the general rule

Some of these districts have a large urban population which is not solely dependent upon land and it will, therefore, be better to examine the growth of the rural population. Some of the relevant figures are quoted in the margin for the districts which possess a large urban population, and for Gujrat which lies close to them. This analysis clearly explains the rise in the rural population of districts like Lahore Amritsar Sialkot and Ludhiana where there is a larger natural increase than the absolute increase recorded at the census. The conditions in these districts thus resemble those obtaining in Jullundur Gurdaspur and other districts in the third group dealt with above, and there is a considerable emigration from them. The conditions in the villages of Sialkot District, in point of emigration, are even more advanced as there is an actual decrease in the rural population, and the whole of the large natural increase has proved inadequate to counteract it. Numerous cultivators of this district, whose lands were damaged by water logging have been allotted colony land in the Montgomery District, and in some cases whole villages have been transplanted to the Nili Bar Colony There has also been emigration from the district to Bahawalpur State and even to such distant places as Rampur Gwalior Bikaner and Sind.

District.	RURAL POPULATION		INCREASE OR DECREASE PER CENT IN		EMIGRANTS TO CANAL COLONIES DURING THE DECADE
	Absolute increase (1921—31).	Natural increase (1921—31).	Average yearly matured area.	Average yearly irrigated area.	
1. Lahore	66,621	96,777	+7	+11	22,220
2. Amritsar	70,840	109,104	+10	+20	22,863
*3. Sialkot	−8,918	73,772	−9	+—	*8,047
†4. Gujranwala	71,479	63,223	+4	+7	[illegible]901
5. Gujrat	87,129	51,965	+27	+82	21,896
6. Ludhiana	66,803	73,783	+10	+21	11,144

The rise in the rural population of Gujranwala may be partly due to the increase in irrigated area. The increase in Gujrat is undoubtedly due to a large extent to the extension of canal irrigation, particularly in the uplands of Phalia Tahsil, as indicated by the marginal table.

Tahsil	Population in 1931	Percentage of rise
Gujrat	318,538	7·0
Kharian	273,947	10·3
Phalia	230,175	18·8

The figures for the rural population of the remaining districts, which lie in the east north and north-west are given in the margin. The absolute increase in Karnal District is the lowest while the figure of natural increase is also insignificant mainly owing to its bad climate. In the other four Districts, Kangra Jhelum, Rawalpindi and Attock, rural population has risen considerably more than the natural increase would warrant. These four districts are foremost in the Province in providing recruits for the Army and evidently the large number of men demobilised during the last decade is to a great extent responsible for the difference in the natural and the actual increase. It is also probable that the vastness and hilly nature of these districts and the dearth of suitable roads render their vital statistics comparatively less reliable

District.	INCREASE IN RURAL POPULATION		Migration to colonies.	PERCENTAGE OF RISE	
	Actual 1921—31.	Natural 1921—31.		Average matured area.	Average irrigated area.
Karnal	2,109	4,640	2,142	6	8
Kangra	33,79[illegible]	46,816	1,327	7	
Jhelum	54,083	33,414	10,863	11	−13
Rawalpindi	49,303	11,010	5,777	1[illegible]	−1
Attock	43,129	18,430	4,099	12	−1

---

* The area figures of Sialkot show variation [illegible] 1921-22.

†† [illegible] emigration to the other colony districts and Bahawalpur State has been quoted as part of the district [illegible] colony.

Lack of Migration Figures

Reference has been made in the table in the last paragraph to the amount of emigration to colonies in the case of certain districts A study of the effect of the total inter-district migration is not possible, as figures of birth-place by districts were not sorted on the present occasion except in the case of colony districts Most of the inter-district migration except to towns is, however, of the casual type and more or less balanced by equal movements in opposite directions

As regards the growth of the population in towns, it is obvious that the causes for the growth are not so apparent in their case as in rural areas In the case of towns in most cases the natural increase is only a fraction of the rise in actual population the main factor being immigration from rural areas, other towns or even from places outside the Province The subject of the increase in urban areas will be examined at length in the next Chapter Here it will suffice to say that the urban population which is only about one-seventh of the rural, has increased at a comparatively much faster rate

Pressure on Resources

53 The subject of pressure on resources is a rather complicated one, and in the census report of a province, which is predominantly agricultural, all that we can do is to study the pressure of population on agricultural resources, with main reference to the density of rural population and its incidence on sown and matured areas Reference has already been made in the last paragraph to the pressure on the resources of certain districts, from which there is a steady stream of emigration to the canal colonies This migration tends to equalize the pressure on the resources in different parts of the Province, but there are certain impediments to perfect equalization, for example the great attachment of human beings to the surroundings in which they have been brought up We can on the whole make general remarks about the conditions in each area as found at the time of the census to indicate where there is room for further expansion

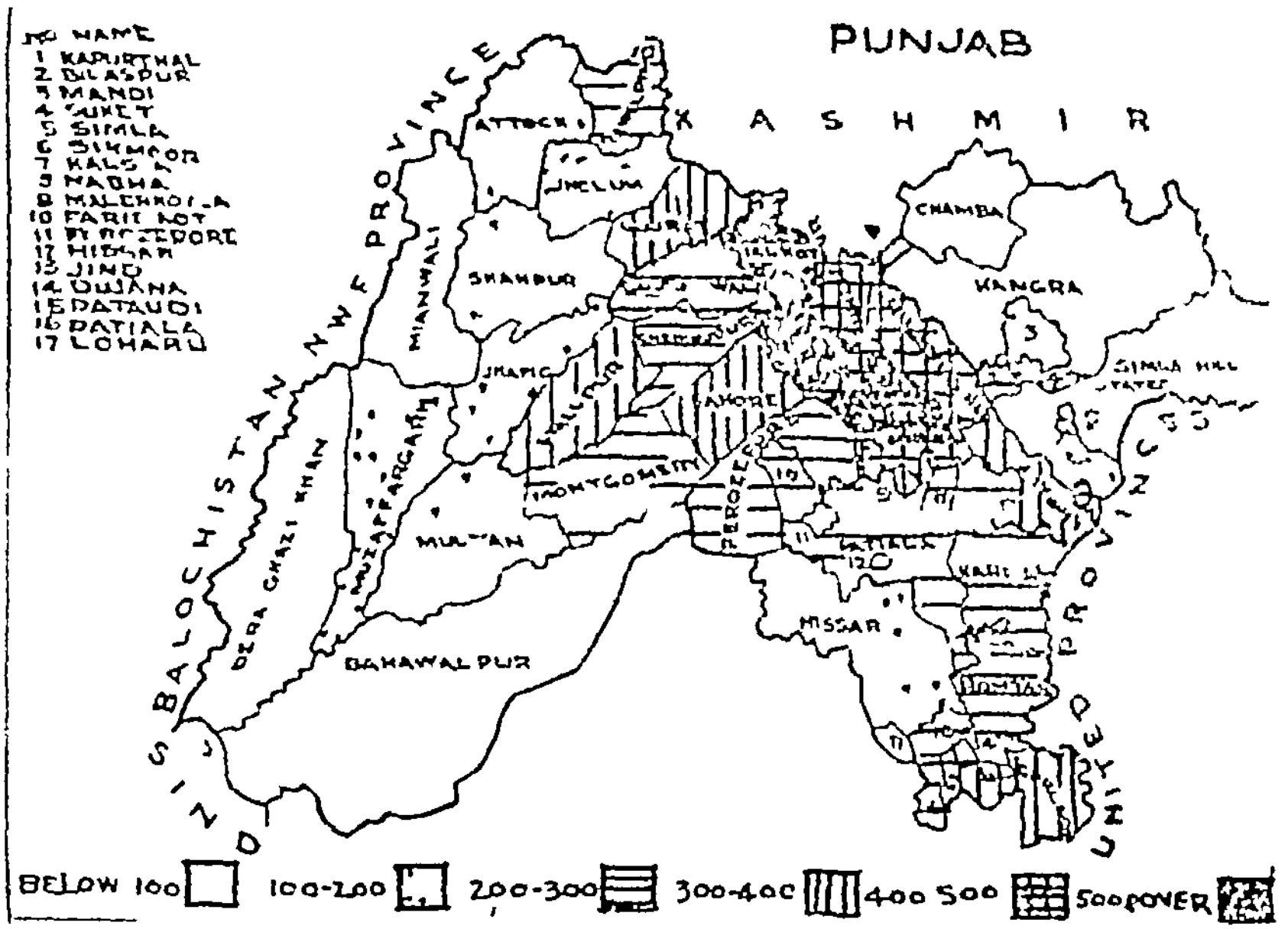
No NAME
1 KAPURTHAL
2 BILASPUR
3 MANDI
4 SUKET
5 SIMLA
6 SIRMOOR
7 KALSIA
8 NABHA
9 MALERKOTLA
10 FARIDKOT
11 FEROZEPORE
12 HISSAR
13 JIND
14 DUJANA
15 PATAUDI
16 PATIALA
17 LOHARU
PUNJAB
KASHMIR
N W F PROVINCE
BALOCHISTAN
SIND
UNITED PROVINCES
ATTOCK
JHELUM
MIANWALI
SHAHPUR
CHAMBA
KANGRA
SIMLA HILL STATES
JHANG
LAHORE
MONTGOMERY
FEROZEPORE
MUZAFFARGARH
DERA GHAZI KHAN
MULTAN
BAHAWALPUR
PATIALA
HISSAR
ROHTAK
BELOW 100 ☐
100-200
200-300
300-400
400 500
500 & OVER

Rural density per square mile by district and state 1931

The conditions in each district vary considerably, and the rural population though mainly supported by agriculture is also helped by the presence of other natural advantages, such as extensive pasturage and income from the sale of milk, *ghi* and wool The Punjab peasant or the village menial has not yet taken, to any appreciable extent, to subsidiary industries such as sericulture, lac-rearing, orchard-growing, bee-farming, etc , for augmenting his income directly or indirectly so that he is almost entirely dependent on agriculture First of all we may examine the density of rural population per square mile of the rural area The map in the margin shows this at a glance The districts

District.	Density per square mile	District.	Density per square mile
1		1	2
British Territory	290	Rawalpindi	257
Jullundur	627	Ferozepore	46
Sialkot	546	Karnal	41
Amritsar	517	Montgomery	215
Gurdaspur	490	Simla	209
Hoshiarpur	453	Jhelum	182
Ludhiana	403	Multan	179
Gujrat	386	Jhang	172
Lyallpur	343	Shahpur	153
Lahore	331	Hissar	151
Ambala	330	Attock	130
Gurgaon	301	Muzaffargarh	100
Rohtak	300	Kangra	83
Sheikhupura	287	Mianwali	69
Gujranwala	273	Dera Ghazi Khan	49

are arranged according to rural density in the table appearing in the margin. This table, while showing the districts such as Jullundur, Sialkot, Amritsar, Gurdaspur, Hoshiarpur, Ludhiana, Gujrat and Lyallpur as having a high density does not really indicate the *extent of the pressure* on resources of certain other districts such as Kangra, Simla, Dera Ghazi Khan, Muzaffargarh and Rawalpindi, which possess extensive areas but very little cultivation. No doubt, the pressure of the rural population on resources can be better studied if we know the total annual value of agricultural produce for each district. This information, however, is not readily available and an attempt to obtain it would be an exceedingly laborious task, involving the calculation of (*a*) the annual matured area under each crop grown in the district, (*b*) the normal yield per acre of each crop and (*c*) the commutation price per maund of each crop. Further we will have to make these calculations in respect of several years, and then to strike an average in order to know the value of the total produce of a district during an average or representative year of the last decade. Obviously an attempt at these elaborate and extensive calculations is not worth the trouble for our purpose. We have, therefore, to be content with the examination of the incidence of rural population on a square mile of sown and matured areas. It may be necessary to mention that the extent of sown area varies from year to year *being mainly governed by rainfall. In a dry year it contracts, while in a year of* copious rainfall it extends considerably. So the suitable method is to take the average of the decade and this is done in the table below which also gives the incidence of population on average matured area. Similar figures of incidence for the previous decade have also been given with a view to show in what districts the incidence has materially altered during the last decade.

INCIDENCE OF THE RURAL POPULATION PER SQUARE MILE OF

District.	Average sown area for the decade ending in 1911	Average sown area for the decade ending in 1921	(Rank)	Average matured area for the decade ending in 1911	(Rank)	Average matured area for the decade ending in 1921	(Rank)
British Territory	438	416		436		462	
1. Hoshiarpur	671	632	(2)	740	(2)	703	(2)
— Simla	664	631	(3)	733	(3)	719	(3)
3. Kangra	639	643	(1)	804	(1)	875	(1)
4. Jullundur	622	577	(4)	671	(5)	636	(6)
5. Sialkot	606	549	(6)	671	(4)	649	(5)
6. Gurdaspur	563	541	(7)	641	(6)	617	(9)
7. Rawalpindi	541	499	(11)	666	(7)	633	(7)
8. Amritsar	546	527	(8)	549	(10)	541	(10)
9. Gujrat	535	561	(5)	543	(11)	604	(4)
10. Muzaffargarh	533	502	(10)	659	(8)	542	(11)
11. Jhang	495	454	(13)	498	(12)	479	(19)
12. Multan	459	417	(14)	543	(14)	546	(13)
13. Ambala	454	423	(16)	534	(13)	525	(16)
14. Jhelum	445	418	(18)	540	(15)	507	(17)
15. Sheikhupura[1]	439	443	(12)	4[illegible]3	(21)	530	(15)
16. Montgomery	435	507	(9)	473	(18)	583	(9)
17. Ludhiana	433	404	(20)	496	(17)	449	(20)
18. Gujranwala[1]	432	414	(17)	464	(22)	311	(28)
19. Dera Ghazi Khan	429	406	(19)	623	(9)	442	(21)
20. Lahore	423	403	(21)	463	(20)	444	(22)
21. Lyallpur	419	37[illegible]	(22)	429	(21)	404	(23)
22. Karnal	417	434	(15)	521	(16)	536	(12)
23. Gurgaon	379	394	(23)	535	(12)	523	(10)
24. Attock	347	331	(27)	433	(23)	437	(23)
25. Shahpur	333	346	(26)	390	(26)	406	(26)
26. Rohtak	330	363	(23)	479	(23)	404	(18)
27. Ferozepore	301	299	(24)	364	(2[illegible])	370	(27)
28. Mianwali	245	263	(24)	353	(27)	412	(24)
29. Hissar	[illegible]	312	(29)	324	(29)	304	(29)

---

[1] In the case of Sheikhupura and Gujranwala the figures of sown and matured areas are not available for the period prior to 1919-20, and an average has been taken on the figures of the two years 1919-20 and 1920-21.

huts and shelters In 1901 the definition was widened and a house came to be defined as any place which happened to be occupied on the final census night, the selection being left to the discretion of the local census officers In 1911 the definition was made rigid, and has remained unchanged since then In villages a house now means a separate *chulha* or hearth, while in towns it means a building intended for the exclusive residence of one or more commensal families apart from other residents of the street or lane The definition is reproduced below from the Census Code

> *"In rural areas, House means a structure occupied by one commensal family with its resident dependants, such as widows and servants Such detached structures, as have no hearth but are likely to have one or more persons sleeping therein on the night of the final enumeration should be treated as separate houses, so that no person may escape enumeration*

In towns and cities, "House" means a structure intended for the exclusive residence of one or more commensal families apart from other residents of the street or lane In hotels or *serais* each separate room or suite of rooms should be treated as a separate house Shops, schools and other institutions, having no hearth, but which may possibly have some one sleeping therein on the night of the final enumeration should be numbered as separate houses In Civil Stations each tenement in a row of servants' quarters will be treated as a separate house

It is evident that while in villages a house represents one commensal family, in towns it may mean in many cases several commensal families

Number of Persons per House

Year	Number of houses per square mile	Number of persons per 100 houses
1	2	3
1881	25	[illegible]
1891	27	560
1901	30	520
1911	40	450
1921	40	460
1931	44	470

58 The figures in the margin show the average number of persons per 100 houses and houses per square mile recorded at all the censuses since 1881, but in view of the change in the definition since 1911 no real comparison is possible except in the case of the last three censuses The number of houses per square mile varies in each Natural Division, being the smallest in the Himalayan and the largest in the Sub-Himalayan The North-West Dry Area has only a few more houses per square mile than the Himalayan, while the Indo-Gangetic Plain has a few less than the Sub-Himalayan The following table compares the number of houses per square mile at the present census with those in 1921 by Natural Divisions

Natural Division	*Average number of houses per square mile*	
	(1931)	(1921)
1 Indo Gangetic Plain West	68	64
2 Himalayan	21	18
3 Sub-Himalayan	76	70
4 North-West Dry Area	25	23

Special instructions were issued on the present occasion requiring that houses which were most unlikely to be inhabited on the final census night should not be numbered, and yet we find that the number of occupied houses was only 73 per cent of the total number of houses as indicated below —

Number of houses recorded during the preliminary enumeration	*8,167,739*
Number of houses found occupied on final census night	*5,943,652*

As compared with the last census the number of occupied houses has increased by 411,347 or by 7 per cent. As against this the population has increased by 14 per cent. which indicates that the provision of new accommodation has not kept pace with the increase in the population.

Size of Family

The size of families in 1931 is compared with the corresponding figure for 1921 in Subsidiary Table XI to Chapter II for each tahsil and city in the Province. An extract from this table is reproduced below It will be seen that the size of the family has not altered much, and tracts with large families in 1921 are even now characterised by the same feature.

Districts and States with large families. 1	Number of persons per 100 houses. 1931. 2	 1921. 3	Districts and States with small families. 1	Number of persons per 100 houses. 1931. 2	 1921. 3
Lyallpur	572	537	Simla	236	436
Lahore	557	510	*Maler Kotla*	391	370
Montgomery	533	499	Jhelum	403	378
Amritsar	525	483	Attock	419	408
Sialkot	525	449	*Bilaspur*	421	430
Sheikhupura	514	504	Dera Ghazi Khan	432	503
Jullundur	511	437	Ambala	434	407
Hissar	506	482	Rawalpindi	437	416
Rohtak	506	488	Hoshiarpur	442	419
Jind	505	490	*Kalsia*	444	430
Gurdaspur	501	466			
Dujana	497	500			
Faridkot	496	470			

The same remark applies to the tract having exceptionally small families. Thus Maler Kotla, which had the smallest number of persons per 100 houses at last census, is even now lowest in this respect among the districts and states except Simla District, where the bulk of houses is within the limits of Simla Municipality which were practically deserted at the time of the census, most of them having only a *chaukidar* each.

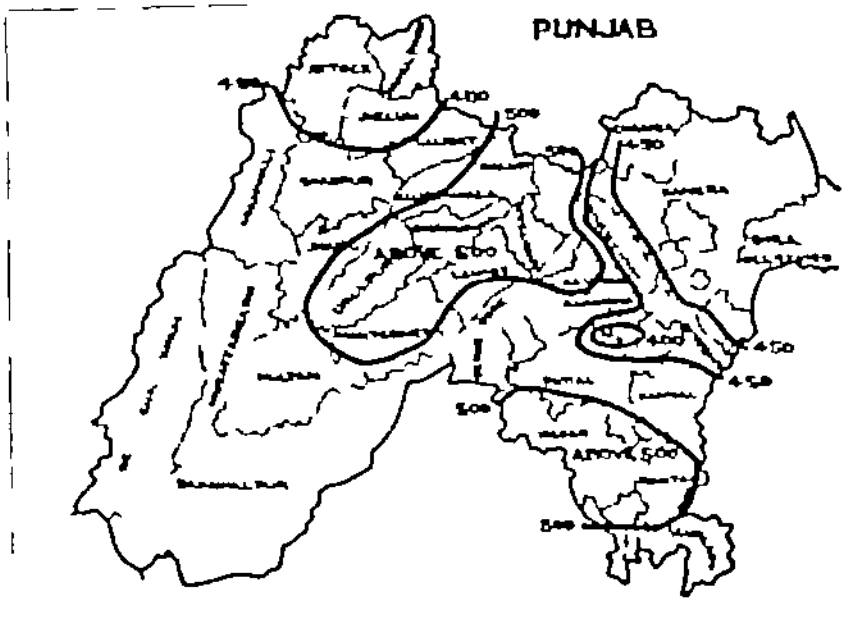

Number of persons per 100 occupied houses.

The map in the margin shows the number of persons per 100 occupied houses; the greatest depression has Maler Kotla as its centre. The central districts have the largest families while the eastern part of the Province has the smallest except in the Hariana tract in the south east where the families are comparatively bigger The submontane districts of Jhelum, Rawalpindi and Attock have small families (less than 450 persons per 100 houses) and in the Himalayan tract an average family is slightly larger

The size of the family in this Province is compared below with the corresponding figures of certain other provinces

Province	*Number of persons per 100 houses.*		
	Total	*Rural*	*Urban*
Punjab .	*479*	477	493
United Provinces	*477*	482	440
Bengal	*514*	518	467
Bihar and Orissa ..	*518*	519	482
Bombay .	*501*	490	545

The variation in the number of persons in rural and urban families from census to census is of considerable interest The figures for the last three censuses are given in the margin for the British Territory The number of persons per family has increased The figures of urban family showed a considerable decline in 1921 when they dropped even below those of a rural family The only comment that can be offered on this variation is that the definition of 'house' in town or city is in a way arbitrary and rather difficult of uniform interpretation

	Number of persons per 100 houses		
	1931	*1921*	*1911*
Rural	479	456	446
Urban	505	444	473

Soon after the final census a special family census was held in typical tracts of the various districts and states The results obtained are discussed in Chapter VI, Civil Condition

SUBSIDIARY TABLE I.

Density Water-supply and Crops.

District or State and Natural Division.	Mean density per square mile in 1931.	Percentage of total area. Cultivable.	Percentage of total area. Net Cultivated.	Percentage to cultivable area of Net Cultivated.	Percentage to cultivable area of Double cropped.	Percentage of irrigated area on gross cultivated area.	Average rainfall in inches.	Percentage of gross cultivated area under Wheat.	Percentage of gross cultivated area under Rice.	Percentage of gross cultivated area under Other cereals and pulses.	Percentage of gross cultivated area under Other crops.
1	2	3	4	5	6	7	8	9	10	11	12
PUNJAB	210	77	52	68	11	37	27·55	29	4	43	25
I.—Indo Gangetic Plain West	330	91	70	76	11	38	20·48	30	3	40	30
1. Hissar	172	96	73	77	3	12	17·06	4		74	21
2. *Loharu State*	103	99	78	79	1		19·70	4		88	8
3. Rohtak	376	93	75	80	10	32	21·01	11		61	28
4. *Dujana State*	310	94	66	69		7	21·61	2		79	19
5. Gurgaon	330	85	69	81	6	16	23·19	5		63	34
6. *Pataudi State*	258	93	81	87	13	15	21·81	8		66	24
7. Karnal	373	56	46	83	10	39	27·44	21	5	46	28
8. Jullundur	713	88	77	87	23	49	4·09	36		37	27
9. *Kapurthala State*	839	86	60	70	17	19	22·70	26		27	37
10. Ludhiana	481	91	81	88	16	41	23·23	31		42	27
11. *Maler Kotla State*	802	91	69	75	18	28	23·33	13	1	61	25
12. Ferozepore	263	94	77	83	9	63	16·40	27	1	46	26
13. *Faridkot State*	259	84	77	83	9	53	12·62	27	1	46	26
14. *Patiala State*	274	91	69	76	12	35	1·39	13	1	61	25
15. *Jind State*	230	94	75	79	8	21	19·10	6	1	65	28
16. *Nabha State*	304	93	72	78	13	46	19·89	10		60	31
17. Lahore	637	66	60	70	12	82	20·50	29	3	21	47
18. Amritsar	711	87	72	83	28	77	19·85	33	6	22	40
19. Gujranwala	319	87	58	64	11	74	23·92	41	16	18	25
20. Sheikhupura	373	92	58	63	9	84	14·26	35	14	18	33
II.—Himalayan	83	45	26	60	21	13	63·06	30	11	45	14
21. *Sirmoor State*	143	26	15	57	29	16	65·22	29	6	35	30
22. Simla	460	53	14	27	14	6	67·78	31	5	55	3
23. *Simla Hill States*	97	75	33	44	20	13	61·41	18	33	31	18
24. *Bilaspur State*	223	84	30	36	14	27	44·20	13	5	41	41
25. Kangra	96	*16*	*9*	*56*	*20*	*4*	*119·90*	*31*	*15*	*45*	*9*
26. *Mandi State*	182	69	61	86	54	11	62·30	34	22	40	4
27. *Suket State*	149	19	22	84	4		55·78	41		57	2
28. *Chamba State*	47	19	22	84	4		37·90	41		57	2
III.—Sub-Himalayan	341	63	54	78	11	19	30·88	40	3	36	21
29. Ambala	395	73	60	82	13	6	29·37	29	6	35	30
30. *Kalsia State*	316	72	55	77	15	16	37·43	29	6	35	30
31. Hoshiarpur	473	70	50	72	23	11	29·90	35	2	39	24
32. Gurdaspur	828	81	70	86	16	29	34·41	37	7	28	28
33. Sialkot	622	89	72	81	11	43	31·83	40	6	22	26
34. Gujrat	419	82	63	77	4	43	26·34	40	2	31	24
35. Jhelum	195	49	36	74	4	3	26·30	49		41	10
36. Rawalpindi	314	82	41	78	7	2	37·17	40		52	8
37. Attock	182	49	35	71	4	7	24·19	56		36	8
IV.—North-West Dry Area	130	84	34	40	4	71	9·81	36	3	30	31
38. Montgomery	276	90	49	54	7	95	9·57	32	2	17	49
39. Shahpur	172	76	39	51	4	67	14·02	34		29	37
40. Mianwali	78	81	23	29	1	6	13·19	29		56	15
41. Lyallpur	385	93	63	67	10	96	11·99	37		17	46
42. Jhang	183	91	34	37	4	85	10·40	44		23	33
43. Multan	272	59	39	44	6	91	6·75	36	2	21	40
44. *Bahawalpur State*	65	79	29	37	3	74	8·90	31	4	36	29
45. Muzaffargarh	166	87	17	20	2	72	7·03	47	4	24	25
46. Dera Ghazi Khan.	86	71	15	21	2	52	5·67	39	13	40	6

NOTE. Figures in Column 2 have been calculated from latest survey area. Figures in Columns 3—7 and 9—12 for British Districts have been calculated from tables of Agricultural statistics published by Director of Land Records, Punjab for the year 1930-31 and those for Punjab States from figures supplied for the same year by Census Superintendents of those States. Rainfall figures recorded in Column 8 are those recorded the *headquarters of districts and states and are* averages for the years 1921-22 to 1930-31. The Revenue record of the States are much more complete than heretofore but columns noted below have been completed from statistics for neighbouring British Districts.

Columns 3—7 and 9—12 for *Chamba, Maler Kotla* and *Faridkot* and Columns 9—12 for *Kalsia, Sirmoor, Loharu, Pataudi* and *Kapurthala* and column 8 in the case of *Dujana, Maler Kotla* and *Simla Hill States.*

Though the net increase in urban population shown on the fly-leaf to Imperial Table IV (after omitting variation due to inclusion and exclusion of towns) gives an idea of the increase in the urban population which remained urban at two consecutive censuses yet it is a fact that some of the towns newly added contain residents of places that were towns in the past but are no longer so For instance the decaying towns of Kamalia Dipalpur, Gogera and Shahpur ceased to be important because of many of their inhabitants having moved to the colony towns such as Lyallpur, Sargodha, Montgomery Okara, Gojra, etc Thus we have a set of people in the Punjab who are chiefly town-dwellers, and who on migrating from a decaying town settle in another urban area Some of them would undoubtedly be included in the population of the towns that are newly added at any census and will thus contribute to the increase in urban population caused by the inclusion of new towns The total increase on this score cannot therefore be rightly excluded from the real increase in urban population We could thus safely say that the real increase in urban population at a census comprises the whole of the increase in the population of the places classed as towns at that and the preceding censuses and some of the persons enumerated in the newly-added towns The gross increase in urban population during the last decade is 924,771 or 35 6 per cent over the population of 1921, while their net increase is 746,213 or 28 9 per cent in respect of the places treated as towns at both censuses

For the convenience of those who may be interested in the total population and its growth concerning places that are urban now and were also urban at each of the past censuses the table in the margin has been prepared In addition to absolute figures it gives the percentage of annual increase, distributed over the period intervening between the present and each of the past censuses

Places treated as towns in 1931 as well as at previous censuses

Particulars 1	1881 2	1891 3	1901 4	1911 5	1921 6
Number	168	163	166	167	185
Population	2,043,692	2,105,017	2,330,279	2,305,574	2,585,455
Absolute increase till 1931	1,107,407	910,194	840,222	905,039	746,213
Annual increase per cent till 1931	1 08	1 04	1 20	1 97	2 89

Population of Towns by Class

62 At the present census the towns with a population of 5,000 to 10,000 comprise the largest number, *i e*, 96 Their population forms 2 4 per cent of the total population and 19 1 of the urban population Towns having a population of between 20,000 and 50,000 each are 24 in number, and their aggregate population bears the same proportion to the total population as the class mentioned above The class comprising towns with less than 5,000 inhabitants has 51 towns, but their total population forms only 6 per cent of the total population There are only five towns (inclusive of cantonments) with a population of more than 100,000, and six with a population of between 50,000 and 100,000 each The former class of towns claims 3 6 per cent of the total population, the highest proportion for any class, while the population of the latter is 1 5 per cent of the total

Curves in the diagram below show the percentages of total population which resided in towns of each class at the time of the last six censuses.

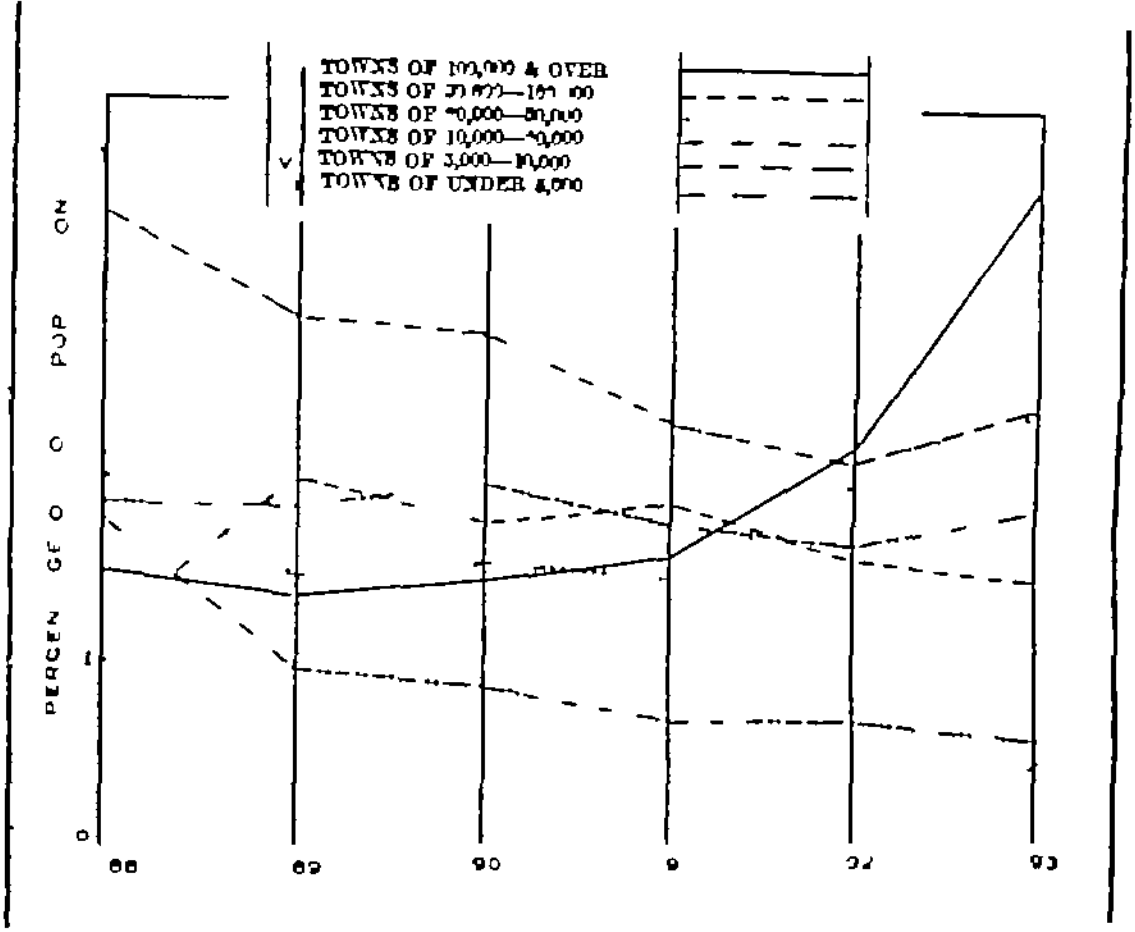

It appears that until 1911 the tendency of the bulk of the urban population was to reside in smaller towns, as indicated by the fact that the curve of the class relating to places with a population of 100 000 or more was one of the lowest. Towns with a population of 3 000 to 10 000 were the most popular and these were evidently the typical urban areas, mainly serving as market towns for rural localities. The tendency of real urbanization, or the crowding of population into large towns started two decades ago as indicated by the abrupt rise of the unbroken line for cities, the main reason being the development of industries. The smaller variation in other classes at various periods is *due to some growing towns passing from one class to another with considerable* rapidity and thus temporarily swelling the figures.

There are 10 towns or cities which have made uninterrupted progress during the last fifty years. These are noted in the margin together with the increase per cent of population since 1881. On the other hand there are three towns, which have been continuously losing in population at each census and these are Pind Dadan Khan (Jhelum District) Buria (Ambala District) and Dagshai (Simla District) The last named is a cantonment.

Town.	Increase per cent. 1881 1931.	Town.	Increase per cent. 1881 1931.
1	2	1	2
Lahore	[illegible]	Faridkot	[illegible]
Sialkot	[illegible]	Kotkapura	[illegible]
Jullundur	[illegible]	Muktsar	[illegible]
Gujranwala	[illegible]	Campbellpur	[illegible]
Kasur	170·0	Pathankot	101·7
Jhang	[illegible]	Leiah	[illegible]
Rohtak	[illegible]	Jampur	[illegible]
Montgomery	723·3	Bhakkar	[illegible]
Bhatinda	[illegible]	Muzaffargarh	[illegible]
Fazilka	[illegible]		

Individual Cities and Towns.

63 We shall now proceed to study the growth of some of the individual cities and towns The figures of the population of towns at past censuses are given in Imperial Table IV and the population shown therein represents the number of persons found living within their limits at the time of each census In cases in which at a subsequent census the limits of the towns have been extended, the population of the new area is given, no attempt being made to quote the rise in population due to the increase in area This is contrary to the procedure adopted in the case of districts whose figures in Table II are given after necessary adjustment This procedure apart from being simple is meant to save confusion, as the administrators as well as the public are anxious to have the figures for municipal or other well-defined areas The population of the outskirts of towns, however, is given by religion and sex in Village Tables for the use of administrative officers, and in the case of Municipalities, it is shown as "*Berun Hadud*" (outside municipal limits) against the revenue estate or village, in whose limits it is situated

At the last census there were three cities with a population of more than 100,000, namely, Lahore, Amritsar and Multan To these might be added Rawalpindi and Sialkot which now (inclusive of cantonments) have a population exceeding one lakh The towns of Jullundur and Ludhiana are growing at a good pace, and the former is now not much behind the one lakh figure The towns of Ambala and Ferozepore with their cantonments are also fairly large, and all these towns and cities are designated as "selected towns" for census purposes The figures of birth-place have been shown for all of them in Table VI, Part C, and of literacy in Table XIII, Part C, while in Table VII, Part C, figures of these places as well as of Ludhiana, Lyallpur and Sargodha have been given by age and civil condition The statement in the margin shows the annual increase in the population of the cities and selected towns at each census since 1868

SELECTED TOWNS (1868—1931)

Annual percentage of variation

Serial No 1	Town. 2	1868 to 1881 3	1881 to 1891 4	1891 to 1901 5	1901 to 1911 6	1911 to 1921 7	1921 to 1931 8
1	Lahore	+5 1	+1 2	+1 5	+1 3	+2 3	+5 3
2	Amritsar	+1 2	—1 0	+1 9	—0 6	+0 5	+6 5
3	Multan	+2 1	+0·9	+1 7	+1 4	—1 5	+4 1
4	Rawalpindi	+17 6	+3 9	+1 9	—0 1	+1 7	+1 8
5	Ambala	+13·3	+1 8	—0 1	+0 2	—0 5	+1 4
6	Jullundur	+5 5	+2 7	+0 2	+0·2	+0 2	+2 5
7	Sialkot	+8 1	+2 0	+0 5	+1 2	+0 9	+4 3
8	Ferozepore	+9 2	+2 8	—0·2	+0 3	+0 7	+1 9

With a view to ascertain what contributes to the increase in the population of cities and selected towns, it will be useful to examine the natural increase in each of these urban areas during the last decade and the increase due to migration In the table below is given the population in 1921 and 1931 according to the place of birth as well as the number of births and deaths recorded during the last decade together with the excess of the former over the latter

City or selected town	Total Population 1931.	Increase in population during the decade	Births.	Deaths.	Excess of Births over Deaths	CITY BORN INDIVIDUALS		BORN OUTSIDE THE CITY BUT WITHIN THE DISTRICT.		BORN OUTSIDE THE DISTRICT	
						1931	1921	1931	1921	1931	1921
1	2	3	4	5	6	7	8	9	10	11	12
Lahore City	429,747	147,966	96,035	84 631	11,404	209,273	127,929	15,328	29,857	205,146	123,995
Amritsar ,,	264,840	104,622	79,432	62,584	16,848	211,162	124,810	8,375	6,386	45,303	29,022
Multan ,,	119,457	34,651	40,455	30,273	10,182	76 097	62,332	20,968	3,506	22,392	18,968
Ambala Town	86,592	10,266	10,307	7,550	2,757	55,407	42,056	55,407*	48,421	31,185	27,905
Jullundur ,,	89,030	18,022	29,035	17,881	11,154	57,073	46,363	13,631	9,196	18,326	15,444
Ferozepore ,,	64,634	10,283	10,472	6,958	3,514	32,368*	25,980	32,368*	31,055	32,266	23,296
Sialkot ,,	100,973	30,364	30,283	19,767	10 516	83,207*	45 549	83,207*	58,245	17,766	12,374
Rawalpindi ,,	119,284	18,142	23 161	19,370	3,791	45,638	36,715	17,368	10,625	56,281	53,802

*These figures relate to total district-born including city born.

It will be seen that the natural increase forms only a small fraction of the actual rise in urban population. The figures of the city-born are obviously unreliable, as for instance, there is an increase of 81,354 in the city born enumerated in Lahore as compared to the excess of births over deaths, amounting to 11 404 It is absurd to suppose that all persons born in the city have survived and all persons with foreign births have died during the last ten years, or that at the time of the census a large number of the city born returned to the city of their birth. The figures in other columns seem reliable enough. Thus Lahore City as well as Rawalpindi gains comparatively more by immigration of persons born outside the districts of Lahore and Rawalpindi respectively Amritsar Jullundur and Sialkot are, however not indebted to any such immigration for their growth.

Subsidiary Table IV gives figures of population, density sex proportion and immigration for these units. Certain other particulars regarding these urban areas are set forth below

Lahore—The city (including the municipality and the cantonment) has an area of 30·38 square miles, and a population of 429 747 both being the largest in the Province, and its gain in population during the last decade is 52·5 per cent. The population has developed steadily ever since 1881 the rise in the first decade (1881—91) being 12·4 and in the next 14 8 per cent. The present population shows an increase of 187·7 per cent. as compared to 1881 The municipal town, which includes the Civil Station has an area of 26·06 square miles and a population of 400 075 which give a density of 15 352 persons to the square mile. The portion of the town within the old walls has a population of 176 702 persons living on 570 acres, i.e. a density of 310 persons per acre or in other words each person has at his disposal a space of 13 square yards. There is little or no scope for expansion within the walled town except in the form of more storeys being added to the existing buildings.

The tendency to live in detached houses of the European bungalow type is on the increase as shown by the large portion of the population residing in the area, called the Civil Station. It is in this area that the rise in population has been enormous during the last decade. The municipal town now extends from Baghbanpura in the east to Rajgarh and Chauburji Gardens Estate in the west and from the river Ravi in the north to the Jail and Mental Hospital in the south. The Civil Station has become linked up with the Cantonment by an almost continuous chain of houses. Its expansion is not confined to the municipal limits, and bungalows have already been built on the Ferozepore Road for a considerable distance outside those limits. The Civil Station continues to expand and we may reasonably expect that at no distant date it will extend up to the Model Town. The present population of the different parts of the municipal town together with the figures of area is given in the margin.

Locality	Area in acres.	Population.		
		Persons.	Males.	Females.
1	2	3	4	5
1. Lahore Town within the Circular Road	570	176,702	104,531	72,161
2. Landa Bazar and Ram Gali, etc.	127	12,321	8,790	3,531
3. Anarkali ..	173	15,299	10,620	4,679
4. Mozang ..	89	30,457	17,743	12,622
5. Qila Gujjar Singh	14	8,098	5,619	2,379
6. Gowalmandi	23	17,179	11,334	5,743
7. Garhi Shahu	194	6,243	3 802	2,442
8. Civil Station ..	2,444	64,269	44,749	19,529
9. [illegible] Mirza	849	4,480	2,944	1,529
10. Other Bastis	8,434	47 045	33,441	13,602
11. Railway Colony	81	11,094	8,724	4,370
12. Railway Station, Siding, etc.	..	1,511	1,299	212

Amritsar—This was the largest city of the Province till the census of 1881 in respect of population, but since then it has yielded the place of honour to Lahore The table in the margin compares population of the two cities and their percentages of increase since 1868 The figures indicate that the population of Amritsar showed a decrease at two censuses, namely, 1891 and 1911, while the population of Lahore has been on the increase throughout At this census the population of Amritsar, which is nearly two-thirds of that of Lahore, has shown a record increase of 65 per cent, a considerable portion of which is due to artificial causes as remarked in paragraph 55 The area of the city excluding the cantonment is 10 square miles, giving a density of 24,844 persons per square mile as against 15,352 in Lahore The increase in the number of persons per square mile is 11,141 as against 5,479, which is the corresponding figure for Lahore The increase in the density of Amritsar is thus double that of the capital town and denotes more congestion Amritsar continues to be an important commercial centre, having as its chief feature the wholesale trade in piece-goods and the manufacture of carpets, woollen fabrics and chemicals

Census	AMRITSAR CITY		LAHORE CITY	
	Population (000's omitted)	Increase or decrease per cent	Population (000's omitted)	Increase or decrease per cent
1	2	3	4	5
1868	136		99	
1881	152	+12	149	+51
1891	137	−10	177	+12
1901	162	+19	203	+15
1911	153	−6	229	+13
1921	160	+5	282	+23
1931	265	+65	430	+53

Multan —The population of Multan in 1921 was 84,806 Owing to the prevalence of plague at the time of the census, a considerable number of persons had left their homes temporarily, and it was therefore decided to hold a supplementary enumeration in August 1921 when normal conditions were restored The supplementary census revealed a population of nearly a lakh As against this the present population is about 119,000, which means an increase of 19 per cent during the last decade

Rawalpindi —The development of Rawalpindi took place mainly during the period 1881—1901 as a result of its importance as a military station In recent years the rise in its population is due to the large motor and lorry traffic, particularly on the Murree-Kashmir Road During the last fifty years its population has more than doubled, and is now almost equal to that of Multan, though its area is two square miles less Nearly three-fifths of the inhabitants of Rawalpindi are foreign-born, and there is nothing surprising about this high proportion as a very large portion of the inhabitants are there on account of the existence of the cantonment

Sialkot —The population of Sialkot has doubled during the last thirty years The increase during the last decade amounts to 43 per cent, and the population of the municipal town and the cantonment now exceeds one lakh Referring to the large increase, the Deputy Commissioner of Sialkot says—“ It is due to the fact that the Sialkot town is in flourishing condition, largely carrying on the sports trade for which most of the craftsmen and artisans of the neighbouring villages have taken up their abode in the city, and many of them who used to return to their villages after the day's labour, might have been detained on the night of the final census for swelling the figures of the population as the elections of the local bodies are carried out on communal lines ” This, however, does not fully explain the enormous rise which has taken place, and it is probable that part of the increase is attributable, as in the case

SUBSIDIARY TABLE I

Distribution of the Population between Towns and Villages

District or State and Natural Division	Average population per		Number *per mille* residing in		Number *per mille* of the urban population residing in towns with the population of				Number *per mille* of the rural population residing in villages with the population of			
	Town	Village	Town.	Village	20,000 and over	10,000 to 20,000	5,000 to 10,000	Under 5,000	5,000 and over	2,000 to 5,000	500 to 2,000	Under 500
1	2	3	4	5	6	7	8	9	10	11	12	13
PUNJAB	15,862	498	124	876	607	157	191	45	29	161	548	262
I.—Indo-Gangetic Plain West	*20,182*	*600*	*166*	*834*	*653*	*173*	*153*	*21*	*23*	*181*	*570*	*226*
1 Hissar	19,033	815	127	873	535	326	139		30	209	626	135
2 *Loharu State*	2,956	291	127	873				1,000			322	678
3 Rohtak	13,089	989	114	886	385	298	317		32	318	543	107
4 *Dujana State*	1,561	833	55	945				1,000		246	639	115
5 Gurgaon	8,987	492	97	903	365	150	427	58	8	199	457	336
6 *Pataudi State*	3,667	380	194	806				1,000		167	450	383
7 Karnal	17,000	544	120	880	584	311	105		34	220	476	270
8 Jullundur	17,553	664	149	851	634		366		14	156	623	207
9 *Kapurthala State*	13,622	447	129	871	494	295	211		4	115	514	367
10 Ludhiana	28,515	656	170	830	839	104	57		5	170	632	193
11 *Maler Kotla State*	10,488	465	379	621	802			198		51	549	400
12 Ferozepore	15,446	665	134	866	419	420	128	33	58	160	602	180
13 *Faridkot State*	16,631	767	202	798		1,000				164	683	153
14 *Patiala State*	15,394	413	104	896	589	202	185	24	11	146	557	286
15 *Jind State*	9,757	651	120	880		656	344			105	647	248
16 *Nabha State*	7,841	489	164	836		368	487	145		84	562	354
17 Lahore	66,435	756	386	614	897	50	53		43	242	550	165
18 Amritsar	59,222	792	265	735	894	34	72		12	208	626	154
19 Gujranwala	16,559	509	157	843	685	124	111	80		130	534	336
20 Sheikhupura	7,621	639	55	945		319	681		53	135	592	220
II.—Himalayan	*4,630*	*198*	*33*	*967*		*302*	*547*	*151*	*101*	*223*	*305*	*371*
21 *Sirmoor State*	3,904	146	53	947			878	122			193	807
22 Simla	4,304	76	585	415		843		157			35	965
23 *Simla Hill States*		140		1,000						114	373	513
24 *Bilaspur State*	2,387	105	24	976				1,000			125	875
25 Kangra	6,359	1,115	8	992			1,000		205	287	418	90
26 *Mandi State*	6,751	54	65	935			1,000				17	983
27 *Suket State*	2,401	644	41	959				1,000		456	336	208
28 *Chamba State*	6,219	2,654	42	958			1,000		115	734	151	
III.—Sub-Himalayan	*14,003*	*466*	*106*	*894*	*607*	*88*	*244*	*61*	*13*	*129*	*500*	*358*
29 Ambala	16,471	355	177	823	657	101	186	56	4	80	415	501
30 *Kalsia State*	4,653	292	155	845			551	449		65	360	575
31 Hoshiarpur	9,549	464	56	944	466		457	77		113	548	339
32 Gurdaspur	8,295	400	77	923	445	162	268	125	25	78	459	438
33 Sialkot	22,475	409	138	862	749		223	28		77	453	470
34 Gujrat	11,454	601	62	938	463	218	248	71	9	172	561	258
35 Jhelum	12,225	557	90	910	481		519			180	552	268
36 Rawalpindi	60,632	439	191	809	984			16	18	136	491	355
37 Attock	7,265	867	87	913		437	432	131	65	260	530	145
IV.—North-West Dry Area	*11,774*	*584*	*87*	*913*	*506*	*167*	*229*	*98*	*40*	*136*	*615*	*209*
38 Montgomery	13,144	484	53	947	498	419		83	8	62	603	327
39 Shahpur	8,277	734	131	869	249	315	229	207	55	236	544	165
40 Mianwali	9,534	938	93	907		404	596		208	288	389	115
41 Lyallpur	14,208	859	74	926	504	155	341			50	879	71
42 Jhang	15,393	599	116	884	804		154	42	9	152	630	209
43 Multan	45,760	542	117	883	870	82	48		36	158	553	253
44 *Bahawalpur State*	10,794	397	44	956	485	238	277		7	96	603	294
45 Muzaffargarh	5,150	650	52	948			508	492	54	168	599	179
46 Dera Ghazi Khan	7,101	611	123	877	367		362	271	143	188	475	194

SUBSIDIARY TABLE II.

Number per mille of the total Population of each main Religion, who live in Towns.

Natural Division.	Number per mille who live in towns.										Remarks.
	Population	Hindu.	Ad Dharmi.	Sikh.	Jain.	Buddhist.	Zoroastrian.	Muslim.	Christian.	[illegible]	
1		3	4	5	6	7	8	9	10	11	12
PUNJAB	124	184	47	63	600	8	822	122	150	848	For details of the Natural Divisions, see Subsidiary Table I.
I. Indo-Gangetic Plain West	166	1	3	6	535	826	973	13	169	801	
II. Himalayan	33	26		179	163		687	143	909	1,000	
III. Sub-Himalayan	106	133	10	67	831	618	971	93	150	857	
IV. North West Dry Area	1	261	31	70	913	667	830	60	89		

SUBSIDIARY TABLE III.

Towns Classified by Population.

Serial No.	Town	Number of Towns.	Proportion to total urban population.	Number of females per 1,000 males.	Increase per cent in the population of places classed as towns in the former of the two Census years in each such column.					Increase per cent. in the urban population of each class from 1881—1921	
					1911—1921	1901—1911	1891—1901	1881—1891	1881—1921	(a) In places classed as towns in 1921	(b) In the total of each class in 1921 as compared with corresponding total in 1881
	1	2	3	4	5	6	7	8	9	10	11
	Punjab including Native States.	222	1	705	+28·0	+7·8	−2·0	+4·7	+7·8	+54·2	+42·8
1	100,000 and over	5	·29	652	+49·6	+13·0	+4·4	+10·5	+4·1	+130·8	+42·2
2	50,000 to 100,000	6	·12	659	+29·4	+1·6	+3·[illegible]	+8·0	+13·8	+80·2	+45·4
3	20,000 to 50,000	24	·19	721	+1·2	+8·2	−3·6	−·8	+9·2	+47·8	+63·7
4	10,000 to 20,000	49	·16	733	+29·6	+12·8	−7·8	+3·4	+6·3	+31·8	+35·6
5	5,000 to 10,000	56	·15	780	+10·1	+3·2	−0·1	+3·1	+4·1	+20·6	−2·2
6	Under 5,000	81	·05	774	+16·8	−4·2	−2·8	+1·6	+0·8	+81·3	−35·3

SUBSIDIARY TABLE IV

Cities and Selected Towns.

Serial No.	City or Selected Town	Population 1921	Number of persons per square mile	Number of females to 1,000 males	Population of foreign born per mille	Percentage of Variation					
						1911—1921.	1901—1911.	1891—1901.	1881—1891.	1881—1921.	Total 1881—1921.
	1	2	3	4	5	6	7	8	9	10	11
1	Lahore City	[illegible]	10,913	565	513	+23·6	+23·[illegible]	+12·7	+11	+1[illegible]	+1[illegible]
2	Amritsar City	160,219	1,541	666	[illegible]	+65·3	+1·0	−6·0	+16·8	−10·0	+70·4
3	Multan City	[illegible]	9,064	734	9·3	+49·0	−11·5	+13·6	+17·2	+ ·6	+72·0
4	Rawalpindi Town	[illegible]	9,337	570	617	+17·0	+16·0	−1·6	+1	+39·3	+125
5	Ambala Town	[illegible]	4,061	[illegible]		+13·3	−4·7	+1·0	−·6	+17·5	+[illegible]
6	Jullundur Town	[illegible]	4,[illegible]	[illegible]	320	+23·4	+[illegible]	+2·3	+2·2	+27·0	+79·4
7	Sialkot Town	[illegible]	6,314	646		+43	+ ·9	+11·0	+3·2	+[illegible]	+1[illegible]
8	Ferozepore Town	[illegible]	2,733	643		+19·0	+ ·9	+3·0	−2·2	+27·3	+43·3

SUBSIDIARY TABLE V

Distribution of Urban Population according to Size and in Rural Territory 1881—1931

Years	Particulars 1	Total population of the Punjab 2	CLASS OF PLACE							
			Urban Territory							
			Urban Territory 3	I Towns of 100,000 and over 4	II Towns of 50,000 to 100,000 5	III Towns of 20,000 to 50,000 6	IV Towns of 10,000 to 20,000 7	V Towns of 5,000 to 10,000 8	VI Towns of under 5,000 9	*Rural Territory* 10
1931	No of Places	50,918	*222*	5	6	24	40	96	51	*50,691*
	Population	28,490,857	*3,521,449*	1 034 301	422,687	678 908	553,899	674 422	157 232	*24 969,408*
1921	No of Places	45,408	*186*	3	6	19	30	77	51	*45,222*
	Population	25,101,514	*2,596,678*	543,141	408,990	510,687	416,553	539 279	179 028	*22 504,836*
1911	No of Places		*173*	2	6	13	30	77	45	
	Population	23,791,841	*2,334,445*	381,443	450 880	367,517	432,165	539 892	162 558	*21 457,396*
1901	No of Places		*224*	2	6	13	34	99	70	
	Population	24,367,113	*2,580,798*	365,393	432 956	379,844	490,124	679,439	233 042	*21,786 315*
1891	No of Places		*220*	2	7	13	32	97	69	
	Population	22,915,894	*2,444,184*	313,620	455,233	349,204	440,827	658,757	226,543	*20,471,710*
1881	No of Places		*278*	2	5	15	30	105	121	
	Population	20,800,995	*2,473,433*	301,265	294,860	409,630	399,909	690,294	377,475	*18,327,562*
1931	PERCENTAGE OF TOTAL POPULATION	*100·0*	*12 4*	3 6	1 5	2 4	1 9	2 4	0 6	*87 6*
1921		100·0	*10·3*	2 2	1 6	2 0	1 7	2 1	7	*89·7*
1911		100·0	*9·8*	1 6	1 9	1 5	1 8	2 3	7	*90·2*
1901		100 0	*10 6*	1 5	1 8	1 6	2 0	2 8	9	*89·4*
1891		100 0	*10 7*	1 4	2 0	1 5	1 9	2 9	1 0	*89 3*
1881		100 0	*11 9*	1 5	1 2	2 1	1 9	3 4	1 8	*88 1*

SUBSIDIARY TABLE VI

Classification of Urban Population and Population of Rural Territory as constituted in 1931 with increase since 1921.

Class of Places 1		Number of Places in 1931 2	Population 1931 3	Population 1921 4	Increase 1921—1931 Number 5	Increase 1921—1931 Per cent 6	Remarks 7
Punjab including Punjab States	*a*	50,876	28,801,076	25,101,514	3,389,843	13 5	
	b	37	189,781				
Territory Urban, in 1931	*a*	*185*	*3 331,668	*2,590,678	*924,771*	*35 6*	*These figures denote the proportion living in places classed as towns in both censuses and are, therefore, comparable
	b	*37*	*189,781*				
Towns having in 1931 —							
I 100 000 and over		5	1 034,301	698 566	335 735	48 1	
II 50 000 to 100 000		6	422,087	338 983	83,704	24 7	
III. 20 000 to 50 000		24	678,908	536 789	142,119	26 5	
IV 10,000 to 20,000	*a*	39	543 187	432,940	120,959	27 9	
	b	1	10 712				
V 5 000 to 10 000	*a*	78	555 867	481 229	193 193	140 1	
	b	18	118,555				
VI Under 5,000	*a*	33	96,718	96,948	60,284	62 2	
	b	18	60,514				
Territory Rural, in 1931	*a*	*50,691*	†*24,969,408*	†*22,501 836*	*2 464 572*	*11 0*	†These figures denote the population living outside the places classed as towns in both censuses
	b	37	*189 781*				

NOTE.—The towns entered against '*b*' were not treated as towns in 1921, and their population in that year cannot be obtained

SUBSIDIARY TABLE IX —*continued*

Rural Density (Census 1931)

District	Number	Places classed as towns in each of the last six Censuses — Name	Total area less revenue area of towns named in column 3 (square miles)	Population of Tahsil		Urban Population		Rural Population		Number of rural Population per square mile of rural area	
				1931	1921	1931	1921	1931	1921	1931	1921
1	2	3	4	5	6	7	8	9	10	11	12
HOSHIARPUR		Hoshiarpur Tahsil	502	278 820	247 196	32 701	26 490	246 128	220 706	490	440
	35	Hoshiarpur				*26 730*	*21 285*				
	36	Hariana				*5 971*	*5 205*				
		Dasuya Tahsil	496	238 468	215 600	9 510	8 362	228 958	207 238	462	416
	37	Urmur Tanda				*9 510*	*8 362*				
		Garhshankar Tahsil	511	259 403	232 772			259 403	232 772	508	456
		Una Tahsil	690	255 487	231 851			255,487	231 851	370	336
JULLUNDUR		Jullundur Tahsil	373	347 123	289 396	98 908	79,520	248 215	209 876	665	563
	38	Jullundur				*89 030*	*71 008*				
	39	Kartarpur				*9 878*	*8 512*				
		Nawanshahr Tahsil	284	200 333	177 692	19 685	16,352	180 648	161 340	630	568
	40	Nawanshahr				*7 153*	*5,316*				
	41	Banga				*5 840*	*5 089*				
	42	Rahon				*6 692*	*5,947*				
		Phillaur Tahsil	286	190 316	164 806	12,247	11 541	178 069	153,265	623	536
	43	Phillaur				*5 168*	*4 696*				
	44	Nur Mahal				*7 079*	*6 845*				
		Nakodar Tahsil	357	205 949	190 650	9 584	9,434	196 365	181 216	550	508
	45	Nakodar				*9 584*	*9 434*				
LUDHIANA		Ludhiana Tahsil	676	335 302	285 953	68 586	51 880	266 716	234 073	305	346
	46	Ludhiana				*68,586*	*51 880*				
		Jagraon Tahsil	418	204 344	164 553	38 918	26,110	165 426	138 443	396	331
	47	Jagraon				*27 108*	*17 731*				
	48	Raikot				*11 810*	*8,379*				
		Samrala Tahsil	291	132 848	117 116			132 848	117,116	457	402
FEROZEPORE		Ferozepur Tahsil	660	240 326	222,355	64,634	54,351	175,692	168 004	263	251
	49	Ferozepur				*64 634*	*54,351*				
		Zira Tahsil	495	176 219	166,373	12,097	10,582	164 122	155,791	332	315
	50	Zira				*5,318*	*4 622*				
	51	Dharmkot				*6 779*	*5 960*				
		Moga Tahsil	625	223 975	200 558			223 975	200 558	358	335
		Muktsar Tahsil	932	224 075	209 645	14,839	10,539	209 236	199 106	225	214
	52	Muktsar				*14,839*	*10,539*				
		Fazilka Tahsil	1,336	292 137	290 935	18 463	13 829	273 674	277,106	205	207
	53	Fazilka				*18 463*	*13 829*				
LAHORE		Lahore Tahsil	625	693 521	515 809	429 747	281,781	263,774	234,028	422	374
	54	Lahore				*429 747*	*281,781*				
		Chunian Tahsil	1 126	329 483	294 434	8,269	7,642	321 214	286,792	285	255
	55	Chunian				*8 269*	*7 642*				
		Kasur Tahsil	795	355 566	319 596	66 595	47 609	288 971	271,987	363	342
	56	Kasur				*46 815*	*31,018*				
	57	Khem Karan				*6 898*	*6,152*				
	58	Patti				*12 882*	*10 439*				
AMRITSAR		Amritsar Tahsil	534	594 410	450 760	280 437	173,346	313,973	277,414	588	520
	59	Amritsar				*264,840*	*160 218*				
	60	Majitha				*6 709*	*5,664*				
	61	Jandiala				*8,888*	*7,464*				
		Tarn Taran Tahsil	596	322,256	294 465	10 103	5,988	312 153	288 477	524	484
	62	Tarn Taran				*10 103*	*5,988*				
		Ajnala Tahsil	417	200,454	184 149			200 454	184,149	481	442
GURDASPUR		Gurdaspur Tahsil	490	263,727	234 146	17,208	12,953	246,519	221 193	503	451
	63	Gurdaspur				*12 094*	*8,906*				
	64	Dina Nagar				*5,114*	*4 047*				
		Batala Tahsil	470	320 349	275,695	38 380	30 455	281 969	245 240	592	515
	65	Batala				*33 204*	*26,122*				
	66	Dera Baba Nanak				*5,176*	*4 333*				
		Pathankot Tahsil	359	139,459	129,502	14 884	13,188	124 575	116,314	347	324
	67	Pathankot				*9 763*	*7 353*				
	68	Balun				*852*	*918*				
	69	Dalhousie				*1 030*	*1,457*				
	70	Bakloh				*3 239*	*3 430*				
		Shakargarh Tahsil	487	247,363	212,849			247,363	212,849	508	437
SIALKOT		Sialkot Tahsil	373	308 461	260,362	100,973	70 619	207,488	195 743	556	525
	71	Sialkot				*100,973*	*70,619*				
		Pasrur Tahsil	378	217 055	195,111	7 905	6 909	209,150	188,202	553	498
	72	Pasrur				*7,905*	*6,909*				
		Narowal Tahsil	408	230 980	212,627			230,980	212,627	566	521
		Daska Tahsil	387	223,121	230,767	8,636	6 283	214,485	197 484	554	510
	73	Hardo Daska				*8 636*	*6,283*				

SUBSIDIARY TABLE IX.—continued

Rural Density (Census 1931.)

District	Serial No.	PLACES CLASSED AS TOWNS IN EACH OF THE LAST SIX CENSUSES. Name.	Total area less revenue area of Towns named in column 3 (square miles).	POPULATION OF TAHSIL. 1931	POPULATION OF TAHSIL. 1921	URBAN POPULATION. 1931.	URBAN POPULATION. 1921.	RURAL POPULATION. 1931.	RURAL POPULATION. 1921	Number of Rural Population per square mile of rural area. 1931.	Number of Rural Population per square mile of rural area. 1921.
1	2	3	4	5	6		8	9	10	11	12
GUJRANWALA		GUJRANWALA TAHSIL	878	301,[illegible]	[illegible]94,587	66,945	43,702	234,938	[illegible]50,864	316	270
	74	Gujranwala				*58,716*	*37,357*				
	75	Eminabad				*7,229*	*5,196*				
		WAZIRABAD TAHSIL	447	163,665	146,218	25,472	23,277	138,193	122,971	309	278
	76	Wazirabad				*20,707*	*15,845*				
	77	Ramnagar				*4,765*	*4,632*				
		HAFIZABAD TAHSIL	904	211,470	182,706			211,470	182,706	233	201
SHEIKHUPURA		SHEIKHUPURA TAHSIL	890	213,978	[illegible]67,674			213,978	[illegible]67,674	237	204
		NANKANA SAHIB TAHSIL	689	194,225	156,251			194,225	156,251	282	227
		SHAHDARA TAHSIL	715	198,828	210,589	8,836	4,117	189,472	[illegible]06,472	[illegible]47	278
	78	Sharakpur				*8,836*	*4,117*				
GUJRAT		GUJRAT TAHSIL	568	316,370	[illegible]93,831	46,170	40,006	270,200	253,843	476	443
	79	Gujrat				*26,412*	*21,974*				
	80	Jalalpur Jattan				*12,607*	*10,792*				
	81	Kunjah				*7,152*	*7,240*				
		KHARIAN TAHSIL	670	275,817	250,201	7,008	6,014	268,879	244,187	401	364
	82	Dinga				*7,008*	*6,014*				
		PHALIA TAHSIL	1,037	330,110	[illegible]78,294			330,110	278,294	319	268
SHAHPUR		SHAHPUR TAHSIL	609	153,909	137,000	7,763	6,883	146,146	131,317	243	216
	83	Sahiwal				*7,763*	*6,883*				
		KHUSHAB TAHSIL	2,534	193,291	164,718	14,194	10,009	179,100	154,709	71	62
	84	Khushab				*11,191*	*10,009*				
		BHALWAL TAHSIL	817	246,[illegible]	220,831	26,213	22,982	[illegible]20,000	197,850	269	242
	85	Bhera				*19,741*	*17,017*				
	86	Miani				*6,472*	*5,965*				
		SARGODHA TAHSIL	834	225,967	192,330			225,967	192,330	271	231
JHELUM		JHELUM TAHSIL	983	190,501	172,127	23,409	18,069	167,092	154,067	169	175
	87	Jhelum				*23,459*	*18,069*				
		PIND DADAN KHAN TAHSIL	831	[illegible]	142,33[illegible]	9,812	9,919	142,367	133,419	170	167
	88	Pind Dadan Khan				*9,812*	*9,919*				
		CHAKWAL TAHSIL	977	185,208	160,600	9,842	7,435	175,326	153,193	179	164
	89	Chakwal				*9,811*	*7,435*				
RAWALPINDI		RAWALPINDI TAHSIL	737	[illegible]9,073	[illegible]6,456	119,284	101,142	169,789	161,314	224	213
	90	Rawalpindi				*119,284*	*101,142*				
		GUJAR KHAN TAHSIL	589	170,727	145,837			170,727	145,837	290	252
		MURREE TAHSIL	24	49,839	49,969	1,949	2,292	47,979	47,677	276	234
	91	Murree				*1,949*	*2,292*				
		KAHUTA TAHSIL	483	104,396	96,782			104,396	96,782	231	216
ATTOCK		ATTOCK TAHSIL	649	192,043	173,472	23,072	19,426	169,971	153,964	[illegible]	[illegible]
	92	Campbellpur				*11,034*	*9,150*				
	93	Hazro				*9,155*	*8,905*				
	94	Attock Cantonment				*2,370*	*770*				
		PINDI GHEB TAHSIL	1,470	143,431	120,097	10,506	9,419	132,925	110,678	90	75
	95	Pindi Gheb				*10,506*	*9,419*				
		TALAGANG TAHSIL	1,197	127,337	109,801			127,337	109,801	106	91
		FATEH JANG TAHSIL	854	120,677	110,170			120,677	110,170	141	129
MIANWALI		MIANWALI TAHSIL	1,824	177,733	147,333			177,733	147,333	116	97
		BHAKKAR TAHSIL	2,133	[illegible]4,331	147,121	6,857	6,193	137,474	140,9[illegible]	59	48
	96	Bhakkar				*6,857*	*6,193*				
		ISA KHEL TAHSIL	725	[illegible]	63,331	13,[illegible]	11,627	53,547	[illegible]	74	67
	97	Isa Khel				*7,815*	*6,172*				
	98	Kala Bagh				*[illegible]333*	*[illegible]455*				
MONTGOMERY		MONTGOMERY TAHSIL	1,4[illegible]3	312,965	193,204	28,164	14,001	283,831	175,903	[illegible]	126
	99	Montgomery				*28,164*	*14,001*				
		OKARA TAHSIL	1,1[illegible]	[illegible]70,285	149,791			[illegible]70,285	14[illegible],791	236	206
		DIPALPUR TAHSIL	933	270,456	200,9[illegible]			270,456	200,9[illegible]	231	210
		PAKPATTAN TAHSIL	1,334	[illegible]	1[illegible]1,161	11,311	7,21[illegible]	[illegible]	1[illegible]1,19[illegible]	169	141
	100	Pakpattan				*11,311*	*7,21[illegible]*				
LYALLPUR		LYALLPUR TAHSIL	[illegible]	312,[illegible]	291,[illegible]			333,966	[illegible]	436	341
		SAMUNDRI TAHSIL	7[illegible]6	233,137	223,196			233,137	223,196	333	307
		TOBA TEK SINGH TAHSIL	1,042	304,760	[illegible],337	13,279	8,916	291,5[illegible]	253 [illegible]17	280	243
		Kamalia				*13,279*	*8,916*				
		JARANWALA TAHSIL	[illegible]	[illegible]	176,7[illegible]			239,8[illegible]	[illegible]	2[illegible]7	152
JHANG		JHANG TAHSIL	1,533	[illegible]	[illegible]1,17[illegible]	36,6[illegible]	30,119	3[illegible]4,27[illegible]	2[illegible]2,431	14[illegible]	133
	101	Jhang-Maghiana				*3[illegible] 23*	*30,119*				
		CHINIOT TAHSIL	[illegible]	2[illegible]1,1[illegible]	[illegible]1,1[illegible]	2[illegible],041	17,813	233,3[illegible]	191,[illegible]	232	[illegible]
	102	Chiniot				*[illegible]1*	*[illegible],813*				
		SHORKOT TAHSIL	1,[illegible]	[illegible]	[illegible]			143,3[illegible]	126,9[illegible]	37	1[illegible]

SUBSIDIARY TABLE IX.—*concluded*

Rural Density (Census 1931)

District	Number	Places classed as towns in each of the last six censuses Name	Total area less revenue area of Towns named in column 3 (square miles)	Population of Tahsil 1931	Population of Tahsil 1921	Urban Population 1931	Urban Population 1921	Rural Population 1931	Rural Population 1921	Number of Rural Population per square mile of rural area 1931	Number of Rural Population per square mile of rural area 1921
1	2	3	4	5	6	7	8	9	10	11	12
MULTAN		Multan Tahsil	735	303,761	243,385	119,457	84,806	184,304	158,579	244	210
	104	Multan				*119,457*	*84 806*				
		Shujabad Tahsil	685	147,876	132,091	6 618	6,730	141,258	125,361	206	183
	105	Shujabad				*6,618*	*6,730*				
		Lodhran Tahsil	1,054	163 190	125,353			163,190	125,353	155	119
		Mailsi Tahsil	1,434	189 162	113,027			189 162	113,027	132	79
		Khanewal Tahsil	978	197,774	127,131			197,774	127,131	202	130
		Kabirwala Tahsil	833	173,137	147,441			173,137	147,141	208	177
MUZAFFARGARH		Muzaffargarh Tahsil	910	180,105	178 570	8 973	8 570	171,132	170 009	188	187
	106	Muzaffargarh				*6,110*	*5,386*				
	107	Khangarh				*2,863*	*3,183*				
		Alipur Tahsil	918	162,704	146,711	3,931	3,434	158,773	143 277	173	150
	108	Alipur				*3,931*	*3,434*				
		Kot Adu Tahsil	1 318	117,544	108 970			117 544	108,970	135	83
		Leiah Tahsil	2,410	131 022	134 218	13 069	12,015	117,953	122,203	49	51
	109	Leiah				*9,578*	*8,476*				
	110	Karor				*3,491*	*3,539*				
DERA GHAZI KHAN		Dera Ghazi Khan Tahsil	1,448	193,713	193,789	23,468	20 731	170,245	173,058	118	120
	111	Dera Ghazi Khan				*23,465*	*20,751*				
		Sanghar Tahsil	1 065	88,571	84,759			88 571	84,759	83	80
		Rajanpur Tahsil	2,017	110,856	105,008	7,190	7,168	103,666	97,840	51	49
	112	Rajanpur				*4 510*	*3,964*				
	113	Mithankot				*2 680*	*3 204*				
		Jampur Tahsil	892	97,904	85,496	15,616	13 092	82,288	72,404	92	81
	114	Jampur				*9 430*	*7,317*				
	115	Dajal				*6 186*	*5,775*				

SUBSIDIARY TABLE X.

Statement showing average Population and area per village in Tahsil (Census 1931)

District and Tahsil.	Number of villages	Rural. Population	Rural. Area in (square miles)	Average. Number of persons per village	Average. Area per village (in square miles)
1	2	3	4	5	6
PUNJAB (British Territory)	34,630	20,969,241	88,708	606	2·6
HISSAR					
Hissar	221	188,464	1,067	853	4·8
Hansi	129	174,454	801	1,352	6·2
Bhiwani	131	102,345	751	781	5·7
Fatehabad	173	152,259	910	880	5·3
Sirsa	309	183,647	1,636	594	5·3
ROHTAK					
Rohtak	125	185,568	514	1,485	4·1
Jhajjar	255	200,983	727	788	2·9
Gohana	115	171,909	553	1,495	4·8
Sonepat	227	164,699	447	726	2·0
GURGAON					
Gurgaon	210	106,876	401	509	1·9
Ferozepur Jhirka	231	103,207	312	447	1·4
Nuh	258	124,578	402	483	1·6
Palwal	186	126,661	379	681	2·0
Rewari	289	132,611	421	459	1·5
Ballabgarh	184	74,245	277	404	1·5
KARNAL					
Karnal	385	221,027	864	574	2·2
Panipat	168	141,053	459	840	2·7
Kaithal	414	259,485	1,272	627	3·1
Thanesar	413	134,781	555	326	1·3

of these periodic visitors bring merchandise for disposal in the towns of the Punjab

Numerous men belonging to some of the Punjab districts emigrate in winter to the United Provinces to carry on a trade in coarse cloth The number of the Punjab-born, enumerated in the United Provinces, is nearly 98,000 (males 53,000 and females 45,000), and if from these the casual migrants to adjoining districts were excluded the periodic migrants would form a large portion of the rest

Semi permanent Migration

75 The immigrants who belong to this category are those who have come from their home districts to cities and large towns These men presumably migrate to make a living, and after spending a number of years in such areas return to their homes with which they always keep in touch The great majority of government officials and employees of railways and other commercial institutions belong to this category, as also students and workers in large industries and workshops Practically all Europeans and those with their birth-place in one of the Presidencies (Bengal, Madras and Bombay), enumerated in this Province, may safely be regarded as belonging to this class The same could be said of a number of persons born in the United Provinces, who happened to be in the Punjab at the time of the census The large majority of the U P men were of course found in the contiguous Punjab districts and belong to the class of casual migrants

Permanent Migration

76 An example of the largest wholesale permanent migration within the Province is the migration to canal colonies This movement, which has been operative for the last forty years or so, is not likely to show for some time to come any signs of abatement The Districts of Lyallpur and Shahpur, which were the first to be colonized, are no longer the centres of attraction, and more recently their place has been taken by the Montgomery and Multan Districts and Bahawalpur State

The number of persons, enumerated in the colony districts and Bahawalpur State and born in the other Punjab districts and states, is shown in Part C of Table VI The colony districts include Lyallpur, Shahpur, Multan and Montgomery and parts of Gujranwala, Sheikhupura and Jhang The number of persons who actually emigrated from each district to the colony districts and Bahawalpur State in the last ten years is given in the margin

Statement showing the actual number of emigrants to all the colonies (taking the colonies as one unit) from each district during the decade

District	Number of calculated emigrants during the decade	District	Number of calculated emigrants during the decade
1	2	1	2
Hissar	3,057	Lahore	22,229
Rohtak	3,264	Amritsar	32,665
Gurgaon	2,877	Gurdaspur	15 952
Karnal	1,142	Sialkot	26,047
Ambala	2 449	Gujrat	21,896
Simla	62	Jhelum	10,865
Kangra	1 327	Rawalpindi	5,777
Hoshiarpur	17,490	Attock	4,039
Jullundur	24,664	Mianwali	5 853
Ludhiana	11,144	Muzaffargarh	6,705
Ferozepore	17 433	Dera Ghazi Khan	3,460

A death-rate of 20 *per mille* has been assumed for the old colonists of 1921 as well as for the new immigrants during the decade Most of these persons may safely be assumed to be permanent migrants It may be remarked that the number of persons migrating during the last decade has been calculated by the method explained in Section 6 of Chapter I That method, in brief, is the application of a certain death-rate to the number of immigrants of the 1921 census It can thus be realized that in case the stream of immigration into a colony district ceased altogether, the old immigrants would die and the population of the district will mostly consist of the district-born persons

This would explain the reduction in the number of persons born in certain districts and enumerated in the colonies at a census when compared with the previous one. All the colonies when they grow beyond a certain stage are bound to show this result sooner or later.

The number of persons who come from outside and settle in the Punjab or of those, who leave the Province to settle elsewhere, is infinitesimal as compared with the number of migrants to canal colonies.

Reasons for Small Amount of Migration.

77. To get a clear idea of the amount of migration to and from this Province the reader is referred to the diagram below.

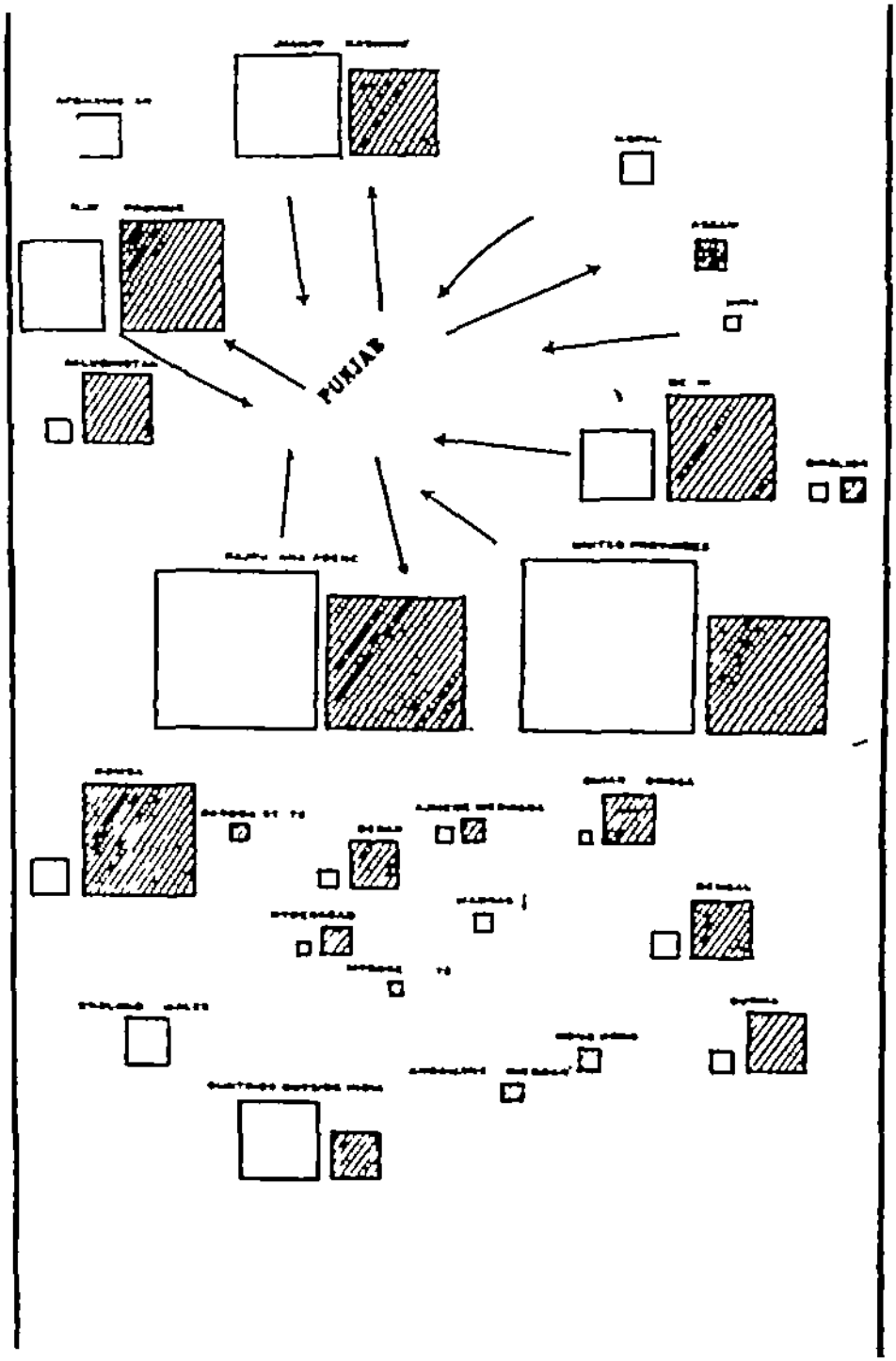

Migration to and from Punjab. Immigrants, white Squares. Emigrants, shaded Squares.

Scale—one square inch represents [illegible] persons.

The white squares represent immigrants to and the shaded squares emigrants from this Province. The area of the square is proportionate to the number of persons migrating.

The reason for the small amount of migration of all kinds was given in 1911 as the proverbial love of the Punjabi for his native land, which made him content with "*ghar ki adhi, bahir ki sari*" (half a loaf at home is as good as a whole away from it). The real reason however appears to be the one which stands in the way of urbanization, *viz.*, the dependence of the population on land for subsistence. Food being the primary necessity of human life keeps people attached and busy with the land. Leisure and off-season are unknown to a peasant, who has constantly to be near his crop to get a living wage out of it and sometimes even less. The few moments of leisure, which he can have, are spent in litigation, of which there is no dearth. Thus migration has no attractions for the agricultural population except when it is calculated to relieve the pressure on resources by holding out a better agricultural prospect and its attendant profits in the form of the lease, occupancy or ownership of colony land. A considerable portion of the population consists of artisans and menials, but even they are supported indirectly by agriculture, and they also do not find any better substitute for their work to entice them away from their homes.

SUBSIDIARY TABLE II

Emigration from the Province

(Actual figures)

Where enumerated	Born in								
	Punjab			British Territory			Punjab States		
	Persons.	Males	Females	Persons	Males	Females	Persons	Males	Females
1	2	3	4	5	6	7	8	9	10
PUNJAB	*27,816,705	15 217,586	12,599,119	23,188,747	12,669,159	10,519,588	4,627,937	2,548 414	2 079,523
British Territory	*23,188,747*	*12,669,159*	*10,519,588*	*22,685 305*	*12,465,876*	*10,219,429*	*503,442*	*203,283*	*300,159*
Punjab States	*4,627,937*	*2,548,414*	*2,079,523*	*335,800*	*122,508*	*213,292*	*4,292,137*	*2,425,906*	*1,866,231*
Contiguous Provinces	502,427	282,890	219,537	461,919	262,028	199,891	40,508	20,862	19,646
Non-contiguous Provinces	*199,979	145,149	54,830	100,536	77,014	23 522	6,537	4 471	2,066
Outside India	*3,199	2,921	278						

* Include the figures of those persons who returned their birth place as "Punjab Unspecified"

SUBSIDIARY TABLE III

Migration between the Province and other parts of India

Note (1) *This table is divided into three parts—*

(*i*) Showing the total figures of immigration to and emigration from the whole of the Punjab (with details of British Territory and Punjab States) taking all the other Provinces of India together

(*ii*) Containing details of migration between the Punjab Province (British Territory and Punjab States) and the British Territory of each of the other provinces

(*iii*) Giving similar details of migration between Punjab Province (British Territory and Punjab States) and the Feudatory States of the other Provinces

Note (2) In case of emigrants, persons returning their birth place as "Punjab Unspecified" are included in the total figures of emigrants to each Province or State, and their number can be obtained by subtracting the total born in each of the two divisions of this Province from the total emigrants

Province or State	Immigrants to Punjab			Emigrants from Punjab			Excess (+) or Deficiency (—) of immigration over emigration	
	1931	1921	Variation.	1931	1921	Variation	1931	1921
1	2	3	4	5	6	7	8	9
I —Total	**680,909**	**591,885**	**+89,024**	**702,406**	**530,899**	**+1,71,507**	**—71,497**	**+60,986**
1 British Territory	519,779	489,430	+30,349	562,455	468,631	+93,824	—42,676	+20,799
2 Punjab States	111,130	102,455	+8,675	47,045	38,026	+ 9,019	+64,085	+64,429
II.—British Territory								
Total	**346,716**	**286,300**	**+ 60,416**	**487,091**	**376,158**	**+110,933**	**—140,375**	**—89,858**
1 British Territory	311,103	259,068	+52,035	378,253	335,938	+42,315	—67,150	—76,870
2 Punjab States	35,613	27,232	+8,381	16,978	18,952	—1,974	+18,635	+8,280
AJMER MERWARA	*931*	*1,536*	*—605*	*3,954*	*4,028*	*—74*	*—3,023*	*—2,492*
1 British Territory	753	898	—145	3,124	3,478	—354	—2,371	—2,580
2 Punjab States	178	638	—460	830	550	+280	—652	+88
ANDAMANS AND NICOBARS	*105*	*70*	*+35*	*1,983*	*1,754*	*+229*	*—1,878*	*—1,684*
1 British Territory	104	70	+34	1,890	1,688	+202	—1,786	—1,618
2 Punjab States	1		+1	63	66	—3	—62	—66
ASSAM ..	*314*	*102*	*+212*	*6,053*	*3,088*	*+2,965*	*—5,739*	*—2,986*
1 British Territory	306	84	+222	5,878	2,823	+3,055	—5,572	—2,739
2 Punjab States	8	18	—10	175	265	—90	—167	—247

SUBSIDIARY TABLE III—*continued.*

Migration between this Province and other parts of India.

Province or State.	Immigrants to Punjab.			Emigrants from Punjab.			Excess (+) or Deficiency (—) of Immigration over Emigration.	
	1931	1921	Variation.	1931	1921	Variation.	1931	1921
1	2	3	4	5	6	7	8	9
Baluchistan (Districts and Administered Territories).	*3,063*	*2,547*	*+516*	*35,597*	*35,591*	*+6*	*—32,534*	*—33,044*
1. British Territory	2,898	2,141	+757	34,610	34,314	+296	—31,712	—32,173
2. Punjab States	165	406	—241	987	1,277	—290	—822	—871
Bengal	*4,618*	*3,172*	*+1,446*	**25,064*	*15,754*	*+9,310*	*—20,446*	*—12,582*
1. British Territory	4,320	2,948	+1,372	23,734	14,110	+9,624	—19,414	—11,162
2. Punjab States	298	224	+74	1,330	1,644	—314	—1,032	—1,420
Bihar and Orissa	*1,275*	*888*	*+387*	*13,375*	*6,718*	*+6,657*	*—12,100*	*—5,830*
1. British Territory	1,150	860	+290	13,286	6,272	+7,014	—12,136	—5,412
2. Punjab States	125	28	+97	89	446	—357	+36	—418
Bombay	*6,503*	*9,502*	*—2,999*	**51,330*	*34,375*	*+16,955*	*—44,827*	*—24,873*
1. British Territory	4,419	6,677	—2,258	*Details not*	30,931	—30,931	+4,419	—24,254
2. Punjab States	2,084	2,825	—741	*available*	3,444	—3,444	+2,084	—619
Burma	*2,047*	*1,617*	*+430*	*24,910*	*20,938*	*+3,972*	*—22,863*	*—19,321*
1. British Territory	1,852	1,451	+401	23,550	19,804	+3,746	—21,698	—18,353
2. Punjab States	195	166	+29	1,360	1,134	+226	—1,165	—968
Central Provinces and Berar.	*2,288*	*2,177*	*+111*	*14,209*	*7,674*	*+6,535*	*—11,921*	*—5,497*
1. British Territory	1,904	2,121	—217	13,630	7,259	+6,371	—11,726	—5,138
2. Punjab States	384	56	+328	579	415	+164	—195	—359
Delhi	*37,120*	*35,196*	*+1,924*	*88,613*	*64,770*	*+23,843*	*—51,493*	*—29,574*
1. British Territory	33,066	32,306	+760	83,413	60,741	+22,672	—50,347	—28,435
2. Punjab States	4,054	2,890	+1,164	5,200	4,029	+1,171	—1,146	—1,139
Madras	*1,558*	*1,583*	*—25*	*Figures not available*	*625*	*—625*	*+1,558*	*+958*
1. British Territory	1,447	1,508	—61		625	—625	+1,447	+883
2. Punjab States	111	75	+36		..		+111	+75
N. W. F. Province (Districts and Administered Territories).	*52,773*	*34,254*	*+18,519*	*85,150*	*74,938*	*+10,212*	*—32,377*	*—40,684*
1. British Territory	50,046	33,838	+16,208	83,118	74,131	+8,987	—33,072	—40,293
2. Punjab States	2,727	416	+2,311	2,032	807	+1,225	+695	—391
United Provinces of Agra and Oudh	*231,122*	*193,289*	*+37,833*	*96,638*	*81,938*	*+14,700*	*+134,484*	*+111,351*
1. British Territory	205,239	173,167	+32,072	92,321	77,361	+14,960	+112,918	+95,806
2. Punjab States	25,883	20,122	+5,761	4,317	4,577	—260	+21,566	+15,545
III.—Feudatory States.								
Total	283,318	303,659	20,341	216,216	154,741	+60,875	+66,003	+148,118
1. Punjab States	73,114	73,145	—31	29,067	19,074	+9,993	+44,047	+54,071
2. British Territory	208,834	229,877	—20,023	144,272	132,003	+12,269	+24,152	+97,874
Assam States	*3*	*293*	*—290*	*81*	*90*	*—9*	*—78*	*+203*
1. Punjab States	1	—	+1	4	12	—8	—3	—12
2. British Territory	2	293	—291	77	78	—1	—75	+215
Baluchistan Agency Tract	*2*	*20*	*—18*	*1,344*	*718*	*+626*	*—1,342*	*—698*
1. Punjab States			+2	25	27	—2	—23	—27
2. British Territory	..	20	—20	1,319	691	+628	—1,319	—671
Bengal States	*141*	*97*	*+44*	*1,472*	*170*	*+1,302*	*—1,331*	*—73*
1. Punjab States	14	13	+1	136	31	+105	—122	—18
2. British Territory	127	84	+43	1,336	139	+1,197	—1,209	—55
Bihar and Orissa States	*6*			*1,953*	*1,843*	*+110*	*—1,947*	*—1,843*
1. Punjab States	..	—		190	153	+37	—190	—153
2. British Territory	6		—	1,763	1,690	+73	—1,757	—1,690

* These figures relate to the whole Province including its States and West India Agency, separate detail for these units not being available.

SUBSIDIARY TABLE III—*concluded*

Migration between the Province and other parts of India.

Province or State	Immigrants to Punjab			Emigrants from Punjab			Excess (+) or Deficiency (—) of Immigration over Emigration	
	1931	1921	Variation	1931	1921	Variation	1931	1921
1	2	3	4	5	6	7	8	9
BOMBAY STATES	*108*	*485*	*—377*	*Figures included in Part II*	*1,862*	*—1,862*		*—1,377*
1 Punjab States	24	41	—17		33	—33		+8
2 British Territory	84	444	—360		367	—367		+77
CENTRAL INDIA AGENCY	*331*	*608*	*—277*	*5,352*	*5,420*	*—68*	*—5,021*	*—4,812*
1 Punjab States	103	62	+41	722	208	+514	—619	—146
2 British Territory	228	546	—318	4 630	5 212	—582	—4,402	—4,666
CENTRAL PROVINCES STATES	*131*	*338*	*—207*	*1,566*	*1,971*	*—405*	*—1 435*	*—1,633*
1 Punjab States	2	35	—33	175	89	+86	—173	—54
2 British Territory	129	303	—174	1,391	1,882	—491	—1,262	—1,579
GWALIOR STATE	*1,560*	*1 793*	*—233*	*2,896*	*2,530*	*+366*	*—1,336*	*—737*
1 Punjab States	378	220	+158	320	365	—45	+58	—145
2 British Territory	1,182	1,573	—391	1,642	2,165	—523	—460	—592
HYDERABAD STATE	*797*	*1,116*	*—318*	*3,731*	*1,618*	*+2,113*	*—2,934*	*—503*
1 Punjab States	90	142	—52	541	317	+224	—451	—175
2. British Territory	707	973	—266	3 190	455	+2,735	—2,483	+518
JAMMU AND KASHMIR STATE	*79,691*	*75,159*	*+4,532*	*53,034*	*52,427*	*+607*	*+26,657*	*+22,732*
1 Punjab States	4,663	3,387	+1,276	668	631	+37	+3,995	+2,756
2 British Territory	75,028	71 772	+3 256	52,366	51,767	+599	+22,662	+20,005
MADRAS STATES INCLUDING COCHIN AND TRAVANCORE	*44*	*39*	*+5*	*Figures not available*	*53*	*—53*	*+44*	*—14*
1 Punjab States					2	—2		—2
2 British Territory	44	39	+5		35	—35	+44	+4
COCHIN STATE				*19*	*7*	*+12*	*—19*	*—7*
1 Punjab States				*Detail not available*				
2 British Territory								
TRAVANCORE STATE				*93*	*42*	*+51*	*—93*	*—42*
1 Punjab States				*Detail not available*	2	—2		—2
2 British Territory		—			35	—35		—35
MYSORE STATE	*293*	*258*	*+35*	*1,196*	*956*	*+240*	*—903*	*—698*
1 Punjab States	33	3	+30	3	16	—13	+30	—13
2 British Territory	260	255	+5	1,193	940	+253	—933	—685
RAJPUTANA AGENCY	*199,214*	*222,173*	*—22,959*	*140,382*	*63,387*	*+76,995*	*+58,832*	*+158 786*
1 Punjab States	69,060	70,814	—1,754	26,527	16,766	+9,761	+42 533	+54,048
2 British Territory	130,154	151,359	—21,205	113,855	46,621	+67,234	+16 299	+104,738
UNITED PROVINCES STATES	*990*	*1,466*	*—476*	*1,570*	*1,531*	*+39*	*—580*	*—65*
1 Punjab States	292	465	—173	752	23	+729	—460	+442
2 British Territory	698	1,001	—303	818	1,508	—690	—120	—507
INDIA UNSPECIFIED	*842*	*1,581*	*—739*				*+842*	*+1,581*
1 Punjab States	11	1,554	—1,543				+11	+1,554
2 British Territory	831	27	+804				+831	+27
FRENCH AND PORTUGUESE SETTLEMENTS	*33*	*145*	*—112*				*+33*	*+145*
1 Punjab States	22	14	+8				+22	+14
2 British Territory	11	131	—120				+11	+131

depleted by the return of age as 60 by some of those who are really older as this is the most preferential of all the old ages This preference on the other hand does not so much affect the number aged 55 and over in 1921 Coming to the figures themselves, we find that there were 2,133,171 persons aged 55 and over in 1921 (Table VII) According to a direct grouping of the 1921 crude age-returns in Subsidiary Table I to Chapter V, 1921, page 207, there would be 9,173 persons aged 55 and over out of every 100,000 If these crude figures are first grouped into triennial and-septennial groups and then smoothed according to the process adopted at this census, there would be 8,416 persons aged 55 and over, giving a ratio of 91 100 between the smoothed and unsmoothed figures That this ratio is the correct one to apply before obtaining comparable figures is borne out by the crude age distribution (Subsidiary Table VI at the end of this Chapter) obtained at this census, which gives the same result when the present figures are similarly treated Graduating the population aged 55 and over in 1921 by the application of this ratio we find that it comes to 1,941,185 As against this we have 832 998 persons aged 65 and over at this census according to our Table VII, or in other words there has been a decrease of 57 per cent among the aged in ten years This percentage will be slightly reduced if the exclusion of a certain number from the population now aged over 65 were to be allowed for on account of preference for the age 60 An ever diminishing number of people from amongst those aged 55 and over in 1921 was below the age of 60 in the first quinquennium of the last decade, and a reduction of about 57 per cent among the aged, in ten years is fully justified by the average annual death-rate of the last decade among persons over 60, which comes to 63 *per mille* annually or 63 per cent in ten years There has been actually a reduction in this death-rate, which is shown by a comparison with the average death-rate that prevailed in the previous decade, which was 79 *per mille* among males and 84 *per mille* among females (*vide* Subsidiary Table IX on page 220 of the Punjab Census Report, 1921) The net result is that the aged have not suffered unduly during the last decade If the method of smoothing adopted on the present occasion is adhered to in the future, comparisons will become easier and much more valuable It will serve no useful purpose to compare the figures of other age-groups

Age Distribution Compared to Other Countries

84 Nothing will bring out more clearly the characteristics of the age distribution of the population of this Province than its comparison with the age distribution of some of the Western countries In the marginal table the proportional age distribution in 1921 for England and Wales and France are compared with those of this Province It is apparent that in the Punjab the number of both sexes in the early age-periods is comparatively enormous, the number of older persons being very small It is perhaps hardly necessary to add that a large number of persons in any age-period automatically reduces the proportion of persons at other ages

Number per 1,000 of both sexes of all ages

AGE PERIOD	Punjab		England and Wales 1921		France 1921	
	Males	Females	Males	Females	Males	Females
1	2	3	4	5	6	7
0—5	82	77	44	43	31	31
5—10	71	61	47	46	39	39
10—20	117	96	94	95	89	88
20—30	95	79	74	88	68	82
30—40	71	56	67	79	65	78
40—50	49	39	63	69	67	72
50—60	33	24	46	50	55	59
60 and over	29	21	42	53	61	76

From what has been remarked above it can reasonably be concluded that the expectation of life in the Punjab is much smaller than in European countries The Actuarial Report will deal with this question at a greater length and determine the mean of expectation of life for persons at various ages, but the fact is too patent not to be noticed.

Other Provinces.

The age distribution of this Province is compared in the marginal table with that obtaining in some of the other provinces. The Punjab has the highest proportion of children as well as old persons except that females in Madras seem to be longer lived. The proportion of people in middle life is therefore naturally smaller in this Province than in others.

Number per 1,000 of both sexes.

Age-periods.	Punjab.		N. W. F.		Bengal.		Madras.	
	Males.	Females.	Males.	Females.	Males.	Females.	Males.	Females.
0—5	81	77	79	78	77	78	71	73
5—10	71	61	73	61	71	63	65	64
10—20	117	98	117	91	106	106	102	103
20—30	85	78	105	88	86	83	83	86
30—40	71	56	77	61	77	61	71	70
40—50	49	39	47	37	49	33	49	47
50—60	33	24	28	21	26	23	30	29
60 and over	29	1	22	18	17	16	23	24

Mean Age.

85. Having seen the proportions of persons at different ages and drawn the rather serious inference about the expectation of life, we are led naturally to a study of the "mean age"* by which is meant the age for a particular community or area the number of persons below and above which is equal. This discussion has mainly an academic interest. A community with a comparatively large proportion of children will have a low mean age while a regressive population though not actually longer-lived will have a comparatively higher mean age. The determination of the mean age is however not altogether valueless as it furnishes a basis of comparison with the figures of the past and gives an indication of the various forces operating on human life. The table in the margin shows the mean age of the population by main religions and sex for all censuses since 1881. It will be seen that during the last fifty years the mean age has varied by no more than two years in a great majority of cases. The smallest figures are those for the year 1891 and the reason for this, as given in the 1911 Report (page 203), was that the preceding decade was characterised by a great rise in the birth rate. This undoubtedly accounts for a part of the variation but the real cause as referred to above was the reduction, during compilation by one year of the ages of all individuals returned at the census of 1891 in order to obtain the figures according to the years of age completed. The mean age during the period, 1901—1921 seems to have increased slightly in the case of males and decreased in the case of females. The reason seems to have been the comparative impunity of males in middle and older ages from the ravages of plague and influenza which are known to have caused heavy mortality among female adults. As compared with 1921 the mean age at this census has dropped by nearly one year in the case of males and a little more in the case of females on account of the great increase in the number of persons at earlier age-periods. The mean age would have been even lower if age had been recorded, as in 1921 according to the number of years completed.

Census.	All Religions.		Hindu.		Sikh.		Muslim.		Christian.	
	Males.	Females.	Males.	Females.	Males.	Females.	Males.	Females.	Males.	Females.
1	2	3	4	5	6	7	8	9	10	11
1881	25·0	24·7	23·2	25·6	26·6	25·8	24·7	24·3	23·4	20·6
1891	23·6	22·6	23·1	22·7	23·9	23·8	22·7	22·2	22·3	20·7
1901	25·6	24·9	26·2	25·1	26·1	26·7	24·6	24·4	[illegible]	22·8
1911	25·9	24·7	23·6	26·0	25·7	25·7	24·9	24·2	23·7	22·9
1921	25·4	24·6	[illegible]	24·7	[illegible]	25·6	25·0	24·1	23·6	22·7
1931	24·3	23·1	21·7	23·4	23·3	24·2	23·8	22·7	22·9	21·6

---

*The mean age has been calculated by the method described in India Administrative Report of the 1901 Census page [illegible].

Mean Age in Natural Divisions

86 It will be of some interest to make a study of the mean age by Natural Divisions Though it does not necessarily indicate longevity, it certainly furnishes a well-known basis for comparing the age distribution From the table in the margin we see that the mean age is highest in the Himalayan Natural Division where the proportion of children is smallest, the Sub-Himalayan and the Indo-Gangetic Plain coming next in order The mean age for the North-West Dry Area with a large amount of adult migration is curiously small This is undoubtedly due to the great natural increase noticeable in the colonies where settlers have made permanent homes The subject is further discussed in the next paragraph as well as in Chapter VI under the heading "Comparative fertility in different areas '

Natural Division	Mean age
Punjab	23 7
Indo-Gangetic Plain West	23 8
Himalayan	25 6
Sub Himalayan	24 3
North West Dry Area	23 0

Longevity in Different Areas

87 Generally speaking an area with the greatest proportion of persons over 60 may be regarded as most suited to longevity It has already been pointed out that the age distribution is greatly affected by various considerations, such as large natural increase in particular areas and migration The map below shows the number of persons per 1,000 of the total population of each district or state, who are over 60

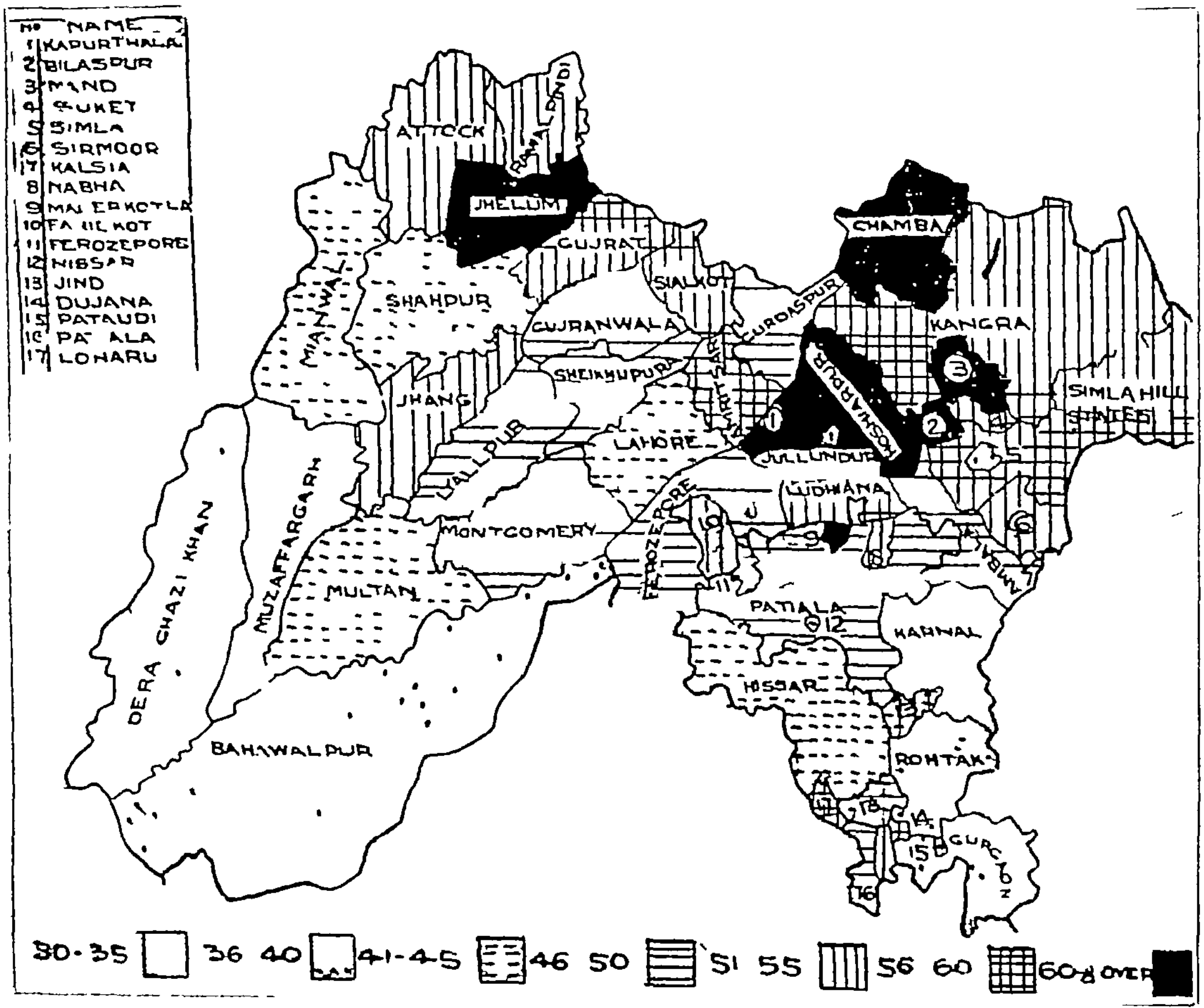
No NAME
1 KAPURTHALA
2 BILASPUR
3 MAND
4 SUKET
5 SIMLA
6 SIRMOOR
7 KALSIA
8 NABHA
9 MALERKOTLA
10 FARIDKOT
11 FEROZEPORE
12 HISSAR
13 JIND
14 DUJANA
15 PATAUDI
16 PATIALA
17 LOHARU
ATTOCK
RAWALPINDI
JHELUM
GUJRAT
SIALKOT
CHAMBA
GURDASPUR
KANGRA
SHAHPUR
MIANWALI
GUJRANWALA
SHEIKHUPURA
AMRITSAR
HOSHIARPUR
SIMLA HILL STATES
JHANG
LYALLPUR
LAHORE
JULLUNDUR
LUDHIANA
MUZAFFARGARH
DERA GHAZI KHAN
MONTGOMERY
FEROZEPORE
AMBALA
MULTAN
PATIALA
KARNAL
HISSAR
BAHAWALPUR
ROHTAK
GURGAON
30-35
36 40
41-45
46 50
51 55
56 60
60 & over

Number per mille of total population who are over 60

The Districts of Karnal and Muzaffargarh, which as noticed in Chapter I have the smallest natural increase and which in consequence should have shown a larger proportion at other ages, possess the smallest proportion of persons over 60 The two districts may therefore be regarded as being most inimical to longevity and very unhealthy. The proportion of older people is low all over the North-West Dry Area partly because of the presence of a large number of middle-aged people as a result of migration or of children owing to larger natural increase. The true state of affairs about the comparative healthiness or otherwise of these areas will be known after a few more years when the conditions in the colonies will have settled down. The areas with the largest proportion of the older persons are the cooler Himalayan Division and the sub-montane districts of Hoshiarpur and Jhelum. The proportion of older people in Jullundur and Kapurthala is also fairly high, being partly attributable to the large number of young and middle-aged emigrants from these places. The same remarks apply to Sialkot, Gurdaspur and Ludhiana.

Quinquennial Births and Age-groups.

88. We might now study the age distribution with the help of vital statistics. Such a study is likely to throw light on the nature and extent of mis-statement of age both in the census and in the record of births and deaths, and will also give an indication of the ages at which the death-rate is comparatively high or at which mis-statement is particularly great. The marginal table appearing below gives for each quinquennium the number of births recorded in the British Territory and the number of persons returned at corresponding age-periods at this census. It is evident that the latter represent the survivors of persons born in the quinquennium shown opposite them. To bring out the results more clearly the life history of persons born in each quinquennium during the period 1881—1885 to 1896—1900 has been traced in the diagram above. The survivors of the persons born during the quinquennia 1881—1885, 1886—1890, 1891—1895, 1896—1900 are now aged 45—50, 40—45, 35—40 and 30—35 respectively. The various degrees of mortality at different ages are evident from the four

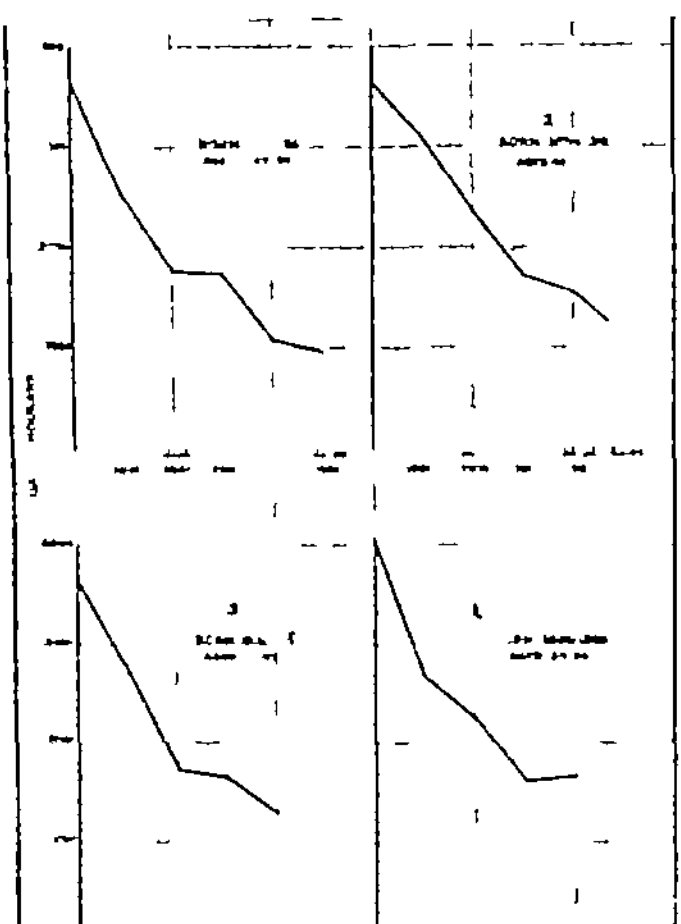

Survivorship of persons born in each quinquennium during the period 1881—85 to 1896—1900.

Year	Birth	Age-groups	Per 1,000 born
1	2	3	4
[illegible]	6,71[illegible]	0—5	3,[illegible]
[illegible]	4,1[illegible]	5—10	3,1[illegible]
[illegible]	4,12[illegible]	10—15	[illegible]
[illegible]	4,2[illegible]	15—[illegible]	[illegible]
[illegible]	[illegible]	[illegible]	[illegible]
[illegible]	[illegible]	3[illegible]	[illegible]
[illegible]	[illegible]	[illegible]	[illegible]
[illegible]	[illegible]	[illegible]	[illegible]
[illegible]	[illegible]	[illegible]	1,11
[illegible]	[illegible]	[illegible]	[illegible]

SUBSIDIARY TABLE I

(Based on Imperial Table VII)

Age distribution of 10,000 of each sex in the Province and each Natural Division at six censuses and mean age

AGE	1931		1921		1911		1901		1891		1881	
	Males	Females	Males	Females	Males	Females	Males	Females	Males	Females	Males	Females
	2	3	4	5	6	7	8	9	10	11	12	13
PUNJAB												
Under 1	341	402	369	431	382	446	302	329	410	468	319	359
1—2	257	304	142	167	147	173	161	178	290	314	180	202
2—3	288	338	231	269	230	265	256	273	293	328	206	282
3—4	294	336	258	306	259	303	256	285	291	310	247	281
4—5	288	318	272	305	262	290	273	290	323	326	267	287
Total under 5	*1,468*	*1,698*	*1,272*	*1,478*	*1,280*	*1,477*	*1 248*	*1,355*	*1,607*	*1,746*	*1,219*	*1,361*
5—10	1,301	1 346	1 457	1,538	1 335	1 390	1 356	1 367	1 366	1,357	1,358	1,355
10—15	1,214	1 191	1 217	1 104	1,187	1,027	1,229	1 086	1 053	914	1,214	1,067
15—20	936	928	851	785	912	815	910	840	1,041	1 075	899	859
20—25	924	947	770	796	848	888	792	851	926	947	854	914
25—30	815	802	822	813	872	884	835	874	940	1,000	850	882
30—35	738	688	753	774	789	827	818	859	646	601	832	858
35—40	570	538	550	511	535	514	550	542	660	708	513	495
40—45	487	467	566	598	608	651	650	672	360	325	656	692
45—50	421	387	382	353	376	347	354	337	503	503	353	323
50—55	341	311	464	456	474	458	407	460	201	162	495	471
55—60	260	231	204	173	182	153	184	160	372	365	174	147
60—65	217	193	340	311	237	298	607	597	326	297	585	576
65—70	124	103	100	84	195	71						
70 and over	184	170	246	226	170	200						
Mean age	24 3	23 1	25 4	24 5	25 2	24 7	25 0	24 9	23 0	22 6	25 0	24 7
I.—INDO-GANGETIC PLAIN WEST												
0—5	1,430	1,690	1,272	1 511	1,252	1,461	1,195	1,283	1,605	1,732	1,169	1,290
5—10	1,270	1 332	1,416	1,527	1,258	1,306	1,335	1 344	1,325	1,315	1,289	1,287
10—15	1,231	1,222	1,215	1,120	1,196	1,021	1,243	1,109	1,077	933	1,233	1,085
15—20	997	964	897	791	1,020	874	976	872	1,090	1,004	961	889
20—40	3,059	2,913	2 942	2,857	3,098	3,148	2,995	3,121	3,193	3 300	3,101	3,205
40—60	1,502	1,418	1,602	1,592	1,625	1,646	1,681	1,686	1,417	1,363	1,695	1,689
60 and over	511	461	656	602	551	544	575	585	293	263	552	555
Mean age	24 3	23 2										-
II —HIMALAYAN												
0—5	1,270	1,445	1,056	1,209	1,089	1,225	1,054	1,195	1,375	1,589	1,053	1,209
5—10	1,162	1,207	1,260	1 345	1,191	1,288	1,177	1,293	1,239	1,282	1,266	1,343
10—15	1,103	1,104	1,122	1,024	1,098	1,002	1,212	1,089	1,070	927	1,188	1,022
15—20	880	956	866	911	904	927	914	912	1 013	1,113	910	928
20—40	3,184	3,233	3,041	3,137	3,170	3,246	3,186	3,258	3,388	3,406	3,233	3,304
40—60	1,789	1,526	1,846	1,663	1,843	1,659	1,805	1,613	1,532	1,338	1,707	1,568
60 and over	612	529	803	711	705	653	652	640	383	345	643	626
Mean age	26 4	24 8										-
III —SUB-HIMALAYAN												
0—5	1,475	1,670	1,261	1,426	1,274	1,460	1,286	1,353	1,562	1 666	1,217	1,350
5—10	1,312	1,339	1,455	1,502	1,351	1,393	1,347	1,318	1,415	1,395	1,405	1,396
10—15	1,213	1 179	1,226	1,103	1,209	1,040	1,235	1,054	1,058	917	1,266	1,110
15—20	878	886	812	770	844	763	881	818	1,026	1 065	887	865
20—40	2,958	2,944	2 794	2,856	2,979	3,078	2 955	3,138	3,155	3,247	3,022	3,105
40—60	1,561	1,455	1,662	1,648	1,662	1,645	1,636	1,670	1,428	1,377	1,614	1,597
60 and over	603	527	790	695	681	621	660	649	356	333	589	577
Mean age	24 8	23 7										
IV —NORTH WEST DRY AREA.												
0—5	1,577	1,804	1 343	1 549	1,403	1,604	1,408	1,589	1,812	2,017	1,482	1,690
5—10	1,380	1 413	1 591	1,651	1 509	1,576	1,477	1,509	1,467	1,454	1,523	1,497
10—15	1,211	1,169	1,238	1,099	1,174	1,029	1,193	1,056	958	834	1,069	936
15—20	893	896	795	753	779	722	793	764	944	1,015	725	715
20—40	3,071	3,041	2,857	2,928	2,975	3,044	2,989	3,081	3,023	3,070	2 844	2,975
40—60	1,405	1,272	1,538	1,466	1,564	1,487	1,532	1,450	1,444	1,295	1,691	1,562
60 and over	463	405	638	5 54	596	538	608	551	352	315	666	625
Mean age	23 5	22 4										

SUBSIDIARY TABLE II.

Age distribution of 10,000 of each sex in each Main Religion (six censuses).

Age.	1931.		1921.		1911.		1901.		1891.		1881.	
	Males.	Females.	Males.	Females.	Males.	Females.	Males.	Females.	Males.	Females.	Males.	Females.
1	2	3	4	5	6	7	8	9	10	11	12	13
ALL RELIGIONS												
0—5	1,463	[illegible]	1,272	1,478	[illegible]	1,477	1,248	[illegible]	1,307	1,746	1,219	1,361
5—10	1,301	1,344	1,457	[illegible]	1,335	[illegible]	1,340	1,307	1,306	1,257	[illegible]	1,283
10—15	[illegible]	1,191	1,217	1 104	1,157	1,017	[illegible]	[illegible]	1,033	914	1,214	1,067
15—20	[illegible]	[illegible]	851	785	912	815	910	840	1,041	1,073	[illegible]	[illegible]
20—40	3,047	[illegible]	[illegible]	[illegible]	3,044	3,113	[illegible]	3,126	3 171	[illegible]	3,040	3,140
40—60	1,509	[illegible]	1,616	[illegible]	1 640	1,609	1,653	[illegible]	[illegible]	1332	1,67	[illegible]
60 and over	[illegible]	466	[illegible]	[illegible]	[illegible]	[illegible]	[illegible]	597	[illegible]	[illegible]	[illegible]	676
Mean age	[illegible]	[illegible]	25·4	[illegible]	[illegible]	[illegible]	[illegible]	[illegible]	[illegible]	[illegible]	25·4	24·7
HINDU												
0—5	1,377	1,611	1,211	[illegible]	[illegible]	[illegible]	1,162	[illegible]	[illegible]	1,717	1 127	[illegible]
5—10	[illegible]	[illegible]	[illegible]	1,409	[illegible]	1,303	1,306	1,350	[illegible]	[illegible]	[illegible]	[illegible]
10—15	1,189	[illegible]	1,157	1,096	1,163	[illegible]	1,231	1,067	[illegible]	930	1,214	[illegible]
15—20	978	966	896	917	[illegible]	[illegible]	944	[illegible]	1,072	[illegible]	[illegible]	[illegible]
20—40	3,135	[illegible]	3,005	[illegible]	3,184	[illegible]	[illegible]	3,157	3,270	[illegible]	3,190	[illegible]
40—60	[illegible]	1,438	[illegible]	1,605	[illegible]	1,651	1,718	1,677	1,421	[illegible]	[illegible]	[illegible]
60 and over	499	410	[illegible]	[illegible]	[illegible]	[illegible]	567	[illegible]	[illegible]	[illegible]	640	567
Mean age	[illegible]	[illegible]	[illegible]	[illegible]	[illegible]	[illegible]	[illegible]	[illegible]	[illegible]	[illegible]	[illegible]	[illegible]
SIKH												
0—5	1,391	[illegible]	1,209	1,412	1,219	1,418	1 184	[illegible]	1,616	[illegible]	1,188	[illegible]
5—10	[illegible]	1,300	[illegible]	[illegible]	[illegible]	[illegible]	1,230	[illegible]	1,316	1,291	[illegible]	1,187
10—15	[illegible]	1,190	1,219	1,116	1,189	971	1,219	[illegible]	[illegible]	911	1,163	[illegible]
15—20	951	917	881	790	977	781	[illegible]	864	[illegible]	1,017	[illegible]	847
20—40	[illegible]	[illegible]	2,880	[illegible]	[illegible]	3,136	2,876	[illegible]	[illegible]	[illegible]	3,013	[illegible]
40—60	1,625	1,449	1,691	1,718	[illegible]	1,744	1,767	[illegible]	[illegible]	[illegible]	[illegible]	[illegible]
60 and over	[illegible]	571	[illegible]	731	654	[illegible]	[illegible]	703	397	319	[illegible]	617
Mean age	[illegible]	[illegible]	[illegible]	[illegible]	[illegible]	[illegible]	[illegible]	[illegible]	[illegible]	[illegible]	[illegible]	[illegible]
MUSLIM												
0—5	1,637	1,730	[illegible]	1,618	[illegible]	[illegible]	[illegible]	1,453	1 677	[illegible]	1,316	1,443
5—10	[illegible]	[illegible]	[illegible]	[illegible]	[illegible]	1,449	[illegible]	1,406	1,415	1 419	1,442	1,419
10—15	[illegible]	1,166	1,237	1,106	[illegible]	1,059	[illegible]	[illegible]	1,026	[illegible]	[illegible]	1,079
15—20	[illegible]	[illegible]	816	789	841	773	[illegible]	[illegible]	[illegible]	1,073	[illegible]	839
20—40	[illegible]	2,973	[illegible]	[illegible]	[illegible]	[illegible]	[illegible]	[illegible]	3,069	3,177	2,914	[illegible]
40—60	1,443	1,340	[illegible]	[illegible]	[illegible]	[illegible]	1,672	[illegible]	[illegible]	1,331	1,627	[illegible]
60 and over	613	430	700	[illegible]	[illegible]	[illegible]	621	[illegible]	345	[illegible]	[illegible]	477
Mean age	[illegible]	[illegible]	[illegible]	[illegible]	[illegible]	[illegible]	[illegible]	[illegible]	[illegible]	[illegible]	[illegible]	[illegible]
CHRISTIAN												
0—5	[illegible]	[illegible]	1,334	1,691	1,334	1,705	934	[illegible]	[illegible]	[illegible]	641	[illegible]
5—10	1,319	[illegible]	[illegible]	1,671	1,297	1,677	[illegible]	1,477		1,311	641	[illegible]
10—15	[illegible]	[illegible]	[illegible]	[illegible]	[illegible]	[illegible]	[illegible]	[illegible]	[illegible]	[illegible]	414	1,110
15—20	[illegible]	[illegible]	[illegible]	811	741	741	[illegible]	971	[illegible]	1,043	[illegible]	[illegible]
20—40	3,149	[illegible]	3,018	2,753	[illegible]	3,062	[illegible]	[illegible]	[illegible]	[illegible]	[illegible]	[illegible]
40—60	1,264	1,199	[illegible]	[illegible]	[illegible]	[illegible]	1,007	[illegible]	[illegible]	[illegible]	[illegible]	[illegible]
60 and over	[illegible]	391	616	615	[illegible]	423	[illegible]	[illegible]	113	191	[illegible]	[illegible]
Mean age	[illegible]	[illegible]	[illegible]	[illegible]	[illegible]	[illegible]	[illegible]	[illegible]	[illegible]	[illegible]	[illegible]	[illegible]

SUBSIDIARY TABLE III.

Age distribution of 1,000 of each sex in certain castes (Census 1931).

Caste	Males						Females					
	Number per mille aged						Number per mille aged					
	0—6	7—13	14—16	17—23	24—43	44 and over	0—6	7—13	14—16	17—23	24—43	44 and over
1	2	3	4	5	6	7	8	9	10	11	12	13
Aggarwal (Hindu)	179	161	70	134	281	169	205	170	60	134	264	168
(Jain)	184	166	72	128	281	169	200	172	69	132	271	154
Ahir (Hindu)	159	178	76	118	273	165	221	176	66	121	262	154
(Muslim)	189	163	55	130	284	180	209	165	60	110	287	169
Arain (Muslim)	202	182	69	111	270	166	231	186	62	121	249	149
Arora (Hindu)	192	168	67	117	280	169	218	176	59	120	278	140
(Sikh)	205	181	67	121	250	176	229	183	59	110	258	152
Awan (Muslim)	207	176	66	97	281	173	221	172	55	101	280	161
Bawaria (Hindu)	237	157	67	116	286	137	249	195	71	125	243	117
(Sikh)	201	178	69	[illegible]	[illegible]	147	[illegible]	191	78	113	213	133
Biloch (Muslim)	206	175	61	107	291	160	[illegible]	166	50	114	204	136
Brahman (Hindu)	192	154	70	127	292	168	184	162	63	124	278	185
(Sikh)	164	151	62	170	[illegible]	211	187	152	68	117	283	195
Chamar (Hindu)	192	183	78	124	277	147	218	176	76	130	[illegible]	127
(Ad Dharmi)	196	193	69	101	[illegible]	177	218	178	71	[illegible]	212	159
(Sikh)	184	174	80	124	[illegible]	171	221	173	75	125	[illegible]	152
Chhimba (Hindu)	160	[illegible]	73	132	[illegible]	204	212	169	81	127	240	172
(Sikh)	167	[illegible]	82	121	[illegible]	217	195	161	76	122	214	202
(Muslim)	206	173	67	121	[illegible]	178	227	169	69	117	201	161
Chuhra (Hindu)	[illegible]	188	77	122	208	141	[illegible]	188	71	126	203	117
(Ad Dharmi)	212	191	74	121	241	140	241	188	69	118	246	138
(Sikh)	218	187	76	130	232	147	226	171	73	135	[illegible]	138
(Muslim)	220	175	77	105	275	137	246	177	82	104	240	142
(Christian)	212	187	67	127	270	137	259	175	75	130	215	136
Dagi and Koli (Hindu)	169	173	61	100	319	[illegible]	189	[illegible]	61	115	122	171
Dhobi (Hindu)	193	155	[illegible]	150	[illegible]	178	221	167	70	135	286	113
(Muslim)	217	174	[illegible]	117	[illegible]	170	218	168	64	120	267	163
Faqir (Hindu)	[illegible]	[illegible]	66	111	262	271	202	165	62	120	246	205
(Sikh)	[illegible]	92	[illegible]	91	[illegible]	[illegible]	169	[illegible]	72	122	249	230
(Muslim)	202	177	72	[illegible]	261	171	228	182	70	123	217	150
Gujjar (Hindu)	171	173	77	125	281	170	200	170	68	116	284	162
(Sikh)	172	162	61	97	263	215	192	161	55	99	277	216
(Muslim)	188	181	60	[illegible]	270	178	226	178	64	112	260	160
Harni (Muslim)	187	277	41	83	214	173	203	212	52	[illegible]	204	167
Jat (Hindu)	176	175	80	128	271	170	216	179	74	124	266	161
(Sikh)	166	[illegible]	61	120	271	209	195	144	65	117	260	107
(Muslim)	[illegible]	184	63	109	278	163	234	176	[illegible]	115	274	147
Jhiwar (Hindu)	188	171	72	117	275	177	214	177	74	125	262	151
(Sikh)	201	185	69	118	244	184	219	171	65	121	251	170
(Muslim)	210	187	64	116	244	174	211	186	69	125	212	148
Julaha (Hindu)	177	152	72	110	297	191	188	176	71	137	288	160
(Sikh)	161	164	60	112	278	223	173	161	50	112	[illegible]	211
(Muslim)	202	176	69	114	264	177	229	176	64	120	259	151
Kamboh (Hindu)	192	169	74	120	270	169	212	183	68	139	262	145
(Sikh)	208	181	64	115	253	178	222	182	68	121	251	156
(Muslim)	204	183	72	121	254	167	231	191	66	124	243	145
Kanet (Hindu)	158	153	62	115	299	213	176	143	57	127	309	188
(Buddhist)	87	175	67	133	309	229	114	121	76	150	323	217
Kashmiri (Muslim)	178	161	64	131	301	[illegible]	213	160	65	122	268	163
Khatri (Hindu)	178	159	67	120	291	173	206	173	62	118	271	167
(Sikh)	191	161	62	114	263	203	212	170	66	111	268	173
Kumhar (Hindu)	188	177	78	125	271	161	213	169	73	131	260	161
(Sikh)	191	188	74	121	[illegible]	176	204	175	69	115	247	191
(Muslim)	211	187	67	112	261	166	235	174	64	120	261	147
Lohar (Hindu)	173	167	73	122	288	177	198	168	71	120	285	168
(Sikh)	181	170	58	114	275	201	199	162	78	120	258	183
(Muslim)	205	181	71	120	258	[illegible]	212	175	66	124	274	150
Machhi (Muslim)	211	182	64	110	272	160	237	170	62	118	269	111
Meo (Muslim)	202	194	78	118	280	124	224	176	65	121	300	112
Mirasi (Muslim)	200	175	69	120	265	171	223	168	64	122	264	160
Mochi (Hindu)	137	123	75	105	391	169	221	162	71	152	285	109
(Muslim)	207	176	61	111	270	172	220	175	62	117	275	152
Musalli (Muslim)	233	192	61	106	266	162	258	184	57	123	255	124
Nai (Hindu)	177	160	75	126	272	185	200	170	70	120	270	161
(Sikh)	171	162	71	126	264	207	190	167	72	116	275	191
(Muslim)	198	172	67	118	271	174	230	169	66	122	260	153
Pakhiwara (Muslim)	221	169	62	109	263	176	232	161	74	127	254	132
Pathan (Muslim)	182	166	64	126	293	169	210	162	61	122	280	150
Rajput (Hindu)	156	151	68	129	303	194	184	155	66	132	286	178
(Sikh)	218	177	91	112	231	171	240	165	67	112	291	139
(Muslim)	199	178	70	117	270	166	225	177	65	110	266	148
Rathi (Hindu)	186	174	58	101	277	204	194	168	60	126	270	174
Saini (Hindu)	172	167	75	118	271	197	205	160	69	116	264	177
(Sikh)	196	180	68	105	245	206	200	170	74	102	259	181
Sansi (Hindu)	214	180	66	115	260	165	244	188	65	117	248	138
Sayal (Muslim)	188	169	67	121	275	177	207	164	66	125	275	161
Sheikh (Muslim)	178	166	69	134	295	158	213	175	68	135	269	140
Sunar (Hindu)	180	175	71	124	206	176	208	177	68	128	254	165
(Sikh)	201	179	67	124	253	176	212	181	66	126	253	162
(Muslim)	213	172	73	125	262	155	236	168	72	132	248	141
Tarkhan (Hindu)	181	171	70	110	286	182	207	172	71	127	268	155
(Sikh)	182	168	69	125	260	196	204	167	69	125	255	181
(Muslim)	206	170	67	111	275	172	231	174	60	128	256	151
Teli (Muslim)	201	180	75	121	259	161	231	184	65	123	249	148

SUBSIDIARY TABLE IV

Proportion of children under 14 and of persons over 43 to those aged 14—43 in certain castes ; also of Married females aged 14—43 per 100 Females (Census 1931).

Serial No.	Caste.		Proportion of children, both sexes, per 100		Proportion of persons over 43 per 100 aged 14—43.		Number of Married Females aged 14—43 per 100 Females of all ages.
			Persons aged 14—43.	Married females aged 14—43.	Males.	Females.	
	1		2	3	4	5	6
1	Aggarwal	(*Hindu*)	78	213	35	34	36
2		(*Jain*)	73	206	33	33	38
3	Ahir	(*Hindu*)	83	217	36	34	39
4		(*Muslim*)	78	239	33	34	43
5	Arain	(*Muslim*)	91	245	38	35	38
6	Arora	(*Hindu*)	81	223	38	33	35
7		(*Sikh*)	91	244	40	35	36
8	Awan	(*Muslim*)	87	232	39	36	38
9	Bawaria	(*Hindu*)	95	251	31	27	38
10		(*Sikh*)	82	250	37	31	34
11	Baloch	(*Muslim*)	84	14	33	29	40
12	Brahman	(*Hindu*)	70	206	41	40	38
13		(*Sikh*)	63	11	43	41	38
14	Chamar	(*Hindu*)	86	196	31	27	42
15	"	(*Ad-Dharmi*)	90	218	41	36	39
16	"	(*Sikh*)	83	209	38	34	40
17	Chhimba	(*Hindu*)	76	203	43	33	38
18		(*Sikh*)	[illegible]	203	47	46	37
19		(*Muslim*)	87	223	40	34	37
20	Chuhra	(*Hindu*)	88	229	30	25	39
21		(*Ad-Dharmi*)	94	241	33	33	38
22		(*Sikh*)	88	229	32	30	38
23		(*Muslim*)	82	270	38	33	33
24	"	(*Christian*)	89	230	38	30	38
25	Dagi and Koli	(*Hindu*)	67	136	42	35	43
26	Dhobi	(*Hindu*)	73	188	37	23	42
27		(*Muslim*)	86	229	38	34	37
28	Faqir	(*Hindu*)	63	209	48	48	34
29		(*Sikh*)	46	201	42	44	36
30		(*Muslim*)	69	238	39	34	37
31	Gujar	(*Hindu*)	71	209	35	34	41
32		(*Sikh*)	81	197	38	39	38
33		(*Muslim*)	88	227	39	37	37
34	Harni	(*Muslim*)	[illegible]	408	43	41	39
35	Jat	(*Hindu*)	78	200	38	33	41
36	"	(*Sikh*)	76	219	46	43	38
37	"	(*Muslim*)	89	43	38	33	36
38	Jhinwar	(*Hindu*)	81	213	38	33	39
39		(*Sikh*)	[illegible]	221	43	39	37
40		(*Muslim*)	94	43	41	34	38
41	Julaha	(*Hindu*)	67	171	40	33	42
42		(*Sikh*)	72	173	40	47	41
43		(*Muslim*)	94	230	39	31	38
44	Kamboh	(*Hindu*)	83	223	36	31	37
45		(*Sikh*)	91	223	41	33	35
46		(*Muslim*)	81	244	37	34	36
47	Kanet	(*Hindu*)	48	154	45	36	42
48		(*Buddhist*)	47	17	43	39	28
49	Kashmiri	(*Muslim*)	74	225	32	36	38
50	Khatri	(*Hindu*)	[illegible]	228	38	27	33
51		(*Sikh*)	[illegible]	227	44	39	33
52	Kumhar	(*Hindu*)	79	[illegible]	31	32	40
53		(*Sikh*)	88	[illegible]	40	41	33
54		(*Muslim*)	91	229	38	33	38
55	Lohar	(*Hindu*)	73	16	37	33	40
56		(*Sikh*)	81	[illegible]	47	40	35
57		(*Muslim*)	89	[illegible]	37	34	37
	Machhi	(*Muslim*)	[illegible]	218	38	32	37
	Meo	(*Muslim*)	[illegible]	[illegible]	23	33	42
	Mirasi	(*Muslim*)	83	231	[illegible]	38	36
61	Mochi	(*Hindu*)	81	212	17	32	43
62		(*Muslim*)		[illegible]	39	31	38
63	Musalli	(*Muslim*)	[illegible]	[illegible]	33	29	33
64	Nai	(*Hindu*)	75	157	[illegible]	31	[illegible]
65		(*Sikh*)	77	216	45	43	38
66		(*Muslim*)	[illegible]	229	[illegible]	34	38
67	Pakhiwara	(*Muslim*)	[illegible]	32	40	29	38
	Pathan	(*Muslim*)	[illegible]	224	[illegible]	34	38
69	Rajput	(*Hindu*)	63	197	39	37	[illegible]
		(*Sikh*)	63	223	37	39	39
71		(*Muslim*)	54	[illegible]	34	33	33
72	Rathi	(*Hindu*)	[illegible]	146	47	37	37
73	Saini	(*Hindu*)	[illegible]	[illegible]	43	33	[illegible]
74		(*Sikh*)	[illegible]	[illegible]	49	43	38
75	Sansi	(*Hindu*)	94	237	37	32	33
76	Sayad	(*Muslim*)	[illegible]	223	[illegible]	[illegible]	35
77	Shekh	(*Muslim*)	73	212	32	[illegible]	[illegible]
	Sunar	(*Hindu*)	82	[illegible]	38	37	38
79		(*Sikh*)		230	[illegible]	38	38
		(*Muslim*)	88	[illegible]	31	32	35
	Tarkhan	(*Hindu*)	[illegible]	16	39	33	41
		(*Sikh*)	69	213	43	40	38
	"	(*Muslim*)		209	[illegible]	34	38
	Teli	(*Muslim*)	68	209	35	34	38

SUBSIDIARY TABLE VI—*concluded.*

Variation in population at certain age-periods since 1901 by District or State and Natural Division.

Serial No.	District or State and Natural Division	Period	Variation per cent in population (Increase +, Decrease —)					
			All ages	0—10	10—15	15—40	40—60	60 & over
	1	2	3	4	5	6	7	8
34	Gujrat	1901—1911	—·5	+4·1	—3·3	—4·6	+1·0	+2·5
		1911—1921	+4·6	+11·5	+10·1	+4·4	+12·0	+20·9
		1921—1931	+11·0	+15·2	+11·5	+20·4	+1·6	—15·2
35	Jhelum	1901—1911	+2·0	—16·5	—17·3	—12·7	—10·2	—13·4
		1911—1921	—0·7	—·5	—2·0	—14·8	—7·5	+8·8
		1921—1931	+13·4	+13·7	+14·1	+21·0	+8·7	—13·6
36	Rawalpindi	1901—1911	—1·0	—43·2	+43·0	—40·1	—40·0	—38·0
		1911—1921	+3·0	+0·2	+2·3	+1·6	+2·9	+13·0
		1921—1931	+11·4	+17·7	+14·6	+15·5	+2·0	—19·6
37	Attock	1901—1911	+11·8	Not available				
		1911—1921	—1·1	—·0	+3·4	—6·0	+·2	+13·0
		1921—1931	+14·0	+12·0	+13·1	+23·0	+7·7	—14·7
	IV—North-West Dry Area	*1901—1911*	*+17·8*	*+17·1*	*+12·9*	*+13·6*	*+17·9*	*+12·7*
		1911—1921	*+9·4*	*+5·7*	*+11·3*	*+5·2*	*+6·3*	*+13·7*
		1921—1931	*+21·5*	*+21·3*	*+22·2*	*+29·9*	*+7·6*	*—12·3*
38	Montgomery	1901—1911	+12·2	+21·2	+5·2	+14·3	+15·3	+15·8
		1911—1921	+42·3	+33·1	+44·2	+30·2	+31·2	+38·7
		1921—1931	+15·8	+42·7	+30·7	+40·5	+20·1	+4·8
39	Shahpur	1901—1911	+32·1	+35·2	+28·2	+30·3	+27·6	+8·2
		1911—1921	+11·6	+7·4	+4·4	—1·2	+0·5	+18·5
		1921—1931	+14·1	+15·0	+22·0	+22·0	+1·6	—20·0
40	Mianwali	1901—1911	+13·1	—16·8	—18·2	—23·8	—17·2	—16·7
		1911—1921	+4·0	+1·8	+6·1	+7·0	+4·0	+0·7
		1921—1931	+14·0	+16·5	+19·3	+21·7	+4·6	—15·4
41	Lyallpur	1901—1911	+42·0	+21·3	+·6	+3·2	+2·1	+10·3
		1911—1921	+16·2	+16·6	+31·7	+5·7	+11·0	+24·6
		1921—1931	+20·2	+14·0	+20·7	+20·4	+10·1	—4·4
42	Jhang	1901—1911	+23·1	+38·3	+30·4	+35·6	+36·0	+27·3
		1911—1921	+8·7	+14·3	+13·0	+5·7	+10·7	+17·6
		1921—1931	+16·5	+16·3	+22·8	+25·8	+4·4	—11·0
43	Multan	1901—1911	+14·7	+14·0	+18·6	+10·7	+23·3	+16·6
		1911—1921	+9·3	+0·1	+14·2	+0·0	+5·6	+11·3
		1921—1931	+32·1	+37·1	+26·7	+40·5	+16·3	—1·1
44	*Bahawalpur State*	1901—1911	+8·3	+5·2	+6·0	+0·5	+16·6	+1·2
		1911—1921	+·1	+1·8	+1·7	—·5	—4·3	+4·8
		1921—1931	+26·0	+30·0	+31·5	+35·2	+7·2	—15·7
45	Muzaffargarh	1901—1911	+7·0	+37·0	+30·1	+28·2	+51·0	+40·2
		1911—1921	—·2	—1·7	+6·0	—·2	—2·2	+1·4
		1921—1931	+4·0	+3·0	+1·3	+16·3	—8·6	—34·4
46	Dera Ghazi Khan	1901—1911	+6·6	+8·7	+13·7	+11·8	+18·2	+14·0
		1911—1921	—0·2	—0·1	—1·8	—4·6	—5·7	—8·0
		1921—1931	+5·0	+2·5	+2·3	+16·3	—2·5	—30·5

SUBSIDIARY TABLE VII

Reported birth-rate by sex and Natural Division.

(FOR BRITISH TERRITORY ONLY)

Year	Number of births per 1,000 of total Annual *Population									
	Punjab		*Indo Gangetic Plain West*		*Himalayan*		*Sub Himalayan*		*North-West Dry Area*	
	Males	Females	Males	Females	Males	Females	Males	Females	Males	Females.
1	2	3	4	5	6	7	8	9	10	11
1921	*22*	*20*	22	20	18	16	22	20	22	19
1922	*20*	*18*	22	20	16	15	20	18	20	17
1923	*22*	*20*	23	20	19	18	22	20	22	19
1924	*20*	*18*	21	18	17	16	20	18	20	18
1925	*20*	*18*	21	19	18	17	20	18	19	17
1926	*21*	*18*	20	18	19	17	21	18	21	19
1927	*21*	*18*	21	19	17	16	20	18	21	19
1928	*22*	*20*	23	21	19	18	22	20	22	19
1929	*21*	*19*	22	20	18	16	21	19	20	18
1930	*20*	*18*	22	19	19	17	21	19	18	16

*The population is assumed to have increased in geometric progression between the year 1921—1931 R 1 013

SUBSIDIARY TABLE VIII.

Reported death-rate by Sex and Natural Divisions (For British Territory only).

Year.	Punjab.		Indo-Gangetic Plain, West.		Himalayan.		Sub-Himalayan.		North West Dry Area.	
	NUMBER OF DEATHS PER 1,000 TOTAL ANNUAL *POPULATION EACH SEX.									
	Males.	Females.	Males.	Females.	Males.	Females.	Males.	Females.	Males.	Females.
1	2	3	4	5	6	7	8	9	10	11
1921	30	31	28	29	53	50	34	34	24	25
1922.	21	23	23	24	26	26	23	23	18	18
1923.	29	32	30	33	27	27	31	34	24	28
1924	39	44	46	47	34	29	48	53	22	28
1925.	27	30	31	35	27	27	27	26	23	23
1926.	33	38	38	44	28	29	32	35	24	25
1927	25	26	27	28	29	28	26	26	21	22
1928.	22	23	22	24	22	22	23	4	19	20
1929.	25	27	24	26	31	31	24	26	20	29
1930.	26	27	26	29	26	27	25	26	25	26

*The population is assumed to have increased in geometric progression between the years 1921—1931.

SUBSIDIARY TABLE IX.

Annual reported death-rate by sex and age in decade per mille living at same age according to the census of 1921 (For British Territory only).

Age.	Average of decade		1921.		1922.		1923.		1924		1925.		1926.		1927		1928.		1929.		1930.	
	Males.	Females.	Males.	Females.	Males.	Females.	Males.	Females.	Males.	Females.	Males.	Females.	Males.	Females.	Males.	Females.	Males.	Females.	Males.	Females.	Males.	Females.
1	2	3	4	5	6	7	8	9	10	11	12	13	14	15	16	17	18	19	20	21	22	23
All Ages	29	31	30	31	22	22	29	33	41	47	29	31	33	38	27	28	24	25	28	30	29	31
Under 1	179	193	207	182	170	184	198	193	214	211	189	190	206	200	171	182	172	143	190	183	180	182
1—5	60	69	82	61	40	39	59	50	68	69	43	44	53	53	43	42	30	34	49	49	47	54
5—10	12	13	11	11	7	7	11	13	29	24	12	12	16	17	11	11	8	9	11	11	11	12
10—15	12	18	9	11	7	8	10	14	21	22	12	16	17	21	11	13	8	10	10	12	10	13
15—20	13	19	11	14	8	10	12	17	26	25	16	21	23	30	15	16	11	15	13	17	14	16
20—30	13	13	13	17	8	10	12	15	21	23	13	16	1	21	12	14	9	12	10	13	11	13
30—40	15	1	13	16	16	17	16	17	24	20	13	17	20	21	18	18	12	11	12	13	13	18
40—50	22	2	22	21	15	15	20	27	34	3	24	21	29	30	27	21	19	16	19	27	28	29
50—60	37	32	32	29	31	34	28	29	47	41	33	33	44	43	30	29	27	27	30	32	29	31
60 and over	61	66	72	73	56	57	61	69	81	91	67	64	64	74	52	55	[illegible]	51	57	47	59	64

NOTE.—Figures of population used in this table are those given in Imperial Table VII of 1921 for all the age-periods except for the age-group 0—1 for which figures of births for the years concerned have been used.

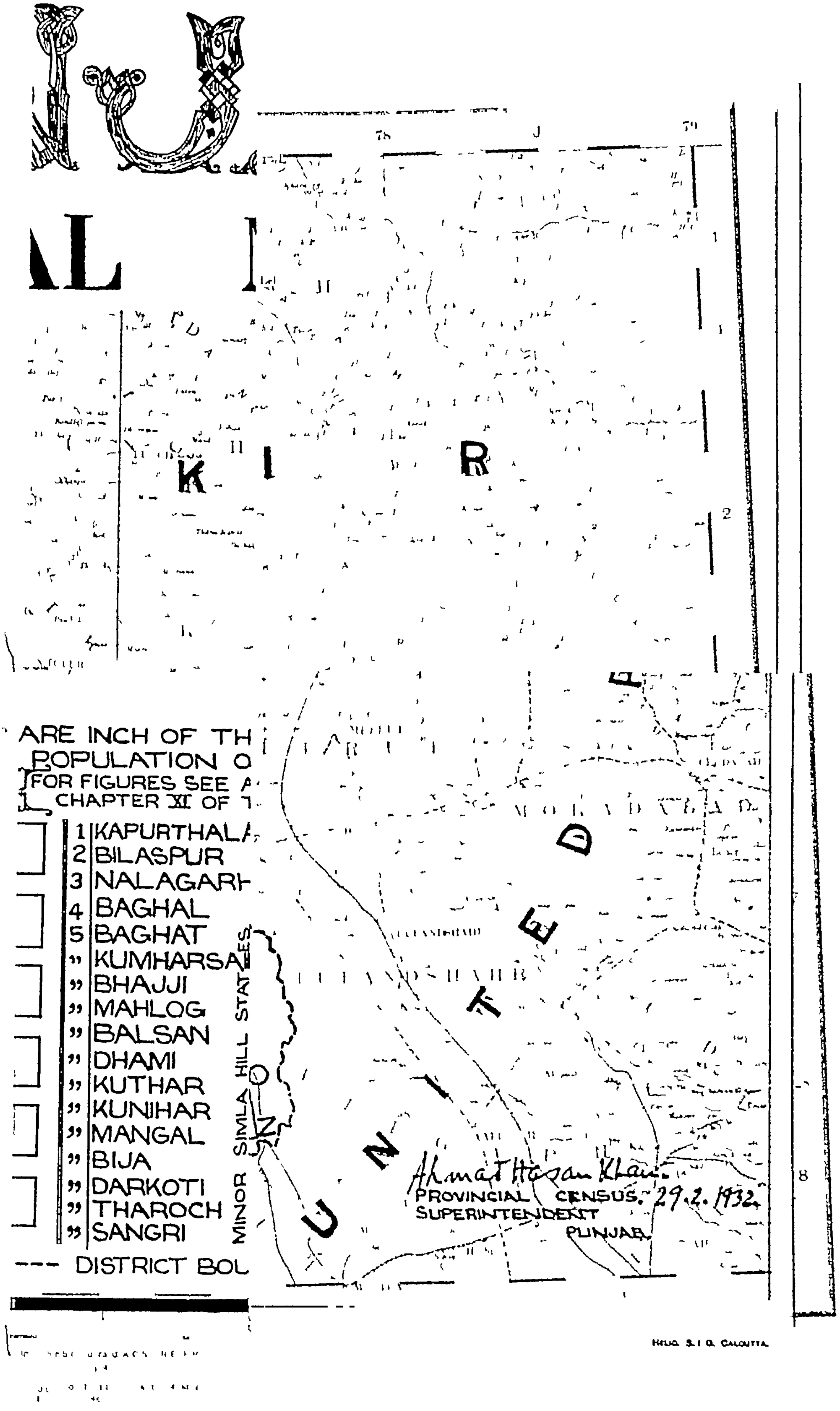
AL
KIR
ARE INCH OF TH
POPULATION O
FOR FIGURES SEE A
CHAPTER XI OF T
1 KAPURTHALA
2 BILASPUR
3 NALAGARH
4 BAGHAL
5 BAGHAT
" KUMHARSAIN
" BHAJJI
" MAHLOG
" BALSAN
" DHAMI
" KUTHAR
" KUNIHAR
" MANGAL
" BIJA
" DARKOTI
" THAROCH
" SANGRI
MINOR SIMLA HILL STATES
--- DISTRICT BOU
UNITED P
MORADABAD
2
8
Hd.Qrs. S.I.O. Calcutta.

Ahmad Hasan Khan.
29.2.1932.
PROVINCIAL CENSUS
SUPERINTENDENT
PUNJAB.

SUBSIDIARY TABLE X

Actual recorded Deaths from certain diseases and death-rate per mille of each Sex (For British Territory only)

YEAR	Punjab					Actual number of deaths in							
	Actual number of deaths			Ratio *per mille* of each sex		Indo Gangetic Plain West		Himalayan		Sub Himalayan		North West Dry Area	
	Total	Males	Females	Males	Females	Males	Females	Males	Females	Males	Females	Males	Females
1	2	3	4	5	6	7	8	9	10	11	12	13	14
Fevers	3,940,052	2,069,309	1,870,748	175	189	909,207	817,981	68,244	62,578	540,744	500,548	551,114	489,641
1921	*423,162*	226,123	197,039	20	21	92,332	77,777	13,285	12,563	69,666	62,753	50,840	43,946
1922	*306,654*	162,284	144,370	14	15	73,392	65,841	6,900	6,402	44,119	39,032	37,873	33,095
1923	*420,398*	217,271	203,127	19	21	103,047	98,059	7,802	7,240	50,973	48,702	55,449	49,126
1924	*452,187*	235,212	216,975	20	22	101,087	92,944	7,489	6,846	58,437	55,186	68,199	61,999
1925	*401,775*	210 250	191,525	18	19	97,344	91,101	5,493	5,233	52,500	48,623	54,913	46,568
1926	*436,156*	227,872	208,284	19	21	108,386	98,555	5,120	4,711	60,267	57,735	54,099	47,283
1927	*358,679*	191 417	167,262	16	17	85,621	73,743	5,093	4,501	50,842	46,375	49,861	42,643
1928	*316,235*	167,063	149,172	14	15	71,452	62,289	5,723	5,028	44,601	41,390	45,287	40,465
1929	*402,429*	209 347	193,082	17	19	82,374	72,894	6,097	5,399	52,801	49,621	68,075	65,168
1930	*422,377*	222,470	199,907	18	19	94,172	84,778	5,242	4,644	56,538	51,131	66,518	59,354
Plague	476,938	229,222	247,716	18	24	122,788	126,725	18	5	87,819	101,568	18,597	19,418
1921	*2,553*	1,338	1,215			562	531			527	458	249	226
1922	*7,780*	3,687	4,093			911	1,026			1,801	2,262	885	805
1923	*50,086*	22,838	27,248	2	3	4,404	4,996			15,869	19,406	2,565	2,846
1924	*251,261*	120,748	130,513	10	13	56,509	58,744	3	1	53,435	60,308	10,801	11,460
1925	*37,630*	18,144	19,486	2	2	14,666	15,506	1		2,657	3,113	820	867
1926	*108,287*	53 428	54,859	4	6	41,528	41,520	12	2	8,894	10,441	2,994	2,896
1927	*8,452*	4,129	4,323			2,507	2,572			1,292	1,436	330	315
1928	*8,282*	3,769	4,513			1,349	1,542			2,407	2,969	13	2
1929	*2,053*	905	1,148			287	279	2	2	616	866		1
1930	*554*	236	318			5	9			231	309		
Small Pox	68,884	36,175	32,709	1	1	14,943	13,159	466	270	10,329	9,713	10,437	9,567
1921	*4,575*	2,428	2,147			552	406	12	7	708	672	1,156	1,062
1922	*1,608*	839	769			486	440	6	2	152	156	195	171
1923	*2,140*	1,187	953			605	528	18	13	330	256	234	156
1924	*4,040*	2,161	1,879			992	814	22	11	705	647	442	407
1925	*7,038*	3,695	3,343			1,527	1,336	47	28	1,229	1,167	892	812
1926	*17,695*	9,275	8,420	1	1	3,227	2,800	100	51	2,103	1,959	3,845	3,610
1927	*9,920*	5,194	4,726			1,957	1,757	107	71	1,455	1,403	1,675	1,495
1928	*8,764*	4,529	4,235			2,137	1,986	79	50	1,449	1,440	864	759
1929	*7,763*	4,049	3,714			1,899	1,738	48	19	1,255	1,151	847	806
1930	*5,341*	2,818	2,523			1,561	1,354	27	18	943	862	287	289
Cholera	42,651	24,111	18,540	2	1	12,972	9,502	3,802	3,448	4,168	3,145	3,169	2,445
1921	*19,215*	10,534	8,681	1	1	4,215	3,347	3,047	2,703	2,085	1,682	1,187	949
1922	*128*	85	43			26	15	3		56	28		
1923	*11*	8	3			4	1			1	2	3	
1924	*3,351*	1,924	1,427			1,163	797	21	9	383	335	357	286
1925	*3,049*	1,829	1,220			442	300			682	414	705	506
1926	*87*	52	35			26	21	2	1	23	12	1	1
1927	*11,286*	6,613	4,673	1		5,789	4,109	10	1	312	225	502	338
1928	*2,034*	1,072	962			172	101	713	734	108	62	79	65
1929	*2,309*	1 304	1,005			767	599	3		313	210	221	196
1930	*1,181*	690	491			368	212	3		205	175	114	104

SUBSIDIARY TABLE XI.

Age distribution of 100,000 of each Sex by individual year of age according to actual returns in census schedules.

Age.	Males.				Females.			
	Hindu.	Sikh.	Muslim.	Total.	Hindu.	Sikh.	Muslim.	Total.
1	2	3	4	5	6	7	8	9
TOTAL	100,000	100,000	100,000	300,000	100,000	100,000	100,000	300,000
0	3,193	1,275	2,245	6,712	2,400	2,568	2,506	7,474
1	2,998	2,428	2,007	7,433	2,718	2,906	2,839	8,464
	2,722	2,636	2,958	8,316	2,995	2,787	2,607	8,392
3	3,164	2,894	2,889	8,947	3,849	3,202	3,340	10,391
4	2,773	2,428	3,256	8,457	3,068	2,664	3,329	9,060
5	2,837	2,156	3,318	8,311	2,330	3,301	2,400	8,029
	2,813	2,490	3,133	8,436	2,834	2,884	3,202	8,920
	2,335	2,601	3,131	8,067	614	2,434	3,203	6,251
	3,169	2,096	3,063	8,328	3,128	2,817	3,310	9,255
9	2,277	2,155	2,029	6,461	2,247	2,224	2,318	6,789
10	3,024	3,646	2,944	9,614	2,965	3,046	2,948	8,959
11	1,824	1,656	1,622	5,102	1,831	1,383	1,424	4,638
12	3,600	2,837	2,740	9,456	3,211	2,695	2,977	8,883
13	1,873	2,376	1,644	5,893	1,781	2,070	1,365	5,216
14	743	2,004	2,022	4,769	2,846	1,930	1,567	6,343
15	2,836	2,054	2,390	7,280	2,203	2,482	2,192	6,877
16	2,409	1,818	2,304	6,531	2,548	1,816	2,182	6,546
17	1,261	1,155	1,295	3,711	1,199	1,160	1,107	3,466
18	2,853	2,270	2,651	7,774	2,725	2,237	2,414	7,376
19	1,058	1,034	1,077	3,169	978	829	881	2,688
20	2,844	3,401	3,091	9,336	3,399	4,104	4,976	12,479
21	696	739	891	2,326	439	532	476	1,447
22	2,113	2,080	1,864	6,057	2,172	1,903	1,912	5,987
23	891	790	638	2,319	836	844	485	2,165
24	1,136	871	1,277	3,284	1,809	826	874	3,509
25	3,655	3,837	4,465	11,957	3,942	4,029	4,677	12,648
26	1,367	1,063	1,023	3,453	1,191	987	1,036	3,214
27	909	771	829	2,509	703	763	723	2,189
28	1,641	1,124	1,258	4,023	1,763	1,654	1,262	4,679
29	390	311	631	1,332	454	417	306	1,177
30	2,603	4,437	4,306	11,346	4,211	4,470	3,641	12,322
31	567	315	804	1,686	233	183	202	618
32	1,637	1,244	1,236	4,117	1,331	1,186	1,214	3,731
33	415	387	511	1,313	549	84	161	794
34	494	357	311	1,162	777	279	320	1,376
35	2,990	3,649	3,807	10,446	3,574	3,818	4,315	11,707
36	1,941	816	737	3,494	848	263	443	1,554
37	261	165	377	803	312	127	162	601
38	639	321	570	1,530	547	548	486	1,581
39	229	233	419	881	333	162	235	730
40	4,113	4,393	3,445	11,951	4,574	5,001	4,200	13,775
41	167	152	278	597	136	76	103	315
42	677	806	632	2,115	534	426	491	1,451
43	149	223	43	415	124	117	67	308
44	177	311	549	1,037	210	118	86	414
45	3,134	3,181	2,858	9,173	2,470	3,440	2,418	8,328
46	1,017	370	284	1,671	271	154	671	1,096
47	297	178	192	667	131	107	92	330
48	440	332	338	1,110	403	490	379	1,272
49	184	178	79	441	161	189	180	530
50	3,048	4,177	2,651	9,876	3,775	4,378	2,917	11,070
51	135	113	231	479	111	138	100	349
52	372	827	252	1,451	350	443	234	1,027
53	133	154	193	480	93	128	43	264
54	230	240	208	678	219	138	110	467
55	1,396	1,776	1,256	4,428	1,355	1,818	1,149	4,322
56	341	197	241	779	281	74	111	466
57	114	130	174	418	103	67	69	239
58	264	159	191	614	274	290	134	698
59	83	149	137	369	126	89	94	309
60	3,376	3,073	1,033	7,482	2,132	3,740	1,902	7,774
61	60	139	117	316	69	80	47	196
62	176	227	229	632	165	141	112	418
63	41	132	134	307	63	35	34	132
64	[illegible]		199	250	45	37	87	169
65	396	1,319	734	2,449	629	1,062	626	2,317
66	83	77	130	290	59	29	78	166
67	47	47	21	115	23	44	26	93
68	75	69	169	313	47	127	42	216
69	29	39	39	107	47	44	39	130
70	874	1,723	784	3,381	740	1,554	739	3,033
71	26	18	20	64	21	71	28	120
72	43	114	76	233	8	99	43	150
73	35	17	24	76	24	8	21	53
74	29	1	70	100	19	12	12	43
75	197	31	271	499	135	375	254	764
76	16	12	13	41	13	7	1	21
77	12	14	1	27	6	2	3	11
78	12	25	10	47	14	4	19	37
79	8	18	21	47	8	6	6	20

SUBSIDIARY TABLE XI —*concluded*

Age distribution of 100,000 of each Sex by individual year of age according to actual returns in census schedules

Age.	Males				Females			
	Hindu	Sikh	Muslim	Total	Hindu	Sikh.	Muslim.	Total
1	2	3	4	5	6	7	8	9
80	176	633	313	*1,122*	221	805	241	*1,267*
81	5	17	14	*36*	5	6	6	*17*
82	9	28	14	*51*	7	16	8	*31*
83	8	4	5	*17*	1	2	10	*15*
84	2	11	3	*16*	5	2	12	*19*
85	29	107	65	*201*	34	87	59	*180*
86	5	7	4	*16*	2	5	5	*12*
87	4	11	3	*18*	1	2	3	*6*
88	4	11	2	*17*	4	6	7	*17*
89		3		*3*	1		3	*4*
90	23	127	76	*226*	59	140	82	*281*
91		2	3	*5*	1		4	*5*
92	1	3	5	*9*	1	1	13	*15*
93			1	*1*			1	*1*
94	1	2	1	*4*	2	2	17	*21*
95	5	22	18	*45*	7	22	35	*64*
96		3	1	*4*	2	2	4	*8*
97	2	2	1	*5*				
98	2	4	3	*9*		2	2	*4*
99		4		*4*		1	7	*8*
100	3	38	18	*59*	6	36	15	*57*
Total 101 and over	4	13	8	*25*	3	12	14	*29*

NOTE.—This table is prepared by sorting actual samples the numbers actually sorted are :—
Males.—Hindu 54,200 from the Western and 74,015 from the Eastern Punjab
Sikh 113,976 from the Central Punjab
Muslim 67,229 from the Western and 50,064 from the Eastern Punjab
Females.—Hindu 49,771 from the Western and 63,245 from the Eastern Punjab
Sikh 95,312 from the Central Punjab
Muslim 56,745 from the Western and 15,100 from the Eastern Punjab

SUBSIDIARY TABLE XII

The ratio of the number of males, females and persons per 100,000 at the census of 1921 to those of the census of 1931, for each year of age, as recorded in the census schedules

Age.	Males	Females	Persons.	Age.	Males	Females	Persons
1	2	3	4	1	2	3	4
Under 1	1·60	1·66	*1·63*				
1	67	63	*65*	51	70	77	*73*
2	80	83	*81*	52	92	91	*92*
3	84	82	*83*	53	61	60	*61*
4	97	98	*98*	54	79	1·01	*88*
5	1·03	1·11	*1·07*	55	1·14	1·01	*1·07*
6	1·04	1·13	*1·09*	56	55	61	*57*
7	1·05	1·07	*1·06*	57	72	79	*74*
8	1·08	1·06	*1·07*	58	77	72	*75*
9	1·07	1·02	*1·05*	59	2·47	87	*1·78*
10	1·03	1·08	*1·05*	60	1·21	1·16	*1·19*
11	1·10	1·06	*1·08*	61	81	1·12	*92*
12	1·16	·98	*1·07*	62	95	1·06	*1·00*
13	86	87	*86*	63	74	80	*78*
14	91	87	*89*	64	1·40	1·91	*1·58*
15	87	87	*87*	65	1·04	1·21	*1·12*
16	92	88	*90*	66	66	65	*66*
17	90	76	*83*	67	97	72	*86*
18	94	95	*95*	68	·67	74	*70*
19	84	80	*82*	69	3·04	1·00	*1·87*
20	1·03	91	*96*	70	1·01	1·21	*1·11*
21	87	94	*90*	71	1·02	38	*60*
22	1·29	97	*1·00*	72	1·02	1·04	*1·03*
23	96	67	*82*	73	1·04	39	*72*
24	99	80	*89*	74	86	1·28	*97*
25	1·01	97	*99*	75	1·12	1·06	*1·09*
26	80	1·00	*89*	76	1·51	95	*1·23*
27	96	86	*92*	77	2·00	1·36	*1·79*
28	95	1·08	*1·02*	78	2·28	1·04	*1·60*
29	1·02	85	*94*	79	70	3·50	*1·32*
30	90	1·01	*96*	80	1·35	1·17	*1·26*
31	·66	80	*73*	81	1·08	1·65	*1·26*
32	1·24	1·21	*1·23*	82	1·12	1·39	*1·22*
33	88	1·03	*93*	83	1·18	27	*75*
34	1·08	1·16	*1·12*	84	1·63	84	*1·20*
35	1·09	1·02	*1·05*	85	1·16	1·19	*1·17*
36	59	1·26	*79*	86	88	3·83	*2·14*
37	85	1·16	*97*	87	72	67	*71*
38	91	94	*93*	88	59	1·35	*97*
39	1·08	79	*95*	89	1·67	6·00	*4·14*
40	1·12	1·12	*1·12*	90	1·47	1·29	*1·37*
41	60	1·12	*84*	91	3·60	2·00	*2·80*
42	90	94	*92*	92	1·22	1·47	*1·38*
43	65	95	*76*	93	10·00	5·00	*10·50*
44	71	1·06	*81*	94	2·50	43	*76*
45	1·06	1·08	*1·07*	95	1·93	1·13	*1·46*
46	37	47	*41*	96	1·75	1·75	*3·08*
47	86	72	*80*	97	1·60	7	*3·40*
48	94	1·01	*98*	98	50	4·25	*1·69*
49	1·48	82	*1·16*	99	2·75	1·00	*1·68*

SUBSIDIARY TABLE XIII.

Statement showing the recorded births and deaths since 1881 (for British Territory only).

Year.	Males. Births.	Males. Deaths.	Males. Excess of births over deaths in the year.	Females. Births.	Females. Deaths.	Females. Excess of births over deaths in the year.	Ratio births Females / Males	Ratio of deaths Females / Males
1	2	3	4	5	6	7	8	9
Punjab including Delhi—(1881—1890).	3,930,253	3,111,155	+819,098	3,407,650	2,746,360	+661,290	·87	·88
1881	371,589	279,271	+92,3[illegible]	[illegible]1,187	240,003	+80,[illegible]	·86	·86
1882	371,176	271,078	+100,118	310,388	222,781	+83,607	·84	·86
1883	393,321	[illegible]	+136,973	341,891	218,293	+122,198	·87	·86
1884	432,806	344,347	+88,239	377,106	315,731	+61,333	·87	·92
1885	391,799	269,901	+121,893	341,131	237,[illegible]	+103,8[illegible]	·87	·88
1886	394,179	262,879	+131,300	343,350	231,267	+111,173	·87	·88
1887	38[illegible],409	343,879	+48,900	310,179	282,903	+27,274	·8	·83
1888	378,874	297,415	+77,250	326,433	293,614	+62,621	·87	·88
1889	404,834	313,148	+91,6[illegible]	33[illegible],391	274,610	+71,777	·87	·88
1890	391,796	4[illegible]3,133	−71,447	31[illegible],[illegible]	417,894	−73,[illegible]	·87	·91
Punjab including Delhi—(1891—1900).	4,048,998	3,342,579	+706,419	3,668,783	3,067,387	+601,396	·91	·93
1891	341,138	289,770	+51,368	301,011	231,416	+80,49[illegible]	·88	·87
1892	390,67[illegible]	473,422	−94,736	339,248	432,814	−81,674	·89	·91
1893	330,213	290,423	+48,782	314,089	247,093	+66,973	·89	·88
1894	433,731	383,891	+69,836	391,339	332,643	+58,814	·89	·91
1895	4[illegible]8,727	[illegible]	+129,[illegible]	391,148	[illegible]	+132,250	·91	·89
1896	430,730	313,684	+115,061	343,238	276,801	+100,667	·92	·91
1897	413,410	289,347	+124,067	379,839	273,733	+103,826	·91	·93
1898	403,231	296,188	+107,043	387,4[illegible]	273,8[illegible]	+88,966	·91	·94
1899	474,077	281,393	+190,832	4[illegible]3,67[illegible]	268,605	+160,070	·92	·94
1900	400,134	467,825	−67,648	384,006	442,115	−83,606	·91	·94
Punjab including Delhi—(1901—1910).	4,340,333	4,480,000	−119,667	3,848,923	4,283,718	−437,796	·91	·96
1901	373,405	372,2[illegible]	+1,118	339,[illegible]67	334,[illegible]61	−15,101	·91	·95
1902	461,9[illegible]	443,473	+19,479	410,825	442,8[illegible]	−1,973	·91	1·00
1903	432,[illegible]	496,912	−34,180	410,[illegible]	494,674	−88,434	·91	1·02
1904	436,636	480,270	−43,672	397,371	506,[illegible]	−108,837	·91	1·05
1905	467,836	473,973	−437	4[illegible]3,824	494,[illegible]	−84,311	·91	1·01
1906	455,359	371,940	+84,419	415,077	369,026	+50,451	·91	·98
1907	430,233	637,337	−207,104	390,[illegible]11	611,372	−222,054	·90	·93
1908	435,535	512,319	−77,[illegible]	400,[illegible]	502,[illegible]	−102,394	·91	·97
1909	369,404	326,[illegible]13	+43,091	336,216	294,470	+41,746	·91	·90
1910	415,269	313,073	+104,196	410,163	321,[illegible]	+88,997	·91	·94
Punjab 1911—1920	4,443,642	3,682,207	+783,435	4,027,464	3,398,978	+628,486	·91	·93
1911	462,32[illegible]	334,[illegible]	+160,078	483,064	315,014	+89,99[illegible]	·91	·94
1912	434,832	289,67[illegible]	+169,374	419,073	43,239	+177,715	·91	·91
1913	456,417	301,326	+155,091	419,824	279,434	+130,366	·91	·9[illegible]
1914	489,217	319,323	+1[illegible]0,910	4[illegible]6,763	299,71[illegible]	+127,[illegible]16	·91	·94
1915	440,955	339,971	+ [illegible]1,131	402,857	34[illegible],7[illegible]	+59,226	·91	·95
1916	441,549	309,873	+131,367	420,[illegible]	293,697	+126,209	·91	·9[illegible]
1917	459,379	379,783	+[illegible]	417,409	334,2[illegible]	+82,136	·91	·94
1918	406,363	797,343	−392,776	360,903	749,217	−387,314	·89	·96
1919	413,[illegible]1	291,264	+121,733	364,678	256,604	+108,[illegible]	·89	·88
1920	437,237	298,114	+139,423	392,444	233,429	+[illegible] 917	·90	·85
Punjab 1921—1930	4,573,820	3,308,385	+1,265,435	4,084,906	2,944,919	+1,139,947	·89	·89
1921	410,494	33[illegible],831	+115,763	402,904	285,296	+117,6[illegible]	·90	·96
1922	423,944	[illegible]1,336	+194,7[illegible]	390,477	211,371	+168,9[illegible]	·89	·96
1923	449,186	326,845	+122,341	417,401	306,817	+111,394	·89	·93
1924	433,363	437,3[illegible]	−3,[illegible]	385,929	433,[illegible]	−47,3[illegible]	·89	·99
1925	434,943	321,123	+109,919	395,801	29[illegible],729	+97,308	·89	·90
1926	431,474	392,39[illegible]	+39,044	403,122	337,[illegible]	+66,11[illegible]	·89	·91
1927	437,[illegible]	303,[illegible]	+134,[illegible]	4[illegible]	239,443	+[illegible]	·90	·86
1928	503,397	273,253	+230,117	448,533	236,949	+212,[illegible]	·89	·85
1929	[illegible]	310,943	+171,3[illegible]	430,[illegible]	279,3[illegible]	+151,633	·89	·9[illegible]
1930	443,77[illegible]	323,734	+119,[illegible]17	417,739	294,[illegible]	+122,922	·9[illegible]	·9[illegible]

CHAPTER V.

SEX

92 Proportion of the sexes 93 Sex at birth 94 Masculinity at birth 95 Female infanticide 96 Neglect of females 97 Recorded male and female death rates 98 Sex proportion in Natural Population 99 Comparison with other provinces and countries 100 Sex proportion in different localities 101 Sex proportion in smaller units 102 Sex proportion by religion and localities 103 Sex proportion by caste

Reference to Statistics.

All the Imperial Tables give the detail of absolute figures for each sex separately

Subsidiary Table I gives the general proportion of the sexes by Natural Divisions, districts and states, both for the actual and Natural Population for the previous five censuses and proportional figures for actual population for the present census The sex proportion for Natural Population in 1931 by Natural Divisions and other smaller units is not available, and only the proportion for the whole Province has been given

Subsidiary Table II gives the number of females per 1,000 males for different age periods by religion at each of the last three censuses for the whole Province

Subsidiary Table III gives the same information as Table II for each Natural Division

Subsidiary Table IV gives the number of females per 1,000 males in certain selected castes at different age-periods, the names of the castes under each main religion being entered in alphabetical order

Subsidiary Table V gives the number of births and deaths reported for each sex during each year since 1901 for British Territory only and also contains the ratio of female to male births as well as the proportion of female to male deaths for the same period

Subsidiary Table VI gives the number of deaths for each sex at different ages, for each year of the decade, 1921—30 together with the average number of female deaths per 1,000 male deaths

Subsidiary Table VII* gives the yearly number of births and deaths in the British Territory by sex for Hindus, Muslims and Indian Christians separately, the term Hindu including Sikhs Jains, Ad Dharmis and Buddhists

Subsidiary Table VIII gives the proportion of females per 1,000 males for each tahsil and state for the census of 1931

Proportion of the Sexes

92 In its total population the Punjab has a particularly small proportion of women, there being 2,631,531 more males than females This peculiar characteristic has given rise to a variety of opinions and some foreign critics of the Indian census have ascribed it to the incompleteness of returns This charge has been refuted on several occasions, but if any fresh proof was needed it is furnished by the 1931 census of this Province which discloses no marked variation in the sex proportion in spite of a record intercensal increase in the population of both sexes

In the margin is given the sex proportion, or the number of females per 1,000 males, enumerated at each census since 1881 for the whole Province and its two main political divisions The sex proportion at a still earlier census, namely that of 1868, was 835 females per 1,000 males or a little higher than it is at present The proportion of females rose steadily between 1881 and 1901, but fell considerably in 1911 due to the ravages of plague, which were particularly fatal to persons leading an in-door life The proportion improved slightly in 1921 in spite of the influenza epidemic, which also took a heavier toll of female lives The proportion at the present census shows a slight increase, more marked in Punjab States than in British Territory

Locality 1	1881 2	1891 3	1901 4	1911 5	1921 6	1931 7
Punjab	844	851	854	817	828	831
British Territory	848	855	858	818	830	831
Punjab States	828	834	836	814	820	832

In the census reports of the past the disparity of the sexes has been ascribed to female infanticide, the neglect of female children in earlier ages, the high rate of mortality due to child bearing, and the neglect of females of advanced

---

*New table added

The number of females per 1,000 males in these villages is compared in the marginal table with the corresponding figures for 1911, and an all-round improvement is noticeable, the existing larger number of women being partly due to casual migration of women from other places most of whom have been taken in marriage by the male residents of those villages

Village 1	Number of Sikh Jat Females per 1,000 Males 1911 2	 1931 3
(Ludhiana District)		
1 Gil	571	799
2 Gujjarwal	770	908
3 Lalton	653	884
4 Narangwal	650	885
5 Raipur	740	903
6 Ballowal	748	932
(Ferozepore District)		
1 Ratta Khera	651	812
2 Jang	687	882
3 Fatehgarh Pantur	651	824
4 Chak Mehrana	520	716
5 Karhewala	773	742
6 Ferozewal Mangal Singh	628	889
7 Chuga Kalan	593	793
8 Bharana	589	737

The sex proportion for Sikh-Jats according to this census and that of 1921 worked out from the figures in compilation registers, is reproduced in the margin by tahsils for the four districts mentioned above It is not possible to give the figures for earlier censuses The figures quoted show an improvement almost everywhere, though the proportion of female children to boys in these districts is even now smaller among Sikhs than among other religions as indicated by the table lower in the margin

District and Tahsil 1	1931 2	1921 3	District and Tahsil 1	1931 2	1921 3
Ludhiana	747	734	*Ferozepore*	794	757
Ludhiana	776	732	Ferozepore	750	743
Jagraon	743	790	Zira	785	755
Samrala	679	643	Moga	833	767
			Muktsar	787	751
			Fazilka	741	745
Jullundur	749	685			
Jullundur	821	709	*Lahore*	780	714
Nakodar	725	669	Lahore	726	668
Phillaur	710	671	Chunian	798	721
Nawanshahr	739	687	Kasur	806	739

Proportion of females aged 0—10 to 1,000 males aged 0—10

District 1	Hindu 2	Sikh 3	Jain 4	Muslim 5	Christian 6
Ludhiana	900	832	1,016	931	948
Jullundur	801	831	785	938	881
Ferozepore	908	881	952	956	836
Lahore	863	882	1,021	909	854

Neglect of Females.

96. The question of neglect of females would be best studied by a comparison of the number of females with the number of males at given ages. The figures of age as was pointed out in the last Chapter are, however full of serious errors due to mis-statement. In the same Chapter was also explained the attempt made as well as the measure of success attained at this census to free the figures as far as possible from those errors. The errors still existing is probably in ages 15—20 or thereabouts, which generally contain the greatest amount of mis-statement. The proportion of females per 1 000 males at different ages is given in the table in the margin and the graph below it illustrates the same a curve therein showing the proportion in accordance with the recorded statistics of birth. By a glance at these proportions we find that the females aged 0—5 compared to males of the same age are as 950 1,000 Thus the proportion is higher than the proportion at birth, which as we noticed was 894 per thousand This variation in the proportion signifies one of the two things, viz., either the record of female births is more defective than that of males or that males die at a greater rate than females up to the age of 5 Though there would seem to be some defect in the recording of female birth the high death-rate among males below 5 is borne out by the death-rates, published by the Public Health Department and reproduced in Subsidiary Table IX to Chapter IV

Age-period. 1	Proportion of females per 1,000 males. 2	Age-period. 1	Proportion of females per 1,000 males. 2
0—1	976	25—30	817
1—2	941	30—35	773
2—3	971	35—40	784
3—4	949	40—45	809
4—5	916	45—50	709
0—5	950	50—55	764
5—10	839	55—60	744
10—15	814	60—65	727
15—20	820	65—70	693
20—25	848	70 and over	771

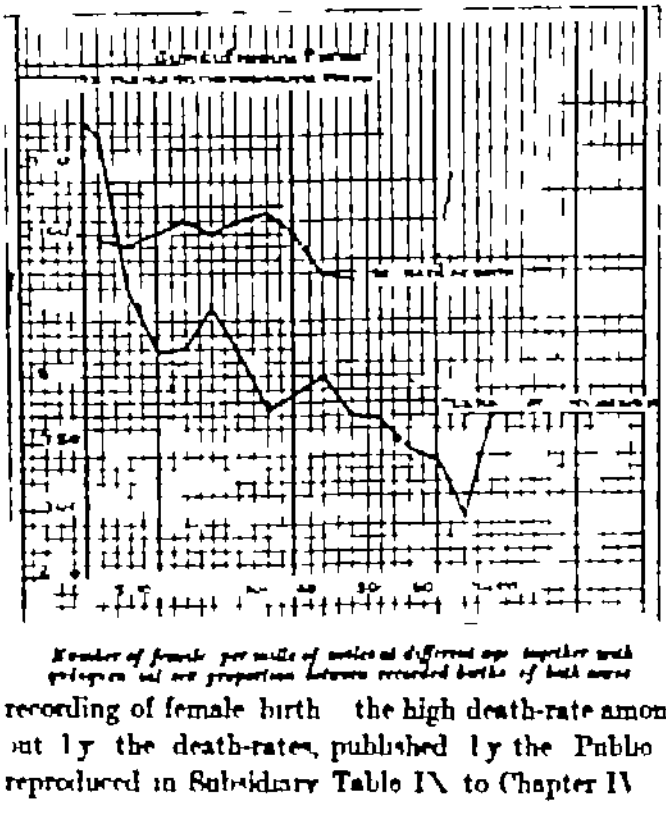

Number of females per mille of males at different ages together with [illegible] proportion between recorded births of both sexes

The proportion in the next quinquennial age-period drops to 839 per 1 000 males as against 89 per 1,000 the ratio at the time of the birth of these girls. It would thus appear that in ages 5—10 girls die at a greater rate than boys. This fact is also borne out by the public health death rates. Female children suffered particularly more than male children during the plague epidemic of 19 4 and the general death rate is also higher among girls mainly because they stay at home while their brothers spend much time out-doors.

The proportion of females at ages 10—15 is 814 per 1,000 males as opposed to [illegible] for these girls at the time of birth. The proportion at this quinquennium is even lower than that for the last quinquennium, being partly due to the return of age as 10 or 12 in cases where the girl is unmarried and its jumping to 20 or so if she is married and especially if she has got a baby or two Small as the proportion in this age-group is it is higher than the proportion for the corresponding age-period at last census, which was only 750 The age figures then were unsmoothed and the plumping at 15 went into the next higher age-group

The next age-group of 15—20 is the one in which the great majority of girls get married (as we shall see in the next Chapter), and during which the mortality due to early child-bearing is considerable The proportion of females to 1,000 males in this age-period is no more than 820 as against 913 at birth This, however, is a little higher than the proportion at ages 10—15, and as already explained is mainly due to the return of ages as 20 or so on the part of young mothers, some of whom as a matter of fact belong to the earlier age-period This plumping is so much in evidence that it seems even to wipe out the effect of higher death-rate due to child-birth The female death-rate for this age-period is about 4 *per mille* higher than that of males as shown in the Subsidiary Table referred to above

The proportion in ages 20—25 is greater than for ages 15—20, being 848, and seems in this as well as all the succeeding age-periods to be affected by migration There is an excess of female immigration over emigration, though for both the sexes taken together the result is quite the other way (as noticed in Chapter III) To take the actual figures there were 273,982 Punjab-born women, enumerated in the other provinces or states of India, while 319,544 born in other provinces or states were enumerated in this Province The bulk of this migration is, as observed in Chapter III, of the casual type, and the majority of the women concerned would naturally be 20 or above This leads us to the question of the proportion of the sexes in the purely province-born, or in other words the " Natural Population " of the Province We shall deal with this subject in a subsequent paragraph, confining our attention for the present to the study of the sex proportion in higher ages

In the remaining age-periods the proportion of females to 1,000 males goes on decreasing with the exception of the periods, 40—45 and 70 and over, though even in these it does not approach anything like the figures of the proportion at birth or during youth The reason for this variation seems to be the comparatively large number of women returning ages 40—45 as a final effort to appear young The reason for the large number returned at older ages (70 and over) is the over statement of age to hide premature senility or to claim the respect due to old age This latter tendency would automatically operate to reduce the number and consequently the proportion in ages immediately preceding the age-group 70 and over The sudden drop in the proportion at ages 30—35 is due to the popularity of these ages among males and not particularly to any increase in female mortality

Thus we find that with the exception of certain age-groups, pointed out above, the proportion of females goes on decreasing till it becomes markedly lower than the proportion at birth The deaths among males continue at different ages and at different rates, and the reduction in the proportion noticeable among females is attributable to varying rates of mortality among them at different periods of life due more or less to causes peculiar to their sex help the reader to form his own opinion as to the causes of the disparity The table in the margin compares the number of females per 1,000 males in this Province with the corresponding figures of certain other Indian provinces and some foreign countries It will be seen that of the major Indian provinces the Punjab has the smallest proportion of females The sex proportion in India seems to increase as we move to the east or to the south Perhaps the preponderance of males in the Punjab is due to its peculiar requirements, the land of five rivers not far removed from the Passes in the North-West being admittedly the gateway and sword-hand of India

Females per 1,000 Males

Province 1	1931 2	Foreign Countries (year of last census) 3	
Punjab	831	England and Wales (1931)	1,087
N W F Province	843	France (1921)	1,083
United Provinces	906	Holland (1930)	1,012
Bihar and Orissa	1,008	Germany (1925)	1,067
Bengal	924	Japan (1930)	990
Burma	958	Turkey (1927)	1,079
Madras	1,025	United States of America (1930)	976
Bombay	909	Australia (1921)	967
Central Provinces	1,000		
Central India Agency	948		
Rajputana	908		

Turning to the figures of foreign countries we find a large excess of females over males in European countries We know that in these very countries the birth-rate has been declining of late There is also present a contributory cause in the form of male emigration

The number of females in Japan is fairly equal to males and the proportion would be lower and something akin to that obtaining in India, if all the Japanese males were to stay at home Japan has had a phenomenal rise in population in the last fifty years, and there is a great pressure of the population on its resources, resulting in the well-known efforts of the Japanese to found colonies in Manchuria The poorer countries with a large natural increase would thus appear to have a fewer number of females The sex proportion in countries such as the United States of America and Australia is, of course, greatly affected by the large amount of male immigration

Sex Proportion in Different Localities.

100 The proportion of the sexes is not uniform in the various parts of this Province, as is evidenced by the figures in the margin The proportion of women is highest in the cooler Himalayan Natural Division, where there is always the smallest natural increase It is smallest in the Indo-Gangetic Plain West, which has large urban areas, and if the population of the cities of Lahore and Amritsar and the towns of Jullundur, Ferozepore, Ludhiana and Gujranwala, all situated in this division, is excluded, the proportion in the remaining area will rise from 813 to 830 The proportion in the North-West Dry Area is surprisingly high for a tract, which has a great amount of immigration, indicating that the immigrants consist of fairly equal numbers of both sexes The fact that the female proportion in this tract has an upward tendency points to the permanent nature of the immigration This of course is natural as immigrants are for the most part agriculturists, who from the very nature of the industry must remain on the land, which they cultivate The proportion in the Sub-Himalayan Division is lower only than that in the Himalayan, but is no doubt affected to a certain extent by emigration which reduces the number of males

Females per 1,000 Males

Natural Division 1	1931 2	1921 3	1911 4
Punjab	*831*	*828*	*817*
Himalayan	906	907	901
Sub Himalayan	847	852	827
North West Dry Area	831	827	825
Indo Gangetic Plain West	813	805	795

Sex Proportion in Smaller Units.

101. The sex proportion for the districts and states is in keeping with the proportion obtaining in the Natural Divisions in which they are situated though large urban areas irrespective of locality have the effect of reducing the proportion of females. The figures for each district and state are given in Subsidiary Table I at the end of this Chapter but a clear idea of the proportion of females may be obtained from the map below which shows the sex proportion by isopleths. The figures of tahsils have been used in order better to co-ordinate the results as district averages are sometimes not a true index of the conditions prevalent in the different parts. The population of the three cities, Lahore, Amritsar and Multan and the towns of Rawalpindi and Sialkot (including cantonments) has been excluded to remove the extreme effect of urbanization.

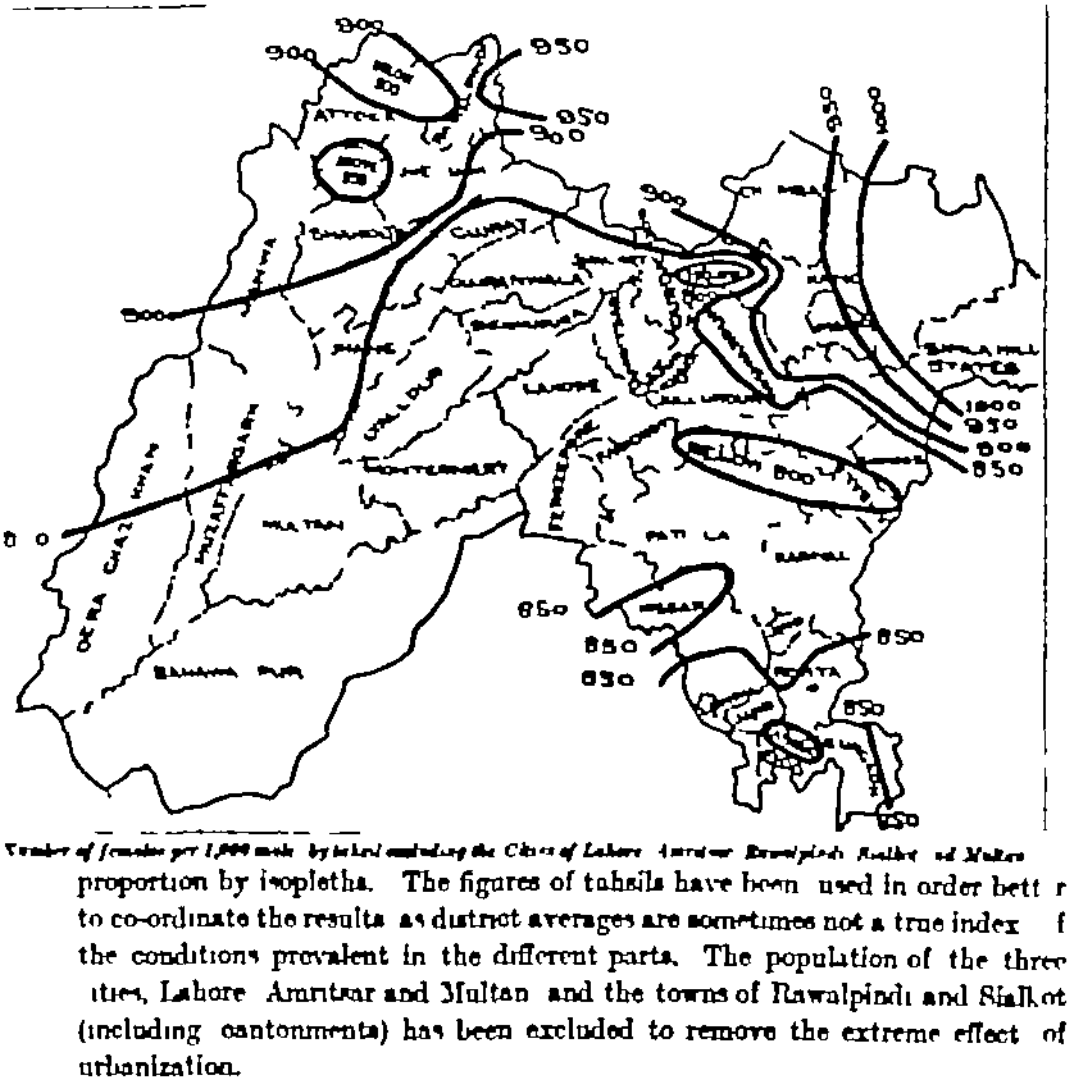
900
900
850
850
900
800
1000
950
900
850
950
800
850
850
850
850
850
850
ATTOCK
LAHORE
MULTAN
MONTGOMERY
LYALLPUR
JHANG
MUZAFFARGARH
DERA GHAZI KHAN
BAHAWALPUR
FEROZEPUR
PATIALA
KARNAL
HISSAR
ROHTAK
SIMLA HILL STATES
GUJRANWALA
SHEIKHUPURA
JULLUNDUR
KANGRA

Number of females per 1,000 males by tahsil excluding the Cities of Lahore Amritsar Rawalpindi Sialkot and Multan

Sex Proportion by Religion and Localities.

102. The only matter now remaining for consideration is the proportion of sexes among different religions and castes or tribes. In the margin I reproduced the number of females per 1,000 males for main religions and Natural Divisions as well as British Territory and Punjab States for the censuses of 1931 and 1921. The proportion of women among Muslims is the highest as it was in 1921 though it has decreased in all Natural Divisions except the North West Dry Area. Hindus follow next and their proportion has risen in all Natural Divisions while Christians in spite of the comparatively larger number of European males come third. The Sikhs have the smallest number of females but their proportion is greater than in 1921 in all Divisions. The proportion of Hindus

Natural Division.	Hindu 1931	Hindu 1921	Muslim 1931	Muslim 1921	Sikh 1931	Sikh 1921	Christian 1931	Christian 1921
Punjab	835	829	[illegible]	[illegible]	793	723	881	756
Indo-Gangetic Plain	812	804	855	857	780	755	[illegible]	798
Himalayan	917	912	923	927	717	661	949	1,111
Sub-Himalayan	832	821	863	866	804	701	785	[illegible]
North West Dry Area	813	801	839	835	792	734	804	766
British Territory	826	823	841	847	789	720	863	786
Punjab States	841	847	878	871	776	719	799	837

is highest in the Himalayan Division, which is almost exclusively a Hindu tract The number of Sikh and Muslim females in this Division is particularly low, indicating that the followers of these religions are for the greater part immigrants, who have left their womenfolk behind On the other hand the presence of a large proportion of Christian females is mainly due to permanent Indian Christian population of hill resorts and also to the fact that the families of British soldiers serving in outlying and exposed places on the North-Western frontier remain at some hill-stations in the Punjab during the winter

In the Sub-Himalayan Division the proportion of females is comparatively higher among the prevailing religions, namely, Hindu, Muslim and Sikh Here the proportion of the Christians is considerably affected by the large excess in the number of European males over females The proportion among Europeans is 354 females to 1,000 males in the Province and 315 in the Sub-Himalayan Division

In the Indo-Gangetic Plain and the North-West Dry Area, the proportion has risen in all religions except in the former Division among Muslims For the proportion of sexes among these religions by age-periods for the whole Province and each Natural Division reference may be made to Subsidiary Tables II and III at the end of this Chapter

Sex Proportion by Caste

103 Just as the sex proportion varies in various localities and religions, so it does in the case of different castes or tribes Subsidiary Table IV at the end of this Chapter shows the proportion of females per 1,000 males for the main castes and for each religion, to which they belong and at different age-periods For facility of reference the proportion for the population of all ages for the most numerous castes as well as the four main criminal tribes are given in the margin The Kanets, who are found chiefly in the Kangra District of the Himalayan Division, have the highest proportion, *i e*, 941 females per 1,000 males The Dagi and Koli, another Himalayan tribe, shows the next highest proportion of 929 Bawarias, who are a criminal tribe, show the high proportion of 920 females to 1,000 males, but this figure is to some extent unreal as many of the adult males of this caste abscond from their homes in order to escape the provisions of the Criminal Tribes Act and when enumerated would be careful not to return their real caste Awans with a large number of males serving away from home, in the Army or the Police, and the itinerant Mirasi, many of whose males are often absent from their homes for considerable periods on professional trips and if questioned in remote places by a census enumerator would more often than not return their caste as Quraishi, show the next highest proportion of 871 The Aroras, a trading and commercial class, have a comparatively high proportion of females, *i e*, 865

Caste 1	Number of females per 1,000 males 2	Caste 1	Number of females per 1,000 males 2
1 Kanet	941	21 Nai	839
2 Dagi and Koli	929	22 Chuhra	838
3 Bawaria	920	23 Machhi	836
4 Awan	871	24 Tarkhan	836
5 Mirasi	871	25 Teli	833
6 Arora	865	26 Mochi	832
7 Mussalli	863	27 Arain	830
8 Meo	859	28 Biloch	829
9 Sayad	858	29 Sansi	823
10 Lohar	857	30 Brahman	822
11 Chamar	854	31 Gujjar	822
12 Aggarwal	853	32 Khatri	819
13 Chhimba	851	33 Ahir	811
14 Kamboh	851	34 Pathan	809
15 Rajput	850	35 Jat	803
16 Kumhar	850	36 Faqir	794
17 Sunar	847	37 Sheikh	794
18 Julaha	847	38 Kashmiri	778
19 Saini	839	39 Harni	690
20 Dhobi	830		

Of all the plain-dwellers, the Jain Aggarwals have the highest proportion of females, *i e*, 910 For the caste Aggarwal as a whole the proportion drops to

853 which is nearly equal to that of Aroras. Of all the castes the Aggarwal has the largest proportionate number of widows as will be noticed in the next Chapter and the smallest proportion of children under 10 and the same is the case with the entire Jáin community This points to the conclusion that the comparatively lesser fertility of women gives them a greater chance of surviving Another caste with a fairly high proportion of females is the prolific Kamboh which has increased during the last decade by 20·60 per cent A Kamboh is a hardworking and prosperous agriculturist and as the doctrine of the survival of the fittest holds good he will have enough room to expand.

Among the other castes the case of Kumhar with 830 females per 1 000 males is of some interest. The male Kumhar is often absent from his home plying mules and donkeys on hire in distant places. Numerous Kumhars of sub-montane and neighbouring districts are found in the hill-tracts carrying on their animals, food stuffs and other commodities such as salt, tobacco *gur* and molasses for sale to hillmen. Returning home they bring, for selling in their own locality or making presents to their relatives, walnuts, soap-nuts, medicinal herbs, etc In the villages situated in the lower ranges of the Himalayas they barter common salt from the plains for *bers* (a kind of wild berry)

Turning now to the castes, which have a very small proportion of females, we find that the criminal tribe of Harnis has the lowest proportion of 690 females per 1 000 males. Unlike Bawarias the members of this tribe seem mostly to have taken to agriculture and are living in certain colony estates on the Lower Bari Doab where they are under the supervision of the Criminal Tribes Department. The males cannot absent themselves from their homes even for short periods. That the proportion of children among Harnis is the biggest among all tribes will be seen from Subsidiary Table IV to Chapter IV The excessive number of births by itself would cause comparatively greater mortality among women, a fact which partly accounts for their small proportion. The Harnis are at the same time among the poorest people of the Province and this would show that there is some connection between poverty and prolificness.

Hindu Faqirs also show a dearth of females. They are not really a caste but usually members of certain orders who often take a vow of celibacy Among Muslims, however Faqir is an agricultural and professional caste in the Eastern Punjab and the proportion of 794 is fairly high considering that some male Muslim beggars would naturally be included in the figures.

The low proportion of females among Kashmiris is due to the influx of male labourers who visit the plains in winter

The proportion of females among Sheikhs is small because of the medley of tribes and races included in the term Sheikh." Every Muslim, who is not sure of his caste or origin, or is anxious to hide it because of its inferiority would return himself as Sheikh.

The proportion of females among Jats has always been low The figures for the past three censuses are given in the margin, and indicate a steadily increase In th days gone by th paucity of females was attributable partly to female infanticide which appears to be a thing of the past and the figures may be taken as representing normal condition

Caste	1921	1911	1901
J	[illegible]	[illegible]	[illegible]

Among the Pathan there are 809 females per 1 000 males. This proportion would certainly be higher if Afghan labourers and traders who visit the Province in winter could be excluded.

SUBSIDIARY TABLE I

General proportion of the Sexes by Natural Divisions, Districts and States for six censuses

District or State and Natural Division	Number of Females to 1,000 Males										
	1931	1921		1911		1901		1891		1881	
	Actual Population	Actual Population	Natural Population	Actual Population	Natural Population	Actual Population	Natural Population	Actual Population	Natural Population	Actual Population.	Natural Population
1	2	3	4	5	6	7	8	9	10	11	12
PUNJAB { Actual Population	831	828	819	817	811	854	846	851	844	844	844
PUNJAB { Natural Population	823										
I.—Indo-Gangetic Plain West	818	805	795	795	787	842	829	839	825	833	828
1 Hissar	852	875	855	836	840	809	860	870	860	847	935
2 *Loharu State*	807	892	1,154	863	909	806	925	829	852	824	838
3 Rohtak	861	850	811	855	816	880	858	873	844	802	832
4 *Dujana State*	941	908	810	901	787	937	807	921	863	870	773
5 Gurgaon	857	854	806	874	840	903	868	901	810	885	875
6 *Pataudi State*	902	893	712	925	722	905	750	909	761	877	690
7 Karnal	815	827	814	827	814	844	814	841	825	849	826
8 Jullundur	841	807	767	783	743	847	802	841	810	830	819
9 *Kapurthala State*	847	816	768	785	746	851	860	834	823	822	767
10 Ludhiana	791	780	748	762	724	823	786	830	805	822	815
11 *Maler Kotla State*	811	711	752	752	767	840	836	850	807	843	845
12 Ferozepore	818	801	820	782	791	827	815	826	833	820	829
13 *Faridkot State*	803	789	756	765	772	802	785	800	796	802	763
14 *Patiala State*	805	791	787	776	780	820	846	817	826	818	810
15 *Jind State*	841	816	819	812	825	839	838	825	862	825	865
16 *Nabha State*	819	792	789	786	786	802	818	815	809	804	791
17 Lahore	735	751	791	738	775	811	823	811	821	807	796
18 Amritsar	799	790	765	774	759	829	799	828	803	820	803
19 Gujranwala	802	788	794	791	781	858	834	829	842	854	834
20 Sheikhupura	813	786	793	779		797		811		812	
II.—Himalayan	906	907	912	901	906	892	918	890	909	880	900
21 *Sirmoor State*	803	824	840	822	840	798	845	792	836	775	800
22 Simla	564	488	608	580	923	539	1,025	617	883	564	1,000
23 *Simla Hill States*	929	917	960	921	917	903	911	884	900	853	867
24 *Bilaspur State*	900	874	877	862		840		850		836	
25 Kangra	930	946	919	921	897	925	915	922	913	919	921
26 *Mandi State*	923	944	958	933	942	915	936	933	950	945	920
27 *Suket State*	893	897	923	893	901	888	889	887	920	792	881
28 *Chamba State*	931	911	916	924	927	923	924	921	927	917	930
III.—Sub Himalayan	847	852	834	827	810	880	862	863	855	857	863
29 Ambala	784	776	773	750	755	807	814	815	826	803	853
30 *Kalsia State*	797	761	695	786	704	817	738	824	748	835	630
31 Hoshiarpur	870	860	822	832	806	882	850	873	864	872	864
32 Gurdaspur	825	811	802	783	776	844	843	838	830	848	845
33 Sialkot	823	839	814	807	782	906	854	884	852	887	853
34 Gujrat	851	879	858	854	843	916	897	890	846	893	876
35 Jhelum	914	976	895	904	855	981	911	912	888	875	897
36 Rawalpindi	851	827	873	848	866	863	900	824	894	819	892
37 Attock	902	933	920	902	870	916	Not available	912	Not available	851	Not available
IV.—North-West Dry Area	831	827	841	825	847	838	859	847	855	841	843
38 Montgomery	810	811	849	824	848	849	856	850	851	825	832
39 Shahpur	843	836	826	830	869	934	890	925	903	920	892
40 Mianwali	905	885	890	898	877	912	Not available	897	Not available	880	Not available
41 Lyallpur	825	795	850	793	860	735	506	871	Not available	861	Not available
42 Jhang	869	868	862	858	846	884	852	874	849	844	826
43 Multan	819	824	840	832	846	829	854	819	850	813	846
44 *Bahawalpur State*	806	816	827	814	829	822	833	830	845	824	834
45 Muzaffargarh	844	842	839	847	842	845	848	846	854	837	842
46 Dera Ghazi Khan (*including Biloch Trans frontier Tract*)	820	819	809	831	832	835	838	822	837	813	828

NOTE —Natural Population by each District or State and Natural Division cannot be calculated at this census as the figures of migrants for these units are not available.

SUBSIDIARY TABLE II.

Number of females per 1,000 males at different age-periods by religions at each of the last three censuses.

Age.	All Religions. 1911*	All Religions. 1921	All Religions. 1931	Hindu 1911*	Hindu 1921	Hindu 1931	Sikh. 1911*	Sikh. 1921	Sikh. 1931	Jain 1911*	Jain 1921	Jain 1931	Muslim. 1911*	Muslim. 1921	Muslim. 1931	Christian 1911*	Christian 1921	Christian 1931
1	2	3	4	5	6	7	8	9	10	11	12	13	14	15	16	17	18	19
Under 1	934	946	[illegible]	968	[illegible]	[illegible]	844	919	[illegible]	1,063	875	1,000	[illegible]	946	[illegible]	871	903	967
1—	[illegible]	977	963	973	954	[illegible]	867	934	931	[illegible]	1,014	1,015	[illegible]	967	[illegible]	1,074	974	[illegible]
2—3	911	961	974	951	977	1,000	[illegible]	874	944	1,062	1,030	1,030	[illegible]	971	971	905	944	972
3—4	[illegible]	953	931	977	1,011	876	836	913	912	972	1,104	[illegible]	954	948	947	[illegible]	[illegible]	965
4—5	[illegible]	[illegible]	916	911	854	[illegible]	784	837	856	[illegible]	884	857	[illegible]	926	916	[illegible]	929	919
Total 0—5	911	962	961	966	912	979	815	871	877	891	977	956	942	965	967	932	854	970
5—10	851	874	859	864	[illegible]	876	769	811	833	896	911	916	858	874	836	864	864	841
10—15	707	731	818	723	763	825	[illegible]	704	764	776	[illegible]	[illegible]	717	733	814	786	742	814
15—20	726	781	821	727	764	827	696	635	765	781	[illegible]	[illegible]	786	796	830	783	[illegible]	742
20—25	834	857	851	851	842	834	754	784	781	[illegible]	846	916	896	859	872	410	661	734
25—30	876	819	819	859	800	819	742	742	772	784	813	872	856	836	834	814	742	716
Total 0—30	822	847	863	826	819	872	737	764	873	854	871	913	841	867	876	[illegible]	794	827
30—40	876	817	776	817	806	776	802	779	746	797	836	807	849	832	787	726	764	748
40—50	834	839	781	823	[illegible]	796	[illegible]	807	773	840	837	764	847	806	784	789	[illegible]	772
50—60	736	779	731	764	768	[illegible]	726	736	730	834	768	764	765	788	[illegible]	716	[illegible]	743
60 and over	[illegible]	[illegible]	737	814	776	730	744	718	719	834	844	891	733	727	[illegible]	867	865	894
Total 30 and over	807	799	764	808	794	768	777	768	[illegible]	837	855	863	811	817	776	737	766	746
Total all Ages { Actual Population	817	828	831	830	829	835	748	786	793	880	890	879	833	846	836	707	786	803
Total all Ages { Natural Population	811	819	822	816			738			830			835			806		

*Figures of 1911 include figures for Delhi.

SUBSIDIARY TABLE III.

Number of females per 1,000 males at different age-periods by religions and Natural Divisions. (Census of 1931).

Age	Indo-Gangetic Plain West. All Religions	Hindu	Sikh	Jain	Muslim	Christian	Himalayan. All Religions	Hindu	Sikh	Jain	Muslim	Christian
1	2	3	4	5	6	7	8	9	10	11	12	13
0—1	936	[illegible]	951	1,017	1,094	909	1,001	1,006	1,066	1,500	940	774
1—2	931	[illegible]	943	[illegible]	990	944	1,026	1,050	814	950	989	[illegible]
2—3	974	941	[illegible]	1,036	991	[illegible]	1,067	1,071	802	1,106	1,027	927
3—4	950	964	906	[illegible]	967	977	1,033	1,089	[illegible]	1,000	1,000	1,076
4—5	936	917	852	951	821	939	1,007	1,010	903	633	952	833
Total 0—5	941	947	923	1,018	976	973	1,031	1,034	942	875	977	909
5—10	862	837	850	[illegible]	879	835	941	916	868	870	909	981
10—15	807	804	779	[illegible]	[illegible]	860	867	910	841	1,107	841	1,009
15—20	756	781	781	856	890	831	914	999	805	933	761	1,196
20—25	799	801	766	918	813	779	1,022	1,017	742	[illegible]	893	1,213
25—30	775	746	780	857	772	721	835	956	821	[illegible]	[illegible]	992
Total 0—30	840	811	809	979	855	836	970	950	811	813	897	1,026
30—40	755	736	716	831	757	734	841	671	843	824	848	700
40—50	776	767	789	808	770	800	793	806	833	1,063	845	650
50—60	763	742	760	791	762	742	777	733	818	848	832	694
60 and over	731	[illegible]	733	852	733	776	711	793	846	[illegible]	844	1,067
30 and over	757	731	[illegible]	778	714	741	805	[illegible]	852	[illegible]	876	755
Total all ages Actual population	818	[illegible]	780	895	825	814	906	917	717	774	726	900

Age	Sub-Himalayan East. 14	15	16	17	18	19	North-West Dry Area. 20	21	22	23	24	25
0—1	879	[illegible]	917	[illegible]	953	972	867	946	[illegible]	867	973	954
1—2	[illegible]	[illegible]	957	931	[illegible]	[illegible]	979	973	967	1,128	976	970
2—3	966	1,004	855	839	854	977	964	940	857	812	942	961
3—4	947	[illegible]	933	[illegible]	916	963	833	973	911	846	936	942
4—5	[illegible]	937	896	1,001	[illegible]	964	910	919	852	937	910	967
Total 0—5	933	977	939	922	[illegible]	971	936	933	831	892	931	936
5—10	843	854	836	840	863	846	840	[illegible]	833	[illegible]	[illegible]	878
10—15	822	836	872	[illegible]	[illegible]	809	801	[illegible]	781	844	800	847
15—20	833	[illegible]	867	972	[illegible]	715	811	776	792	842	851	764
20—25	837	861	829	[illegible]	934	859	872	[illegible]	801	1,061	880	761
25—30	855	796	785	[illegible]	894	672	[illegible]	[illegible]	867	[illegible]	[illegible]	734
Total 0—30	867	878	818	874	891	897	[illegible]	[illegible]	833	851	870	815
30—40	809	754	[illegible]	733	[illegible]	741	779	735	[illegible]	897	781	736
40—50	[illegible]	761	770	644	831	749	764	737	[illegible]	[illegible]	[illegible]	844
50—60	767	[illegible]	694	678	793	775	733	739	834	[illegible]	747	693
60 and over	719	736	[illegible]	723	734	679	[illegible]	743	673	[illegible]	719	633
30 and over	[illegible]	731	739	703	679	[illegible]	[illegible]	744	[illegible]	[illegible]	779	[illegible]
Total all ages Actual population	847	832	804	816	863	785	831	813	792	818	833	804

Note.—Proportion for Natural population cannot be calculated at this census as figures of migrants for Natural Divisions are not available.

SUBSIDIARY TABLE IV

Number of females per 1,000 males for certain selected castes and tribes at different ages, (Census 1931)

Serial No	Caste 1	Number of Females per 1,000 Males All ages 2	0—6 3	7—13 4	14—16 5	17—23 6	24—43 7	44 and over 8
	HINDU							
1	Aggarwal	*849*	974	879	833	845	791	797
2	Ahir	*811*	946	803	699	831	779	755
3	Arora	*868*	985	910	788	884	835	766
4	Bawaria	*906*	953	948	951	977	858	772
5	Brahman	*823*	961	857	748	825	783	768
6	Chamar	*868*	985	938	841	917	866	745
7	Chhimba	*849*	1 082	902	941	817	763	715
8	Chuhra	*838*	959	839	776	86[illegible]	827	697
9	Dagi and Koli	*929*	1 040	850	937	1 071	938	806
10	Dhobi	*791*	938	851	808	818	719	650
11	Faqir	*514*	770	682	482	555	432	388
12	Gujjar	*772*	901	756	688	721	770	734
13	Jat	*818*	952	830	753	765	799	722
14	Jhiwar	*835*	946	865	861	874	793	715
15	Julaha	*856*	964	882	835	987	831	769
16	Kamboh	*819*	906	884	757	851	793	701
17	Kanet	*812*	942	885	749	739	757	785
18	Khatri	*939*	1,045	877	873	1,035	971	829
19	Kumhar	*854*	970	816	792	917	820	802
20	Lohar	*866*	993	870	843	851	858	773
21	Mochi	*493*	798	649	466	455	359	493
22	Nai	*818*	948	840	758	839	811	700
23	Rajput	*789*	929	813	763	809	744	726
24	Rathi	*994*	1,030	960	1,032	1,237	1,000	848
25	Saini	*819*	973	830	752	805	800	736
26	Sansi	*823*	937	854	810	843	784	693
27	Sunar	*842*	926	853	806	865	806	793
28	Tarkhan	*858*	970	848	805	910	859	733
	SIKH							
1	Arora	*847*	946	856	743	835	876	730
2	Bawaria	*936*	1,107	1,003	1,217	843	858	747
3	Brahman	*678*	827	705	743	608	620	609
4	Chamar	*822*	963	821	771	828	805	716
5	Chhimba	*823*	960	863	765	829	773	769
6	Chuhra	*841*	914	781	816	872	845	790
7	Faqir	*413*	944	666	514	539	335	263
8	Gujjar	*852*	949	847	763	809	900	752
9	Jat	*767*	885	763	722	734	729	713
10	Jhiwar	*880*	955	830	825	907	908	815
11	Julaha	*840*	900	804	748	1,008	760	794
12	Kamboh	*877*	937	883	923	925	867	766
13	Khatri	*880*	959	915	938	854	896	754
14	Kumhar	*816*	831	758	750	779	835	884
15	Lohar	*869*	952	804	770	912	958	771
16	Nai	*801*	932	826	804	741	779	737
17	Rajput	*775*	873	815	489	614	975	632
18	Saini	*856*	910	839	911	838	908	760
19	Sunar	*854*	900	861	855	867	851	787
20	Tarkhan	*803*	808	798	786	806	787	742
	MUSLIM							
1	Ahir	*849*	936	858	928	636	959	750
2	Arain	*830*	946	844	747	900	766	760
3	Awan	*871*	928	852	733	903	899	812
4	Biloch	*829*	924	787	672	884	807	707
5	Chhimba	*861*	948	840	891	828	894	745
6	Chuhra	*864*	923	871	926	835	785	901
7	Dhobi	*843*	926	813	801	867	848	761
8	Faqir	*834*	939	861	812	895	786	726
9	Gujjar	*838*	1,009	834	772	888	760	753
10	Harni	*690*	941	605	590	605	656	666
11	Jat	*833*	947	799	737	879	821	753
12	Jhiwar	*859*	943	866	855	924	864	726
13	Julaha	*847*	957	857	791	860	832	724
14	Kamboh	*837*	953	874	764	856	860	730
15	Kashmiri	*778*	929	814	791	712	688	797
16	Kumhar	*850*	946	802	812	910	851	756
17	Lohar	*854*	964	825	791	874	841	778
18	Machhi	*836*	938	779	863	896	827	753
19	Meo	*859*	948	784	716	904	901	761
20	Mirasi	*871*	972	839	792	885	868	814
21	Mochi	*836*	925	829	804	882	821	741
22	Mussalli	*863*	957	867	811	995	827	705
23	Nai	*855*	993	840	843	884	819	753
24	Pakhiwara	*773*	813	828	926	895	746	583
25	Pathan	*809*	974	792	760	783	774	747
26	Rajput	*873*	985	872	794	886	860	780
27	Sayad	*858*	942	828	846	893	859	800
28	Sheikh	*794*	951	830	785	798	7[illegible]6	698
29	Sunar	*857*	949	841	840	904	811	709
30	Tarkhan	*842*	942	832	757	943	812	744
31	Toli	*833*	953	850	734	830	799	767
	CHRISTIAN							
1	Europeans and Allied Races	354	1,015		1,000	121	300	613
2	Anglo-Indians	662	705		920	711	629	509
3	Indian Christians	836	880		830	862	796	741

CHAPTER VI.

CIVIL CONDITION

104 Introductory 105 Movement in actual figures 106 Proportional distribution according to age and civil condition 107 Age at marriage 108 Age at marriage from census data 109 Proportion of sexes in marriageable population 110 Polygamy 111 Polyandry 112 Special inquiry into marriage and fertility 113 Size of the family correlated to occupation of husband 114 Size of the family by religion and class 115 Size of the family according to age of wife at marriage 116 The amount of Sterility 117 Duration of marriages and size of family 118 Fertility data compared with general census 119 The widowed 120 Proportion of widows among females of main religions 121 Proportion of widows in different areas 122 Proportion of widows among different castes 123 Widow remarriage

Reference to Statistics.

Imperial Table VII *gives the absolute figures of civil condition by main religions and age-periods* for the whole Province, the British Territory, the Punjab States and each district and state as well as selected cities and towns

Imperial Table VIII gives the same information, though with slightly different age-groups, as Imperial Table VII for selected castes by locality

Subsidiary Table I gives distribution by civil condition of 1,000 of each sex, religion and main age-periods at each of the last five censuses.

Subsidiary Table II gives distribution by civil condition of 1,000 of each sex at certain ages in each religion and Natural Division

Subsidiary Table III gives distribution by main age periods and civil condition of 10 000 of each sex and religion.

Subsidiary Table IV gives proportion of sexes by civil condition at certain ages for religions and Natural Divisions.

Subsidiary Table V gives distribution by civil condition of 1,000 of each sex at certain ages for selected castes

Statistics obtained at a special enquiry into marriage and fertility are reproduced in the text as well as the unsmoothed figures of age and civil condition for the whole Province.

Introductory

104 This Chapter deals with the marital condition of the population of the Punjab, or with the numbers of the married unmarried and widowed at different ages and in different localities religions and castes The divorced persons who had not remarried were included among the widowed Persons living as husband and wife, and recognised by custom as married, were to be treated as such though they had not gone through the ordinary formalities connected with marriage The number of such marriages is believed however to be very very small and nothing in comparison to that found in European countries where some people do not go through any religious ceremony because they think it is not necessary in a state of nature This is evidenced by the comparatively large number of children regarded by the law in European countries as illegitimate, though born to parents who are man and wife for all practical purposes The customary marriage in this country is confined to the "*Karewa*" known locally by different names, which is the taking into wedlock of the widow of a deceased brother or some other near relative, such as a first cousin

The Punjab Census Report of 1911 (p 275) deals at length with the customs and ceremonies, performed at the time of marriage among different communities and castes It is unnecessary to repeat them here except to mention that marriage is believed by a great majority of the people to be more or less a sacrament or a religious duty Divorce is unknown to the Hindu law, as also among Sikhs and Jains, and even among Muslims though it is permissible the cases of divorce are few and far between and the compilation of separate figures is uncalled for.

Before we proceed to discuss the statistical material compiled at the census with regard to civil condition, it appears necessary to refer to a detail of compilation adopted at this census, which was a departure from the procedure of the previous censuses In Imperial Table VII the figures of civil condition are combined with those of age During the smoothing of age figures, as explained in Chapter IV, the age and civil condition figures were sorted directly into septennial and quinquennial age-groups. To take an example, ages were sorted direct into groups such as 7—13 and 14—16 which during tabulation were halved to form the quinquennial age-period of 10—15 the other half of the age-period 7—13 together with ½ of the number in age-group 4—6 forming the age-group 5—10 This process though it improved the age returns, and on the whole the returns of civil condition, caused a slight swelling of the figures of the married and the widowed in the case of the too young as explained below It is obvious that there would be more married and widowed persons at the ages of 12 and 13 rather than at the ages of 7 and 8 and so a process which divided the total number of the married and the widowed in age-group 7—13 equally into two parts and transferred one-half of the number to the age-group 5—10 would naturally give higher figures for the married and the widowed in the younger age-period. At the same time this process would reduce the number of such persons in the age-period 10—15 The figures of civil condition for ages 15—20 and 20—25 have not been so affected by the smoothing except that a certain number of unmarried females who would in accordance with the world wide practice return ages nearer 17 than 23 be transferred to age-group 20—25 The results obtained would therefore probably be nearer to the true state of affairs. The net result of smoothing is that a larger proportion of the population is found to be married or widowed at ages below 10 as compared to past censuses.

The effect of this change in procedure is brought out by the diagram below which shows for the last three censuses the proportion of the unmarried *per mille* of the population of each sex at each age-period below 15.

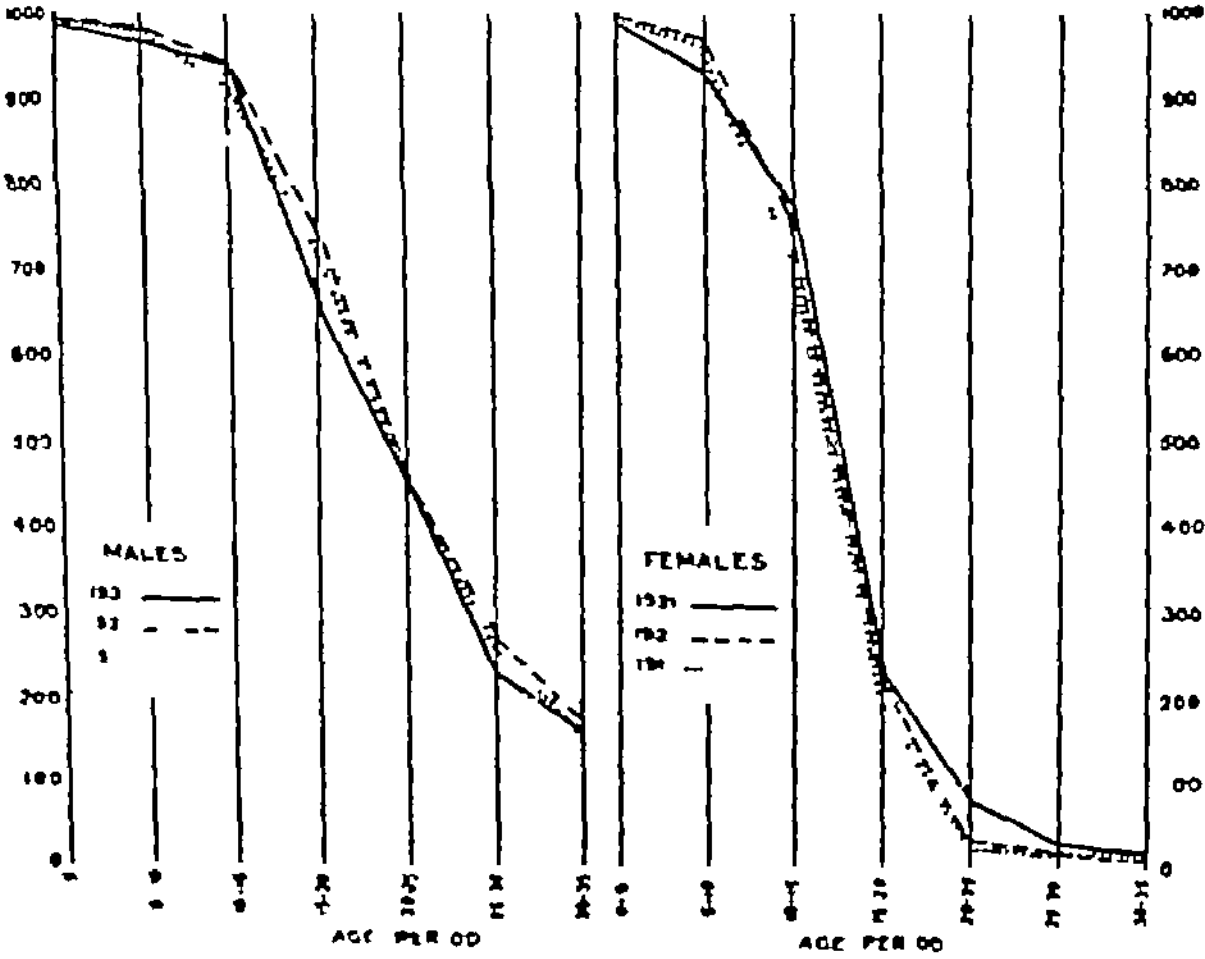

Proportion per mille of each sex at each age period who were married (1911—1931)

The proportion of the unmarried of ages 0—5 and 5—10 is now smaller among both sexes than at the two previous censuses The proportion of the unmarried of both sexes for ages 10—15 is for the same reason greater than before In the case of males the proportion of the unmarried among those aged 15—25 is slightly smaller on account of transfer of married males from higher ages, while the number of unmarried females in ages 15 and upwards appears to have increased

Movement in Actual Figures.

105 The table in the margin shows the variation per cent in the number of total unmarried, married and widowed for the last intercensal period as well as at different ages The number of both the unmarried and the married has increased, while there is a small decrease n the number of the widowed The decrease in the widows of ages 0—15 is particularly noticeable and may be due partly to improved method of tabulation and partly to the improvement in conditions According to the law of averages the larger the number on which an average is based the more reliable is the result obtained The number of the widowed under 15 is a case in point Their total in the Province is 14,405 (males 6,974 and females 7,431), which is only a small fraction of the population In such a case even a slight mistake in the posting of results during any stage of abstraction might cause a large percentage of error, while in the case of the figures of the unmarried of same ages, which are many hundred times larger, similar errors will counterbalance each other and leave the results practically unaffected

Increase or decrease per cent during the decade 1921—1931

Age-group	Total		UNMARRIED		MARRIED		WIDOWED	
	Males	Females	Males	Females	Males	Females	Males	Females
1	2	3	4	5	6	7	8	9
All ages	*13 3*	*13 7*	*14 2*	*18 4*	*15 8*	*14 0*	*—2 4*	*—1 0*
0—15	14 4	16 9	14 0	15 4	31 0	33 9	—20·3	—11 1
15—20	24 7	34 4	12 4	34 0	58 8	35 3	27 5	9 9
20—25	36 1	35 2	39 1	174 3	36 8	30·6	—5 0	—5 3
25—30	12 3	12·2	—5 0	103 4	21 3	11 2	—5 5	4 8
30—40	13 8	8 5	10 7	12 9	16 8	6 9	—2 2	9 8
40 and over	— 2	—3 7	3 1	65 7	4	—5 3	—2 4	—3 1

Proceeding with the discussion we find that there is a noticeable increase in the number of the widowed aged 15—20, which is clearly due to the smoothing as male widowers of this age-period show the large rise of 27 5 per cent over the figures of the last census, while the next higher age-group, 20—25, shows an actual decrease of 5 per cent which is also met with in the widows of same age The cause responsible for the increase in the case of the married below the age of 10 holds good equally in the case of the widowed in age-group 15—20, which seems to have gained at the expense of the next higher age-group 20—25 This displacement in the number of widowers is noticeable in all other higher age-groups In the case of females the number of widows above 40 has slightly decreased, while there is increase at other ages though considerably smaller than the increase in total population except at ages 30—40

Proportional Distribution According to Age and Civil Condition.

106 The diagram below shows the distribution of the male and

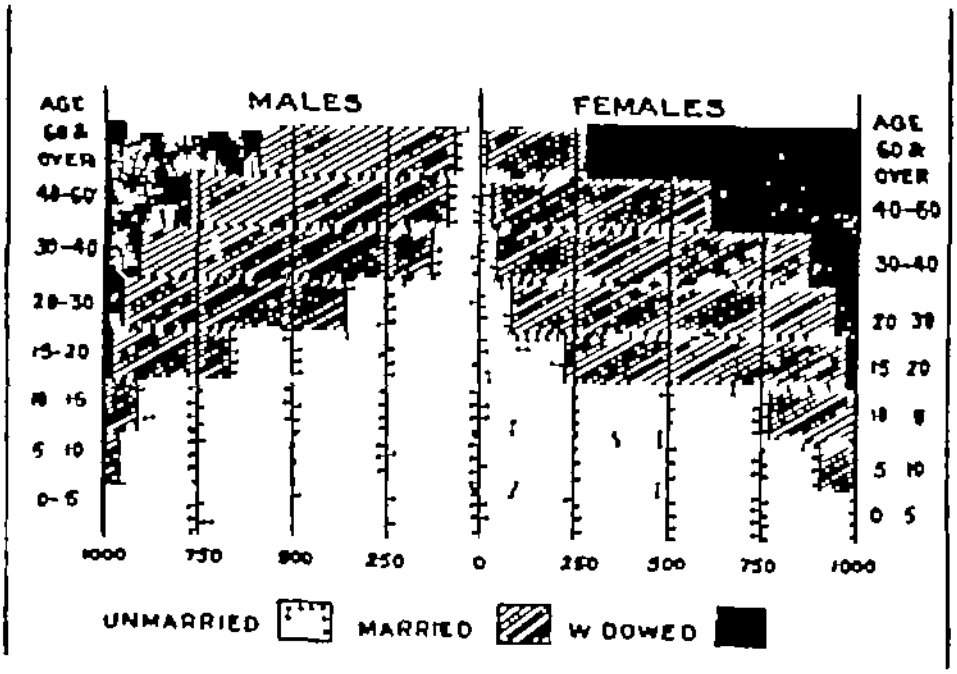

Civil condition per mille of each sex at each age-period 1931.

female population by age and civil condition, and at once supports the general view of the universality of marriage in India. The number of unmarried persons specially females in higher ages becomes very small, while owing to the comparatively short span of life in this country there is a large number of the widowed particularly in ages over 40 Widow re-marriage is deprecated by a considerable section of the public and this fact tends to increase the number of widows elderly males widowed or otherwise generally wed young women and as older people are likely to depart first their death increases the number of widows still further

The table in the margin gives the percentage of the married among those aged 15—40 belonging to different religions. It appears that Ad Dharmis have the greatest proportion of married persons in the reproductive period of life The proportion among Hindus is higher than that among Muslims and Jains which is about equal Sikhs have fewer married males owing to the paucity of women among them, but have for the same reason nearly the highest proportion of married females. The Christians Buddhists and Zoroastrians have the fewest of both sexes married.

Religion. 1	Male. 2	Female. 3
All Religions	59	85
Hindu	[illegible]	85
Ad Dharmi	70	[illegible]
Sikh	56	96
Jain	59	80
Buddhist	49	83
Zoroastrian	40	71
Muslim	59	84
Christian	53	[illegible]

ge at Marriage.

107 The number of persons returned as married below the age of 15 has increased at a rate more than double that of the general rise in total population (*vide* the table in paragraph 105) and this in spite of the legislative measure* recently passed to prohibit males below 18 and females below 14 from marrying Perhaps this measure was in a way responsible for swelling the number by accelerating early marriages in anticipation of the prohibition.

---

*The Sarda Act was passed in 1929, but did not come into force until 1st April 1930.

The total unsmoothed figures of civil condition for the Province are reproduced in the table below

Unsmoothed figures by civil condition and age (whole Province)

Age-period	Unmarried			Married			Widowed		
	Persons	Males	Females	Persons	Males	Females	Persons	Males	Females
0—3	3 188 870	1 611 470	1 [illegible]77 400	[illegible]	1 3[illegible]	[illegible] 181	72	56	16
4—6	2,5[illegible]1 801	1 331 9[illegible]5	1 216 818	2[illegible] 318	7 [illegible]	15 093	1 218	49[illegible]	72[illegible]
7—13	4 [illegible] 713	[illegible] 670	1 077 0[illegible]4	168 531	97 410	71 18[illegible]	6,708	3 299	3,409
14—16	1 2[illegible] 76[illegible]	[illegible]	372 7[illegible]0	[illegible]	177 7[illegible]	451 704	12 814	[illegible] 219	6 595
17—23	1 101 7[illegible]9	1 010 1[illegible]	[illegible]	2 1 1[illegible]	700 [illegible]	1 5[illegible]1 [illegible]	[illegible]9 190	17 41[illegible]	11 777
24—26	[illegible]11 791	71 2[illegible]0	[illegible]	1 48[illegible]	[illegible]	810 5[illegible]3	41 70[illegible]	[illegible]	30 071
27—33	[illegible] 40[illegible]	[illegible] 339	[illegible]7 0[illegible]4	[illegible] 974	1 139 299	1 07[illegible] [illegible]75	191 67[illegible]	102 [illegible]	9[illegible] 000
34—36	110 411	98 569	11 842	1 111 0[illegible]	[illegible] 787	[illegible] 677	1 7 101	[illegible]	80 609
37—43	111 1[illegible]	98 11[illegible]	11 018	1 3 7[illegible]	716 [illegible]	611 100	315 990	11[illegible]	181 633
44—46	1 117	[illegible]	[illegible] 591	[illegible]71 1[illegible]	10[illegible] 110	[illegible] 717	219 274	9[illegible],490	1[illegible]0 77[illegible]
47—53	[illegible] 9[illegible]3	[illegible] 473	7 450	[illegible] 380	10 201	[illegible] 171	14[illegible] 7[illegible]	173 631	[illegible]69 105
54—56	22 927	[illegible]0 781	[illegible]16	[illegible]0[illegible]680	101 [illegible]1	101 119	180 70[illegible]	78 851	101 93[illegible]
57—63	34 [illegible]1	31 [illegible]	[illegible]	478 878	311 889	1[illegible]6 919	473 118	172 417	200,901
64—66	11,387	10 1[illegible]	1 018	1[illegible] 11[illegible]	89 787	[illegible]2 [illegible]5	134,670	61 107	73 170
67—73	12,271	11 107	1 10[illegible]	143 018	113 [illegible]41	30 177	220 010	99 163	1[illegible] 887
74 and over	11 5[illegible]3	9 [illegible]	1 [illegible]8	93 003	[illegible]1 [illegible]	21 401	1[illegible],181	9[illegible] 01[illegible]	118 [illegible]6
Total for all ages	*13 56[illegible] 073*	*[illegible] 297*	*[illegible] 766*	*11 2[illegible] 3[illegible]2*	*[illegible] 46[illegible]*	*[illegible] 94 777*	*[illegible] 655 461*	*1 1[illegible] 741*	*1 51[illegible] [illegible]*

It is significant that while only 391 750 persons of both sexes were returned as married up to ages 0—13, 625 198 were so returned at ages 14—16. The latter are the ages at which marriage of females is permissible under the recent legislation and at which many people are actually married. A contributory cause for the large number doubtless is preference for 15 as the year of age. At last census the number of those recorded as married among those aged 0—14 was 531,619 and the corresponding figure for the present census for ages 0—15 after smoothing comes to 707 199. In the case of both sexes those returning themselves as married at ages 14—16 some were undoubtedly younger than 15 while others might be older. The smoothing has thus corrected the age as well as the civil condition of a certain number, who may not have really attained these ages but returned them owing to their being married.

That the people are returning in large numbers the ages at which marriage is permissible under the law is an indication of the new piece of legislation having become widely known. The large number of marriages celebrated in a hurry before the Act came into operation might however be regarded as a transitory step and it can be reasonably hoped that cases of early marriage will be less numerous at the next census.

The map below shows the local distribution of married and widowed females below the age of 15. It indicates where the age at marriage of females is relatively low. The results are given in terms of the proportion of married and widowed females aged 0—15 *per mille* of the total female population of all ages. Early marriages of females seem to be in vogue in the Eastern Punjab particularly in Rohtak District and Sirmoor and Bilaspur States. In the upper reaches of Sirmoor marriages of infants are reported to be common. The age of marriage is comparatively low in Jind, Karnal, Hoshiarpur and Kangra. It is a little higher in Ambala, Patiala, Hissar and Gurgaon and is highest in the western or the Muslim part of the Province.

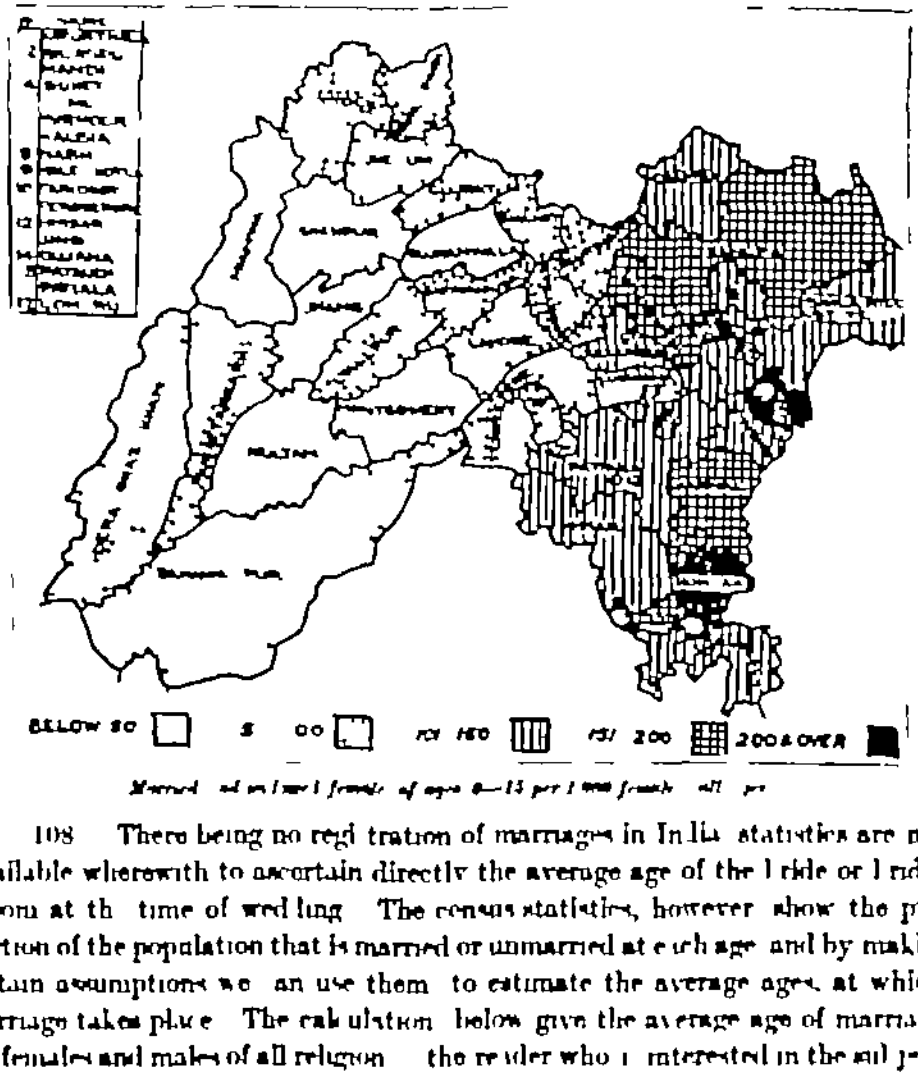

Married and widowed females of ages 0—15 per 1,000 females of all ages

Age at Marriage from Census Data.

108. There being no registration of marriages in India statistics are not available wherewith to ascertain directly the average age of the bride or bridegroom at the time of wedding. The census statistics, however, show the proportion of the population that is married or unmarried at each age and by making certain assumptions we can use them to estimate the average ages at which marriage takes place. The calculation below gives the average age of marriage for females and males of all religions: the reader who is interested in the subject may work out for himself the average age in each religion by the same method. This method is the same as that given in the Bengal Census Report of 1911 (pages 268 to 269) and is reproduced below for facility of reference.

If U_x is the number of females whether unmarried, married or widowed at the age of x, i.e., between x and x+1 years old and P_x is the proportion between the ages of x and x+1 returned as married or widowed then $P_x U_x$ is the number of females between x and x+1 who have been married. Assuming that *mortality rates are the same for married as for unmarried females and that the age* distribution of females remains the same for a year, then of the females between x and x+1 who had been married $\frac{U_{x+1}}{U_x} \times P_x U_x$ or $U_{x+1} P_x$ will survive a year and the number of married females between the ages of x+1 and x+2

$U_{x+1} P_{x+1}$. The difference between these two quantities $U_{x+1} P_x$ and $U_{x+1} P_{x+1}$ must be the number of marriages which took place during the year among the women who were aged x at the beginning and the average age at which these marriages took place would be almost exactly x+1 years. We, therefore, account for all the marriages which took place in the year by the series $\sum U_{x+1} (P_{x+1} - P_x)$.

The marriages $U_{x+1} (P_{x+1} - P_x)$ took place at the average age x+1 and $U_{x+2}(P_{x+2} - P_{x+1})$ at the average age x+2 and so on.

Thus the average age at which the marriages took place will be $\dfrac{\sum U_x (P_x - P_{x-1})x}{\sum U_x (P_x - P_{x-1})}$

The actual calculation for the average age of bride and bridegroom in the Province for all religions is given in the following two tables. The proportion P_x in column 2 is obtained by running a smooth curve through the points determined by the proportions of the married and widowed in quinquennial age periods and the figures in column 3 are taken from the graduated age distribution for females and males given in Subsidiary Table XI to Chapter IV.

Calculation of the average age of the bride at marriage

Age	Married and widowed per 1,000	Number living per 10,000 of the female population	Number of marriages which take place when bride's age is between x-1 and x+1 (average age x)		Age	Married and widowed per 1,000	Number living per 10,000 of the female population	Number of marriages which take place when bride's age is between x-1 and x+1 (average age x)	
x to x+1	P_x	U_x	$U_x(P_x-P_{x-1})$	$U_x(P_x-P_{x-1})x$	x to x+1	P_x	U_x	$U_x(P_x-P_{x-1})$	$U_x(P_x-P_{x-1})x$
1	2	3	4	5	1	2	3	4	5
0—1	0	2,402	0	0	18—19	795	2,4[illegible]8	86	1,548
1—2	4	2,8[illegible]	11	11	19—20	820	862	22	418
2—3	17	[illegible]	34	68	20—21	850	4,220	127	2,540
3—4	[illegible]	1,770	39	117	21—22	875	530	13	273
4—5	45	3,020	42	168	22—23	895	2,006	40	880
5—6	60	4,010	60	300	23—24	915	754	15	345
6—7	76	2,880	46	276	24—25	930	1,170	18	432
7—8	95	2,760	52	364	25—26	945	4,540	68	1,700
8—9	120	3,098	77	616	26—27	955	1,074	11	286
9—10	150	2,264	68	612	27—28	965	740	7	189
10—11	180	3,000	90	900	28—29	970	1,300	7	196
11—12	220	1,551	62	682	29—30	974	492	2	58
12—13	380	2,944	471	5,652	30—31	975	5,114	5	150
13—14	505	1,728	216	2,808	31—32	980	201	1	31
14—15	595	2,118	191	2,674	32—33	981	1,214	1	32
15—16	666	2,290	163	2,445	33—34	985	202	1	33
16—17	715	2,086	102	1,632	34—35	986	426	0	0
17—18	760	1,156	52	884					

TABLE V A.—*Percentage of fertile and sterile marriages*

AGE OF WIFE AT MARRIAGE.	DURATION OF MARRIAGE		RELIGION						
			All Religions	*Hindu*	*Ad Dharmi*	*Sikh*	*Jain*	*Muslim*	*Christian*
1	2		3	4	5	6	7	8	9
0—12	0—4	Fertile	*59*	49	50	62	33	67	75
		Sterile	*41*	51	50	38	67	33	25
	5—9	Fertile	*89*	85	79	86	86	88	89
		Sterile	*11*	15	21	14	14	12	11
	10—14	Fertile	*95*	95	94	95	100	95	95
		Sterile	*5*	5	6	5		5	5
	15 and over	Fertile	*98*	98	92	99	100	98	98
		Sterile	*2*	2	8	1		2	2
13—14	0—4	Fertile	*66*	59	57	79	100	69	67
		Sterile	*34*	41	43	21		31	33
	5—9	Fertile	*93*	93	89	93	100	93	97
		Sterile	*7*	7	11	7		7	3
	10—14	Fertile	*97*	97	99	98	88	97	96
		Sterile	*3*	3	1	2	12	3	4
	15 and over	Fertile	*99*	99	99	99	100	99	99
		Sterile	*1*	1	1	1		1	1
15—19	0—4	Fertile	*71*	65	52	78	83	73	79
		Sterile	*29*	35	48	22	17	27	21
	5—9	Fertile	*95*	95	95	96	100	95	97
		Sterile	*5*	5	5	4		5	3
	10—14	Fertile	*98*	98	97	98	100	98	98
		Sterile	*2*	2	3	2		2	2
	15 and over	Fertile	*99*	99	99	99	96	99	97
		Sterile	*1*	1	1	1	4	1	3
20—29	0—4	Fertile	*80*	77	54	89		80	82
		Sterile	*20*	23	46	11		20	18
	5—9	Fertile	*95*	95	98	97		95	97
		Sterile	*5*	5	2	3		5	3
	10—14	Fertile	*98*	98	98	99	100	97	95
		Sterile	*2*	2	2	1		3	5
	15 and over	Fertile	*99*	98	100	99	100	99	99
		Sterile	*1*	2		1		1	1
and over	0—4	Fertile	*82*	82	71	86		79	100
		Sterile	*18*	18	29	14		21	
	5—9	Fertile	*89*	94	100	90		87	73
		Sterile	*11*	6		10		13	27
	10—14	Fertile	*92*	95	100	96		88	50
		Sterile	*8*	5		4		12	50
	15 and over	Fertile	*98*	99	100	99		97	95
		Sterile	*2*	1		1		3	5

The derivative table in the margin shows the percentage of fertile and sterile cases with different durations of marriage, separately for different ages of wives at marriage, by main religions It will be seen at a glance that the percentage of fertile marriages generally is very high in this Province Even among the child-wives of all religions, by which are meant those married below the age of 12 the percentage of sterile cases, after 15 years' duration is reduced to two per cent The percentage of such cases for wives married at ages 13—14, 15—19 and 20—29 after a similar duration is only one per cent The wives married at ages thirty and over, whose number is comparatively small, have a greater tendency to be sterile These results are to be taken subject to the consideration that in some cases wives are deserted or divorced when their sterility is established after a few years' wedded life Another thing that has also to be borne in mind is that some families not blessed with children may have refused to furnish this information, or may not have been questioned by the enumerators owing to the delicacy of the subject One thing, about which we can safely generalise from these figures, is that the higher the age of wife at marriage the higher is the percentage of fertility even for shorter durations of marriage The highest percentage of sterility for duration of marriage beyond 15 years is 8 among Ad-Dharmi wives married when below 12, which indicates the permanent harm that may be entailed by early marriage As against these proportions the sterility is much more pronounced in European countries where the percentage of marriages that prove sterile would appear to be at least 6 *

---

* Pell. Law of Births and Deaths, p 27 Darwin mentions that 19 per cent of the English nobility are childless, " which is more than three times the average for the rest of the nation."

Ibid, p 123 " There seems to be a steady rise in the figures of sterile marriages as the birth rate falls. In France such marriages are about 20 per cent. of the total marriages the percentage among the wealthier classes being 25 "

Duration of Marriage and Size of Family.

117. In the table below the families of different religions and classes have been divided into groups on the basis of the duration of marriage. The number of children born to families with each duration is shown, as also the number born per 100 wives in each case.

TABLE VI.—*Duration of marriage correlated with class or religion of family.*

Religion and class	UNDER 10 YEARS. Number of families.	UNDER 10 YEARS. Number of children born.	UNDER 10 YEARS. Average number of children per 100 families.	10 YEARS. Number of families.	10 YEARS. Number of children born.	10 YEARS. Average number of children per 100 families.	BETWEEN 11—19. Number of families.	BETWEEN 11—19. Number of children born.	BETWEEN 11—19. Average number of children per 100 families.	20—31. Number of families.	20—31. Number of children born.	20—31. Average number of children per 100 families.	32. Number of families.	32. Number of children born.	32. Average number of children per 100 families.	33 AND OVER. Number of families.	33 AND OVER. Number of children born.	33 AND OVER. Average number of children per 100 families.
1	2	3	4	5	6	7	8	9	10	11	12	13	14	15	16	17	18	19
All classes																		
All Religions	43,313	58,393	[illegible]	[illegible]	29,771	351	[illegible]	337,751	495	[illegible]	[illegible]	[illegible]	[illegible]	[illegible]	61	[illegible]	[illegible]	101,298	566
Hindu	10,841	23,087	170	4,306	11,942	77	23,129	87,208	417	19,702	102,408	519	1,370	10,085	732	[illegible]	43,473	567
Ad-Dharmi	447	763	171	90	291	31	409	1,819	444	315	1,967	624	13	83	639	103	579	560
Sikh	6,028	10,293	165	1,268	3,836	303	6,427	26,317	409	6,236	[illegible]	530	417	2,410	576	3,061	17,802	571
Jain	41	59	144	9	30	333	35	187	413	31	166	543	3	26	867	[illegible]	84	700
Muslim	10,811	40,083	402	4,732	13,437	281	[illegible]	90,499	399	18,609	92,443	497	1,299	7,818	602	7,724	41,287	534
Christian	44	1,098	12	81	175	312	499	2,019	419	331	2,031	579	51	101	671	172	971	561
Main Religions by class:—																		
Hindu Class I	4,474	8,010	176	1,210	3,645	271	[illegible]	[illegible]	397	5,070	29,044	536	362	2,220	[illegible]	606	18,079	566
II	5,020	9,063	180	1,090	4,304	271	9,904	43,874	451	7,123	42,108	561	697	6,034	560	2,437	16,033	657
III	1,064	1,572	176	740	823	293	1,205	8,271	404	1,110	6,134	530	95	823	537	437	2,741	629
IV	4,293	7,442	170	1,077	3,127	290	4,309	21,231	497	4,639	[illegible]	597	221	1,292	640	1,608	9,117	565
Sikh Class I	745	[illegible]	261	89	229	258	374	1,712	458	331	2,000	594	77	172	641	114	1,114	619
II	3,900	7,033	177	679	2,065	293	[illegible]	17,758	497	[illegible]	[illegible]	590	303	1,331	671	[illegible]	12,886	542
III	411	878	214	98	294	304	[illegible]	2,221	416	493	[illegible]	528	37	[illegible]	511	292	1,800	540
IV	978	1,794	182	202	629	311	1,690	[illegible]	423	941	5,063	571	80	306	612	378	1,970	560
Muslim Class I	812	1,846	227	232	[illegible]	[illegible]	915	3,703	405	917	4,979	543	83	365	640	380	2,048	554
II	12,765	33,552	261	3,978	9,519	273	11,720	[illegible]	398	12,117	58,933	493	593	4,974	547	4,354	25,835	579
III	2,049	3,790	198	836	1,830	292	[illegible]	[illegible]	417	2,361	[illegible]	527	144	1,063	577	836	4,011	600
IV	3,443	7,036	207	964	2,034	291	[illegible]	16,406	391	2,341	[illegible]	[illegible]	234	1,444	574	1,579	7,613	490

The durations of marriage met with most frequently are between 10 and 19 years, while naturally the greatest number of children born belongs to the marriages which have lasted between 20 and 30 years. Very few marriages seem to last longer than 30 years as during this period in most cases one or the other of the spouses is removed by death. The intervals at which children are born to a wife appear to be more or less uniform, the rate being about one child every five years or so, though the average of duration ending with years that are multiples of five is swollen like other similar returns. For instance the effect of plumping on the tenth year of duration is prominent in these figures, for whereas the number of children among one hundred couples who have returned a duration of 9 years comes to 187 children, the average for those who have completed ten years or only a year more jumps to [illegible]. This can only mean that some couples with a longer duration of marriage and consequently having a larger number of children, and some with a smaller duration have returned a duration of 10 years owing to a preference for that figure.

The number of children per one hundred couples of all religions with a duration of 33 years and over is 560. The corresponding average for European countries appears to be 420.

[illegible] Law of Births and Deaths, p. 18. According to Bertillon and other authorities the European average [illegible] that 100 married women [illegible] have in their [illegible] children, or an average of 4.2 per marriage.

Fertility Data Compared with General Census

118 While it is impossible to compare all the figures collected at this special enquiry with the general census results a comparison is possible in certain aspects For instance, as already noticed on an average one child is born to a married woman every five years Taking all the married females alive of ages of 15—45 and assuming that all the children born during the last ten years were born to them we get the results shown in the margin Actually some of the women might have died leaving children, while some who had children born to them during the last ten years may now be over 45 We find that for 100 women of all religions according to the figures of the general census, the number of children born comes to 224 or a little over two children in ten years The effect of infant mortality is also apparent from the figures in the third column, and we find that out of 224 children born 178 survive to be included in the population under ten recorded at this census The figures of Hindus and Muslims are also given, the former comprise Sikhs and Jains as well, there being no separate birth record for these religions This shows that Muslims had a slightly larger number of children than Hindus This is probably true as the record made at the time of birth would not like the special enquiry held many years after their death omit the children of Muslims The comparative survival rates are also clearly brought out Compared to this according to the special enquiry the number of children born to 100 wives with a ten years duration of marriage comes to 194 The figures for England and Wales needless to say, present a great contrast

Religion 1	Proportion of children born in the last ten years to 100 married females aged 15—45 2	Proportion of children under ten years to 100 married females aged 15—45 3
All Religions	*224*	*178*
Hindus	222	169
Muslims	224	184
England and Wales (1921)	170	140

The Widowed

119 In the remaining paragraphs of this Chapter we shall take up the study of the subject of the widowed At this census there were 2,822 widows below ten, 7,431 below fifteen and 26,602 below twenty These figures are pathetic enough, but they seem insignificant when we realise that in ages above 40 every other woman is a widow The contrast that these figures present with the number of widows in England and Wales is most striking indeed, and in the table below is given the distribution by age and civil condition of 10,000 persons of this Province according to the census of 1931 and of England and Wales for the census of 1921 The figures indicate the proportionate number of each sex unmarried, married and widowed at different ages, and whereas they facilitate comparisons of the other two civil conditions as well they prominently bring to notice the comparatively high proportion of widows in this Province

Distribution of 10,000 of total Population by Civil Condition and Age.

Age-Group	Punjab (Census 1931)								England and Wales (Census 1921)							
	Total		Unmarried		Married		Widowed		Total		Unmarried		Married		Widowed	
	Males.	Females.	Males	Females	Males	Females	Males	Females	Males	Females.	Males	Females.	Males	Females	Males	Females
1	2	3	4	5	6	7	8	9	10	11	12	13	14	15	16	17
All Ages	*5,463*	*4,537*	*2,956*	*1,903*	*2,094*	*2,103*	*413*	*531*	*4,771*	*522,9*	*2,626*	*2,796*	*1,973*	*2,004*	*172*	*429*
0—15	2,176	1,921	2,106	1,738	68	180	2	3	1,305	1,377	1,305	1,377				
15—20	512	421	335	96	169	318	8	7	456	468	454	460	2	8		
20—25	505	430	233	37	257	381	15	12	384	451	315	327	68	122	1	2
25—30	445	363	102	10	317	331	26	22	354	427	158	175	194	243	2	9
30—35	402	312	64	7	307	275	31	30	338	401	78	104	256	280	4	17
35—45	579	457	60	8	443	348	76	101	659	753	99	145	545	561	15	47
45—55	416	317	31	4	294	178	91	135	562	605	66	99	468	436	28	70
55—65	259	192	16	2	158	68	85	122	364	402	38	62	285	241	41	99
65 and over	169	124	9	1	81	24	79	99	259	345	23	47	155	113	81	185

There are hardly any widows below 20 in England and Wales, and their number even up to the age of 45 is almost insignificant. The particularly small number of widowers points to the facility with which they can remarry. On the other hand the number of widowers in this Province is enormous. The fact that there is proportionately a higher number of married males in England and Wales at the ages of 35 and upwards shows that owing to longer life and late marriage the effective period of marriage in that country is much longer than here. The table also indicates in no uncertain terms the difference between the age of marriage in this Province and that in England and Wales.

Proportion of Widows Among Females of Main Religions.

120. The large number of widows presents a pathetic picture among the followers of all religions, though they are not quite uniform. The diagram given below shows the number of widows per 1,000 females in each age-period by main religions. The scales for different age-periods are different.

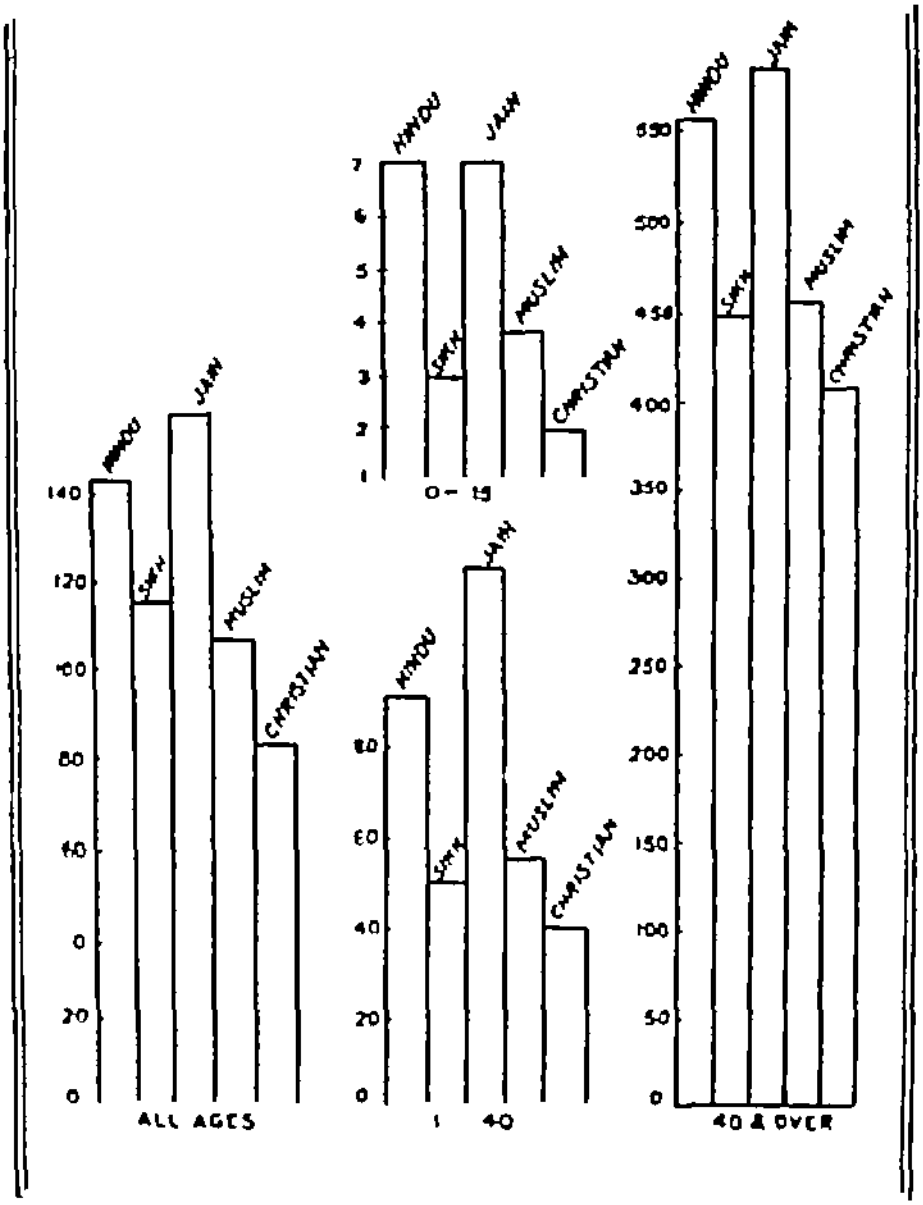

Number of Widows per 1,000 of female population of each age-period.

It will be seen that Jains have the highest proportion of widows at all ages and Hindus the next highest. Muslims and Sikhs are nearly on the same footing except that in the case of Sikhs the proportion for all ages is slightly higher but lower in the child-bearing period of life and ages over 40. This is accounted for by the smaller proportion of girls aged 0–15 among Sikhs as compared to Muslims. Consequently the rate of remarriage of widows among Sikhs would appear to be comparatively higher. The proportion of widows among Christians is the smallest.

Proportion of Widows in Different Areas

121 The map below shows the local distribution of widows and their number *per mille* of total females in each district and state.

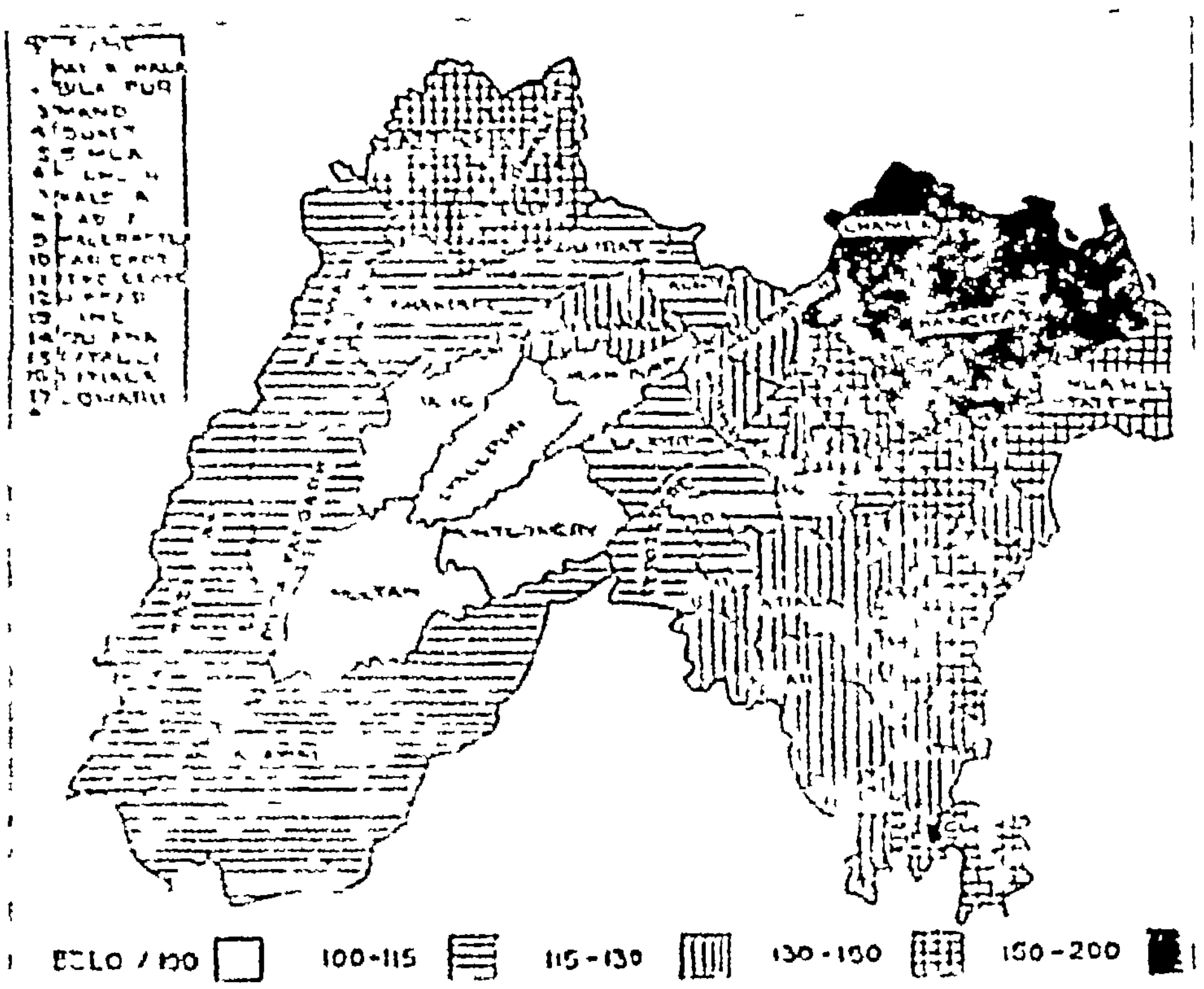

[illegible]

The highest proportion of widows is found in Kangra District and Mandi Suket and Bilaspur State. In the plains the small State of Pataudi heads the list. Hoshiarpur, Ambala and Gurgaon have also a fairly high proportion. In the north-west the proportion of widows in Jhelum, Rawalpindi and Attock with their Rajput and other martial races is not at all low, a fact which refutes the view commonly held of Muslim widows remarrying in large numbers. In this map all the colony districts (except Shahpur, which has a large *thal* area and the salt range similar in character to Jhelum and Attock inhabited by Awans) stand out prominently as having the smallest proportion of widows. The reasons for this are not far to seek, the people of colony areas are comparatively prosperous and take into wedlock all women of marriageable age, whether widows or virgins. The heterogeneous character of the population makes it easy for the people to marry widows in the absence of prejudices peculiar to their home districts.

Proportion of Widows Among Different Castes

122 The marginal table gives the number of widows *per mille* of total females of each of the main castes, which have been arranged alphabetically. The Brahman with 198 widows out of a thousand women, or nearly one-fifth, tops the list. The Hindu Rajput with high feudal and military traditions comes next followed by the trading Aggarwal (172), a good third. Then come Khatri (151),

Caste 1		Widows 2	Caste 1		Widows 2
Aggarwal	(Hindu)	172	Khatri	(Hindu)	151
Do	(Jain)	105	Pathan	(Muslim)	116
Arain	(Muslim)	95	Rajput	(Hindu)	181
Arora	(Hindu)	124	Do	(Sikh)	95
Do	(Sikh)	111	Do	(Muslim)	118
Awan	(Muslim)	116	Sayyid	(Muslim)	131
Biloch	(Muslim)	90	Sheikh	(Muslim)	103
Brahman	(Hindu)	198	Christian	(Total)	81
Jat	(Hindu)	125	Chuhra	(Hindu)	91
Do	(Sikh)	124	Do	(Sikh)	99
Do	(Muslim)	98			

Arora (134) and Jat (125). Among Muslims the high-born Sayad (131) the martial tribes of Pathan (116) and Awan (115) and the heterogeneous collection, known as Sheikh (103) have the highest proportion of widows while the Jat and Biloch have the smallest population. Among Sikhs the Jat (124) is the aristocrat and the Arora (111) is a mere shop-man and has a smaller proportion of widows. As compared with the figures quoted above the number of widows among Christians (81) is very small indeed.

Widow Remarriage. 123. Among the followers of Islam and Christianity there is no religious tenet prohibiting widow remarriage. But social customs come into play and among Muslims the castes and tribes enjoying high social status consider it derogatory for their widows to seek remarriage. For example Jats, Rajputs, Sayads and Pathans in many cases would not permit their widows to remarry. Evidently they have been influenced by their long association with the Hindus. The table in the margin shows the difference between the proportions of Hindu and Muslim widows in the female population of their respective religion in various age periods. Thus a rough idea of the extent of remarriage among Muslim widows can be formed from these figures.

Proportion of widows per mille of all females at different age period.

Age-period	Hindu.	Muslim.	Difference per mille.
1	2	3	4
0—5			
5—10	2	1	1
10—15	6	3	
15—40	[illegible]	[illegible]	33
40 and over	[illegible]	177	100

The number of widow remarriages among caste Hindus is still very small as is apparent from the figures for castes given in the last paragraph. Among some Hindu castes such as Jats widow remarriage is common as indicated by the smaller proportion of widows among them (125 *per mille* of total females as against 198 among Brahmans). The actual figures of remarriage of caste widows given below are based on the information supplied by the Vidhva Vivah Sahaik Sabha, the main society in the Province which encourages widow remarriage. The figures comprise widow remarriages in the Punjab and the N. W. F. Province and indicate an increase from year to year but even so the number of remarriages up to-date is negligible in view of the enormous number of widows of marriageable ages.

Class.	1914-15	1916	1917	1918	1919	1920	1921	1922	1923	1924	1925	1926	1927	1928	1929	1930	1931	Total.
Brahman	5	3	7	15	16	23	37	96	140	238	417	376	339	333	661	679	430	[illegible]
Khatri	4		9	12	21	34	47	112	143	272	[illegible]	443	[illegible]	331	[illegible]	671	[illegible]	[illegible]
Arora			2	2	6	41	[illegible]	[illegible]	[illegible]	347	370	[illegible]	337	341	[illegible]	[illegible]	[illegible]	[illegible]
Aggarwal	2	3	4	7	23	[illegible]	33	41	[illegible]	[illegible]	[illegible]	377	[illegible]	[illegible]	[illegible]	[illegible]	[illegible]	[illegible]
Kayasth	1	2	2	2	3	13	[illegible]	40	19	[illegible]	[illegible]	127	[illegible]	240	[illegible]	[illegible]	[illegible]	[illegible]
Rajput			3	1	3	12	11	14	[illegible]	[illegible]	[illegible]	[illegible]	264	[illegible]	[illegible]	301	[illegible]	[illegible]
Sikh			1				14	19	6	[illegible]	231	[illegible]	[illegible]	313	437	473	[illegible]	[illegible]
Miscellaneous			3	1	7	16	[illegible]	39	121	[illegible]	[illegible]	[illegible]	[illegible]	[illegible]	[illegible]	[illegible]	[illegible]	[illegible]
Total	[illegible]	[illegible]	31	[illegible]	[illegible]	[illegible]	317	[illegible]	[illegible]	1,493	[illegible]	[illegible]	[illegible]	[illegible]	[illegible]	[illegible]	[illegible]	[illegible]

SUBSIDIARY TABLE V —*continued*

(*Based on Imperial Table VIII*)

Distribution by Civil Condition of 1,000 of each Sex at certain Ages for Selected Castes

MALES—*concld*

	Caste and Religion		All Ages			0—6			7—13			14—16			17—23			24—43			44 and over.		
	1		Unmarried 2	Married 3	Widowed 4	Unmarried 5	Married 6	Widowed 7	Unmarried 8	Married 9	Widowed 10	Unmarried 11	Married 12	Widowed 13	Unmarried 14	Married 15	Widowed 16	Unmarried 17	Married 18	Widowed 19	Unmarried 20	Married 21	Widowed 22
21	Dagi and Koli	Hindu	427	507	66	980	20		916	82	2	722	268	10	422	547	31	92	837	71	36	768	196
22	Dhobi	Hindu	463	449	88	999	1		953	46	1	651	337	12	325	630	45	94	802	104	44	605	351
23	,,	Muslim	539	381	80	999	1		970	29	1	830	164	6	521	451	28	142	756	102	52	656	292
24	Faqir	Hindu	615	293	92	999	1		955	45		855	141	4	600	375	25	439	471	90	404	366	230
25	,,	Sikh	647	240	113	996	4		993	7		838	146	16	643	323	34	601	318	81	504	274	222
26	,,	Muslim	529	382	89	997	3		937	61	2	761	230	9	450	520	30	159	737	104	79	591	330
27	Gujjar	Hindu	508	400	92	995	5		913	85	2	743	250	7	474	500	26	180	719	101	71	582	347
28	,,	Sikh	469	430	101	995	5		842	158		592	408		484	508	8	225	672	103	78	622	300
29	,,	Muslim	511	406	83	997	3		936	62	2	775	219	6	486	495	19	151	762	87	49	638	313
30	Harni	Muslim	594	344	62	997	3		969	29	2	861	131	8	509	461	30	148	789	63	43	698	259
31	Jat	Hindu	493	411	96	997	3		895	102	3	633	358	9	388	584	28	164	723	113	98	550	352
32	,,	Sikh	555	359	86	999	1		975	24	1	857	139	4	579	407	14	270	654	76	127	572	301
33	,,	Muslim	573	367	60	998	2		982	18		906	92	2	640	348	12	200	735	65	41	708	251
34	Jhiwar	Hindu	507	390	103	998	2		951	48	1	787	205	8	439	529	32	138	743	119	65	566	369
35	,,	Sikh	547	365	88	998	2		977	21	2	809	186	5	453	512	35	168	729	103	84	598	318
36	,,	Muslim	540	373	87	997	3		957	42	1	818	177	5	490	483	27	126	776	98	47	615	338
37	Julaha	Hindu	467	453	80	995	5		956	43	1	801	196	3	447	528	25	122	793	85	44	688	268
38	,,	Sikh	435	453	112	1 000			899	98	3	656	344		339	616	45	133	750	117	54	616	330
39	,,	Muslim	540	375	85	999	1		974	26		861	134	5	535	433	32	150	754	96	45	643	312
40	Kamboh	Hindu	531	383	86	999	1		969	31		816	176	8	516	467	17	149	758	93	59	599	342
41	,,	Sikh	526	404	70	999	1		969	31		802	192	6	440	543	17	126	797	77	49	683	268
42	,,	Muslim	535	398	67	998	2		963	36	1	828	168	4	474	506	20	123	800	77	48	683	269
43	Kashmiri	Muslim	543	387	70	999	1		982	17	1	906	92	2	642	340	18	177	747	76	54	665	281
44	Khatri	Hindu	568	365	67	999	1		989	11		942	56	2	690	299	11	217	715	68	94	640	266
45	,,	Sikh	550	377	73	999	1		988	11	1	879	111	10	610	368	22	204	728	68	79	664	257
46	Kumhar	Hindu	487	430	83	998	2		942	57	1	697	295	8	354	619	27	97	808	95	50	621	329
47	,,	Sikh	553	367	80	997	3		976	23	1	803	188	9	502	472	26	156	752	92	75	621	304
48	,,	Muslim	548	381	71	997	3		975	25		839	152	9	524	455	21	143	774	83	45	678	277
49	Lohar	Hindu	495	418	87	996	4		946	52	2	758	235	7	458	512	30	148	753	99	61	633	306
50	,,	Sikh	530	371	99	1,000			952	46	2	760	235	5	431	550	19	203	691	106	88	569	343
51	,,	Muslim	540	387	73	999	1		964	35	1	822	173	5	495	480	25	131	784	85	53	660	287
52	Machhi	Muslim	553	374	73	999	1		973	26	1	852	144	4	559	418	23	154	761	85	39	671	290
53	Meo	Muslim	518	407	75	998	2		966	33	1	787	205	8	403	566	31	68	835	97	13	641	346
54	Mirasi	Muslim	554	370	76	999	1		976	23	1	863	130	7	578	392	30	171	740	89	56	666	278
55	Mochi	Hindu	390	526	84	1,000			831	169		681	319		394	571	35	78	812	110	39	641	320
56	,,	Muslim	540	382	78	998	2		979	21		870	127	3	548	433	19	138	768	94	39	665	296
57	Mussalli	Muslim	580	358	62	999	1		988	12		900	96	4	609	372	19	157	759	84	38	717	245
58	Nai	Hindu	495	399	106	998	2		952	47	1	736	258	6	426	545	29	153	726	121	78	559	363
59	,,	Sikh	544	358	98	999	1		980	20		815	1741	1	510	456	34	259	644	97	118	556	326
60	,,	Muslim	530	389	81	998	2		966	33	1	840	154	6	521	454	25	149	756	95	44	660	296
61	Pakhiwara	Muslim	541	371	88	1,000			983	14	3	898	93	9	502	461	37	139	770	91	36	629	335
62	Pathan	Muslim	557	380	63	999	1		988	11	1	921	75	4	675	307	18	202	726	72	47	723	230
63	Kanet	Hindu	445	485	70	981	19		917	81	2	760	234	6	448	529	23	136	791	73	47	742	211
64	Rajput	Hindu	523	396	81	999	1		979	21		879	117	4	607	376	17	206	709	85	96	631	273
65	,,	Sikh	545	395	60	999	1		988	11	1	904	94	2	388	602	10	153	763	84	57	719	224
66	,,	Muslim	566	372	62	998	2		980	19	1	897	99	4	644	339	17	175	760	65	45	700	255
67	Rathi	Hindu	539	385	76	999	1		985	15		895	103	2	643	339	18	191	730	79	59	688	253
68	Saini	Hindu	509	388	103	999	1		958	41	1	780	216	4	472	503	25	170	722	108	85	560	355
69	,,	Sikh	534	373	93	999	1		967	32	1	767	230	3	428	554	18	184	703	113	106	586	308
70	Sansi	Hindu	532	381	87	996	4		957	41	2	760	232	8	465	513	22	137	749	114	46	627	327
71	Sayad	Muslim	551	380	69	998	2		985	14	1	890	108	2	641	343	16	177	742	81	47	699	254
72	Sheikh	Muslim	520	405	75	996	4		960	38	2	841	152	7	552	423	25	148	761	91	44	674	282
73	Sunar	Hindu	534	386	80	998	2		962	37	1	812	182	6	501	478	21	163	743	94	77	626	297
74	,,	Sikh	559	371	70	999	1		973	27		815	183	2	478	495	27	208	724	68	103	618	279
75	,,	Muslim	556	378	66	999	1		975	25		795	200	5	542	428	30	149	768	83	72	669	259
76	Tarkhan	Hindu	501	401	98	997	3		941	57	2	733	259	8	406	562	32	148	743	109	69	577	354
77	,,	Sikh	533	377	90	999	1		975	24	1	789	205	6	484	496	20	211	696	93	85	595	320
78	,,	Muslim	544	378	78	999	1		978	22		869	126	5	545	436	19	145	752	103	39	678	283
79	Teli	Muslim	537	383	80	998	2		960	39	1	806	188	6	476	503	21	143	759	98	44	640	316

SUBSIDIARY TABLE V—*concluded*

(*Based on Imperial Table VIII*)

Distribution by Civil Condition of 1,000 of each Sex at certain Ages for Selected Castes.

FEMALES.

	CASTE AND RELIGION.		ALL AGES.			0—4			5—13			14—16			17—23			24—43			44 AND OVER.		
			Unmarried	Married 3	Widowed 4	Unmarried 5	Married 6	Widowed 7	Unmarried 8	Married 9	Widowed 10	Unmarried 11	Married 12	Widowed 13	Unmarried 14	Married 15	Widowed 16	Unmarried 17	Married 18	Widowed 19	Unmarried 20	Married 21	Widowed 22
	PUNJAB.																						
1	AGGARWAL	Hindu	349	479	172	992	8		930	69	1	406	583	10	48	907	45	7	759	234	10	341	649
2	AHIR	Hindu	394	492	114	997	3		871	128	1	253	742	5	18	963	19	5	870	125	1	426	573
3		Muslim	481	425	94	991	9		977	23		830	154	16	232	728	40	105	812	83	41	553	406
4	ARAIN	Muslim	481	434	85	994	6		900	99	1	485	510	5	112	875	13	23	897	80	16	497	487
5	ARORA	Hindu	434	432	134	998	2		944	55	1	512	483	5	91	894	15	29	821	150	10	397	593
6		Sikh	454	435	111	998	2		952	47	1	564	430	6	90	885	25	21	865	114	11	473	516
7	AWAN	Muslim	440	445	115	998	2		944	55	1	557	436	7	145	835	20	34	865	101	14	470	516
8	BAWARIA	Hindu	503	417	80	992	8		892	107	1	410	562	28	63	906	31	16	864	120	10	524	466
9		Sikh	503	419	78	999	1		970	30		226	771	3	110	850	40	20	899	81	17	578	405
10	BILOCH	Muslim	423	486	91	997	3		912	87	1	480	515	5	112	870	18	21	904	75	10	517	473
11	BRAHMAN	Hindu	365	437	198	995	5		877	121		381	601	18	65	890	45	10	757	233	5	321	674
12		Sikh	397	460	143	992	8		926	74		535	465		138	845	17	30	818	152	21	467	512
13	CHAMAR	Hindu	362	524	114	991	9		725	273	2	164	826	10	28	957	15	7	861	132	4	195	801
14		Sikh	395	502	103	997	3		862	137	1	320	674		46	944	10	6	910	84	5	474	521
15	CHHIMBA	Hindu	381	484	135	992	7	1	792	206	2	364	628	8	31	948	21	7	862	131	5	412	583
16		Sikh	382	497	121	995	5		852	147	1	416	582	2	70	917	13	27	889	84	12	513	475
17		Muslim	431	462	107	997	3		871	128	1	432	563	5	134	843	23	29	871	100	9	490	501
18	CHUHRA	Hindu	432	477	91	992	8		839	159	2	362	632	6	73	912	15	18	875	107	12	471	517
19		Sikh	448	456	96	[illegible]			927	73		550	448	2	87	903	10	15	904	81	8	460	532
20		Muslim	495	415	90	1,000			950	48	2	619	377	4	180	792	28	22	874	104	8	551	441
21	DAGI AND KOLI	Hindu	324	547	129	984	16		793	204	3	268	719	13	62	911	27	18	880	102	8	[illegible]	[illegible]
22	DHOBI	Hindu	398	491	111	995	5		849	147	4	281	701	18	21	945	34	13	852	135	10	380	610
23		Muslim	435	461	104	996	4		913	86	1	482	511	7	120	860	20	25	873	102	21	499	480
24	FAQIR	Hindu	424	430	146	995	4	1	899	101		463	535	2	104	855	41	39	817	144	19	470	511
25		Sikh	390	481	129	1,000			897	103		481	508	11	144	837	19	56	880	64	45	498	457
26		Muslim	424	470	106	989	11		899	100	1	382	608	10	101	881	18	22	873	105	16	472	512
27	GUJAR	Hindu	336	525	139	990	10		693	304	3	238	750	12	28	951	21	3	863	134	1	404	595
28		Sikh	310	563	127	990	10		564	430	6	190	810		47	934	19	44	872	84	9	524	467
29		Muslim	490	400	110	989	11		780	218	2	335	658	7	57	925	18	16	883	101	7	487	506
30	[illegible]	Muslim	502	400	98	997	3		907	93		[illegible]	730		20	970	10	21	883	96	4	554	442
31	JAT	Hindu	337	518	145	991	9		743	256	1	284	708	8	26	937	37	6	866	128	3	417	580
32		Sikh	396	477	127	997	3		909	90	1	519	477	4	110	879	11	19	893	88	8	488	504
33		Muslim	485	417	98	996	4		936	63	1	566	429	5	150	837	13	30	885	85	12	496	492
34	JHINWAR	Hindu	391	496	113	996	4		817	182	1	345	648	7	80	910	10	12	830	158	6	425	569
35		Sikh	409	470	121	991	9		913	86	1	425	563	12	85	904	11	14	894	92	7	491	502
36		Muslim	447	462	91	999	1		894	105	1	461	531	8	103	880	13	34	885	81	9	522	469
37	JULAHA	Hindu	330	517	153	992	8		760	236	4	178	809	13	64	907	29	9	829	162	3	364	633
38		Sikh	314	560	126	993	7		728	272		293	707		38	945	17	12	918	70	8	491	501
39		Muslim	415	431	154	996	4		907	92	1	541	451	8	123	858	19	27	876	97	13	481	506
40	KAMBOH	Hindu	424	461	115	997	3		879	120	1	514	481	5	89	890	21	15	857	128	3	461	536
41		Sikh	431	495	74	997	3		900	98	2	439	557	4	77	911	12	14	914	72	8	582	410
42		Muslim	415	490	95	995	5		892	107	1	487	507	6	81	901	18	17	897	86	8	525	467
43	KASHMIRI	Muslim	431	443	126	997	3		916	83	1	559	436	5	134	850	16	23	873	104	15	407	578
44	KHATRI	Hindu	452	417	131	998	2		969	30	1	604	390	6	115	839	46	24	816	160	12	372	616
45		Sikh	459	410	131	997	3		949	50	1	583	414	3	132	858	10	21	845	134	8	467	525
46	KUMHAR	Hindu	367	506	127	994	6		772	226	2	220	780		38	942	20	9	839	152	4	498	498
47		Sikh	433	442	125	999	1		920	79	1	485	507	8	82	872	46	10	891	99	10	495	495
48		Muslim	446	455	99	997	3		903	96	1	499	495	6	124	858	18	27	891	82	9	479	512
49	LOHAR	Hindu	357	504	139	994	6		763	234	3	279	711	10	55	922	23	15	851	134	8	377	615
50		Sikh	393	499	108	997	3		887	111		417	580	3	26	973	1	16	899	85	14	529	457
51		Muslim	420	480	100	995	5		888	111	1	477	516	7	107	873	20	25	891	84	16	494	490
52	MACHHI	Muslim	446	455	99	997	3		911	88	1	596	404		125	857	18	30	876	94	12	497	491
53	[illegible]	Muslim	499	490	11	995	5		865	133	2	229	762	9	39	945	16	1	872	127	1	380	619
54	MIRASI	Muslim	444	445	111	995	5		912	87	1	570	430		133	844	23	40	860	100	16	484	500
55	MOCHI	Hindu	404	481	115	1,000			884	116		197	794	9	117	861	22	16	873	111	12	521	467
56		Muslim	449	451	100	997	3		930	69	1	525	466	9	123	860	17	22	879	99	13	499	488
57	MUSALLI	Muslim	500	423	77	998	2		990	9	1	666	326	8	173	810	17	31	893	76	12	542	446
58	NAI	Hindu	353	497	150	993	7		833	163	4	294	706		63	931	6	[illegible]	941	11	10	383	607
59		Sikh	407	471	122	999	1		922	78		587	405	8	85	896	19	21	876	103	11	511	478
60		Muslim	412	433	155	995	5		920	79	1	514	477	9	111	868	21	20	890	90	15	492	493
61	PAKHIWARA	Muslim	481	428	91	1,000			[illegible]	[illegible]		519	481		123	[illegible]	35	25	873	102	11	581	408
62	PATHAN	Muslim	[illegible]	[illegible]	114	998	2		947	53		620	373	7	155	823	22	22	874	104	12	462	526
63	[illegible]	Hindu	317	[illegible]	[illegible]	985	15		875	125		310	677	13	4	972	24	13	863	124	5	414	581
64	RAJPUT	Hindu	357	502	141	996	4		866	134		353	631	16	84	873	43	35	774	191	11	335	654
65		Sikh	433	457	110	999	1		965	34	1	503	491	6	107	872	21	17	913	70	6	579	415
66		Muslim	457	432	111	996	4		903	96	1	579	421		153	826	21	34	849	117	11	[illegible]	459
67	[illegible]	Hindu	353	468	179	990	10		830	167	3	249	739	12	3	964	33	9	832	159	5	270	725
68	[illegible]	Hindu	374	503	123	998	2		823	176	1	349	641	10	4	967	29	7	856	137	4	416	580
69		Sikh	406	467	127	998	2		916	83	1	452	545	3	4	995	1	8	869	123	4	495	501
70	[illegible]	Hindu	462	433	[illegible]	997	3		[illegible]	[illegible]		443	553		89	[illegible]	13	3	[illegible]	[illegible]	10	468	522
71	SAYYID	Muslim	435	434	131	998	2		914	85	1	621	379		239	739	22	39	837	124	22	413	565
72	SHEKH	Muslim	422	473	105	997			[illegible]	1		[illegible]	[illegible]	7	114	866	20	25	875	100	27	452	521
73	SUNAR	Hindu	[illegible]	[illegible]	[illegible]	997	3		[illegible]	113		412	578	10	6	972	22	16	845	139	7	419	574
74		Sikh	[illegible]	444	[illegible]	997	3		911	7		417	575	8	41	947	12	29	859	112	14	465	521
75		Muslim	462	441	97	996	4		925	73	2	549	445	6	161	831	8	37	859	104	23	547	430
76	TARKHAN	Hindu	[illegible]	[illegible]	137	991	9		771	228	1	294	[illegible]	9	32	[illegible]	[illegible]	8	864	128	5	421	574
77		Sikh	[illegible]	[illegible]	[illegible]	997	3		915	85		[illegible]	[illegible]	4	[illegible]	[illegible]	[illegible]	18	873	109	11	542	447
78		Muslim	[illegible]	450	[illegible]	997	3		912	86	2	[illegible]	[illegible]	7	111	868	21	20	886	94	13	[illegible]	[illegible]
79	TELI	Muslim	[illegible]	[illegible]	[illegible]	995	5		866	133	1	467	527	6	11	[illegible]	16	21	875	104	13	453	534

CHAPTER VII.

INFIRMITIES

124 General 125 Insane 126 Local distribution of insanity 127 Sex proportion and age distribution among the insane 128 Punjab Mental Hospital 129 The Deaf and Dumb 130 Age distribution of deaf mutes 131 Local distribution of deaf mutes 132 The blind 133 Age distribution of the blind 134 Measures for combating blindness 135 Leprosy and its local distribution 136 Leprosy at different ages 137 Proportion of sexes among the leprous 138 Leper Asylums in the Province 139 Age distribution among different infirmities and total population 140 Comparison of the number of the infirm with other provinces 141 Sex proportion by age among the infirm

Reference to Statistics

The statistics relating to the four infirmities, insanity, deaf mutism, blindness and leprosy, by quinquennial age periods for the Province are given in Imperial Table IX, Part I, and totals for all ages by each district and state are given in Part II of the same table

Subsidiary Table I gives the number of the infirm per 100,000 of the total population of each sex for the whole Province, and each Natural Division, district and state

Subsidiary Table II gives the number of the infirm per 100,000 and females per 1,000 males at certain age periods for the whole Province

Subsidiary Table III gives age distribution of 10,000 infirm for the total Province

General

124 An enquiry which deals with the various aspects of the population, for instance, with the number of earners, working dependants and non-working dependants, would be incomplete if it did not make an attempt to estimate what proportion of the population suffers from some physical infirmity rendering it incapable of earning a livelihood In order to partially fulfil this purpose a column has been provided in the general schedule at each census to ascertain the number of persons, who are insane, deaf-mute, totally blind or leprous

The figures obtained as a result of this enquiry are given in Imperial Table IX, Parts I and II It may be remarked that the figures of infirmities are the least dependable of all the census figures as the presence of an infirmity, especially leprosy or insanity among females, is seldom given out The only figures comparatively reliable are those concerning blindness, an infirmity to which no stigma attaches, but here again sometimes persons with a weak eyesight or blind of one eye are returned as totally blind

Insane.

125 At this census 5,619 males and 2,720 females were recorded as insane in the Province These figures include the congenital idiots, known in some places as "*chuhas*" (literally meaning rats) owing to the shape and smallness of their heads and features, and those who become mentally deranged later in life The number of the insane appears to be very much smaller than it really is, as an infirmity of this type is kept carefully concealed, and strangers are unaware of its existence in a family unless it takes an acute form or the afflicted person becomes violent The figures of past censuses were, however, affected by similar drawbacks, and the results are therefore comparable

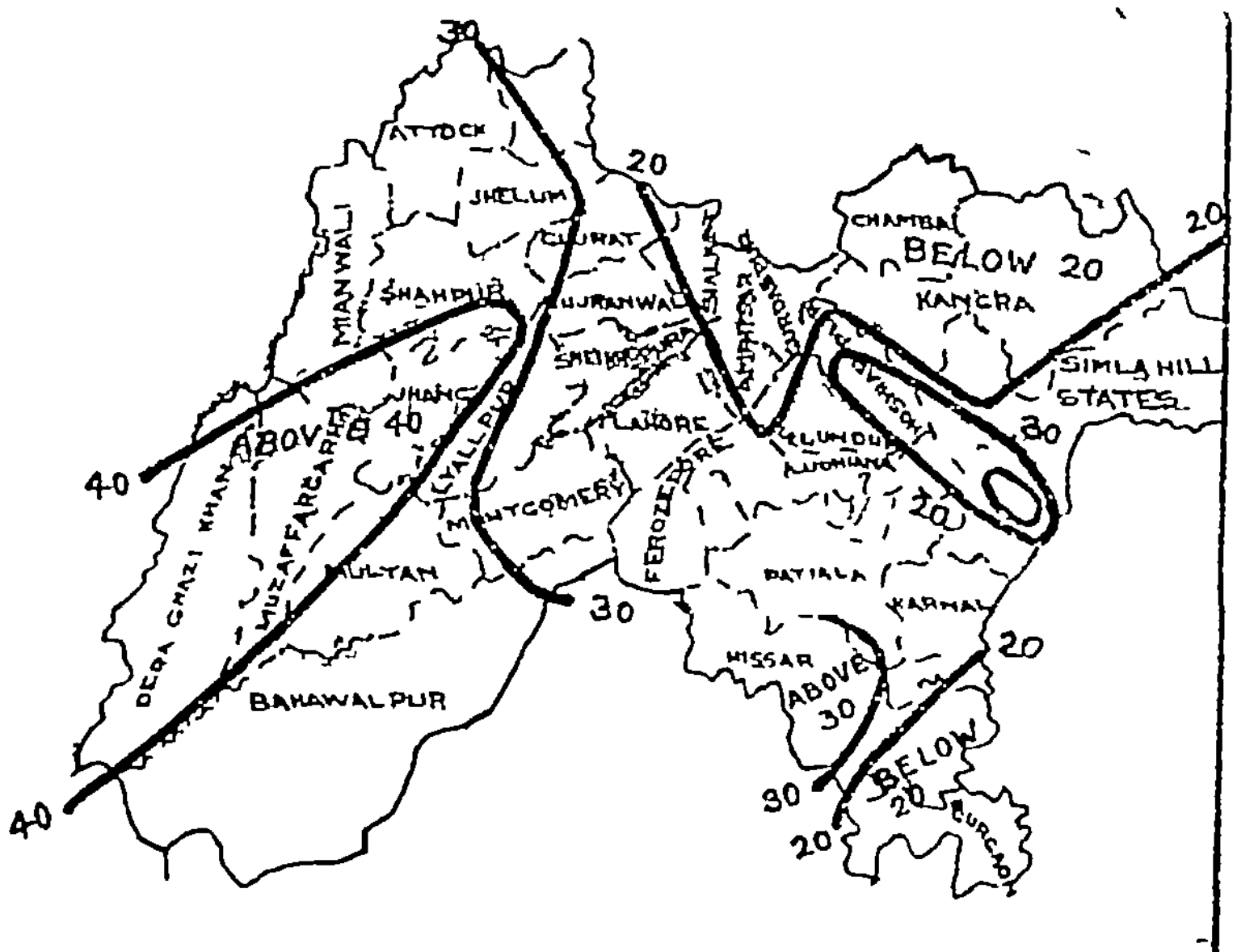

Number of insane per 100,000 of the total population. 1931

Local Distribution of Insanity

126 The map in the margin shows the local distribution of insanity in the Province, the number of the insane of both sexes per 100,000 of the total population of each area being illustrated The figures of Lahore Dis-

trict have been taken after excluding the inmates of the Lahore Mental Hospital born outside the district. It is apparent from the map that the highest number of insane persons is to be found in the Districts of Jhang Muzaffargarh and Dera Ghazi Khan. Poverty drug habit and some peculiarity of their hot climate may have their share but the main cause seems to be the practice prevailing among the inhabitants to marry within a limited circle of relationship Cousin marriages, if the process is repeated generation after generation, are in some cases directly responsible for imbecility and unsoundness of mind in children. The high proportion in some other predominantly Muslim districts also lends support to this view The proportion obtaining to the east of the isopleth showing 30 per 100 000 for the central Punjab is small except for an area of high proportion in Hoshiarpur District and the lower foot-hills of Kalsia. This area is also conspicuous for the smallest proportion of females, and there is possibly a connection between insanity and enforced sexual abstinence. That this is so is evidenced by the greater prevalence of insanity in youth and early manhood This result may also be partly due to better enumeration in these areas and partly to poverty The proportion in the other Sub-Himalayan districts and Kangra and Simla is the lowest being less than 20 per 100 000 of the total population. Hissar has a proportion of over 30 while a little more to the south-east the figures show an improvement

Sex Proportion and Age Distribution Among the Insane.

127 The graph in the margin shows the distribution of the insane by sex and age the number per 100 000 of each sex at various ages being given for 1931 and 1921

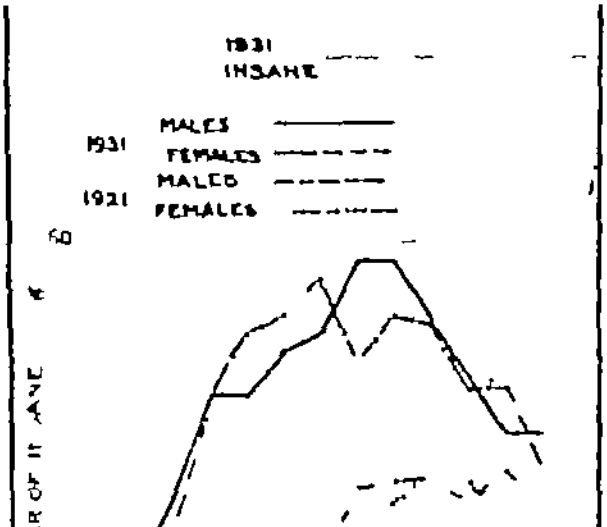

Number of insane per 100 000 of total population of each sex for each age period.

Like all other infirmities the number returned as insane is very small below the age of five but by the age of ten the imbecility of the children would be well established. The proportion then begins to rise steadily till the ages of 35—45 when it is about highest among males Afterwards it begins to fall rapidly among males while among females its decline is rather slow and the highest point is reached at 55—60 The proportions for the 1921 census are about the same and the nature of the two curves is similar except for minor variations due to the new process of smoothing the ages. The only difference at the

---

During the summer months the people of these localities anoint their bodies with oil as protection against the evil effects of excessive heat.

ascertain the number of the persons who were both deaf and dumb and the instructions to enumerators were made very clear on this point both in 1921 and now *The instructions appear to have been carried out more faithfully* on the present occasion.

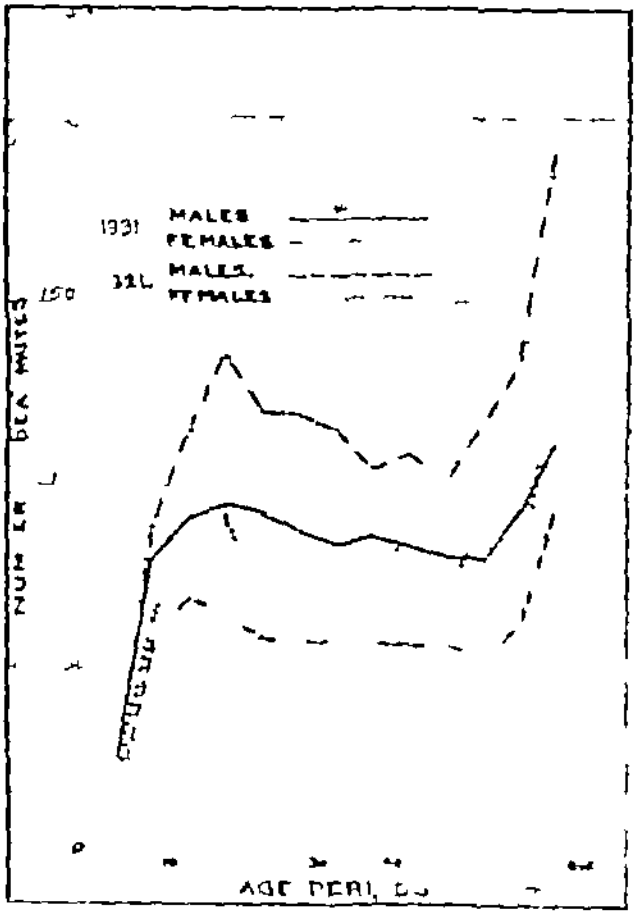

Number of deaf-mutes per 100,000 of total population of each sex for each age-period.

Age Distribution of Deaf-mutes.

120 The graph in the margin shows the age distribution of the deaf and dumb at this census and at the census of 1921 The proportion for both sexes has considerably fallen at all ages though it seems that the figures of ages after 35 have still been swollen by the inclusion of those who have lost their hearing or power of speech owing to extreme old age or a disease such as paralysis. In the earlier ages, of course the figures are for the most part made up of those born deaf and dumb The proportion as in the case of other infirmities rises up to the ages of 10—15 years but thereafter drops gradually till the age of 55 and again rises abruptly The drop in the proportion till the age of 55 shows that among those afflicted with this infirmity the rate of mortality is higher than in the rest of the population

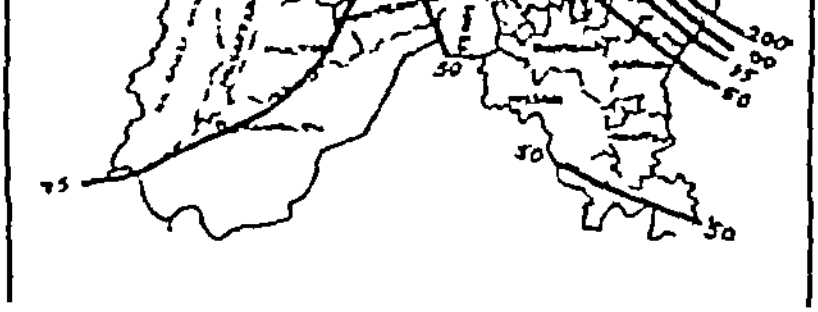

Number of deaf-mutes per 100,000 of the total population 1931.

Local Distribution of Deaf-mutes.

121 The map in the margin shows the local distribution of deaf-mutes The highest proportion is met with in the Himalaya the number evidently rising with the altitude The prevalence of goitre in the

Himalayan areas has undoubtedly something to do with this infirmity, as also congenital syphilis The Indo-Gangetic Plain containing the greatest proportion of Hindu and Sikh population with the wider degree of exogamy has the lowest proportion The proportion in the western and predominantly Muslim districts is higher, the salt range area in Jhelum District showing a proportion of over 100 per 100,000 The high proportion in western districts might therefore have a good deal to do with the practice of cousin-marriage common among Muslims

The Blind.

132 According to the returns there were 69,673 persons totally blind in the Province as against 65,051 ten years ago The increase is mainly due to the increase in the total population The number of blind females per 1,000 blind males is 876

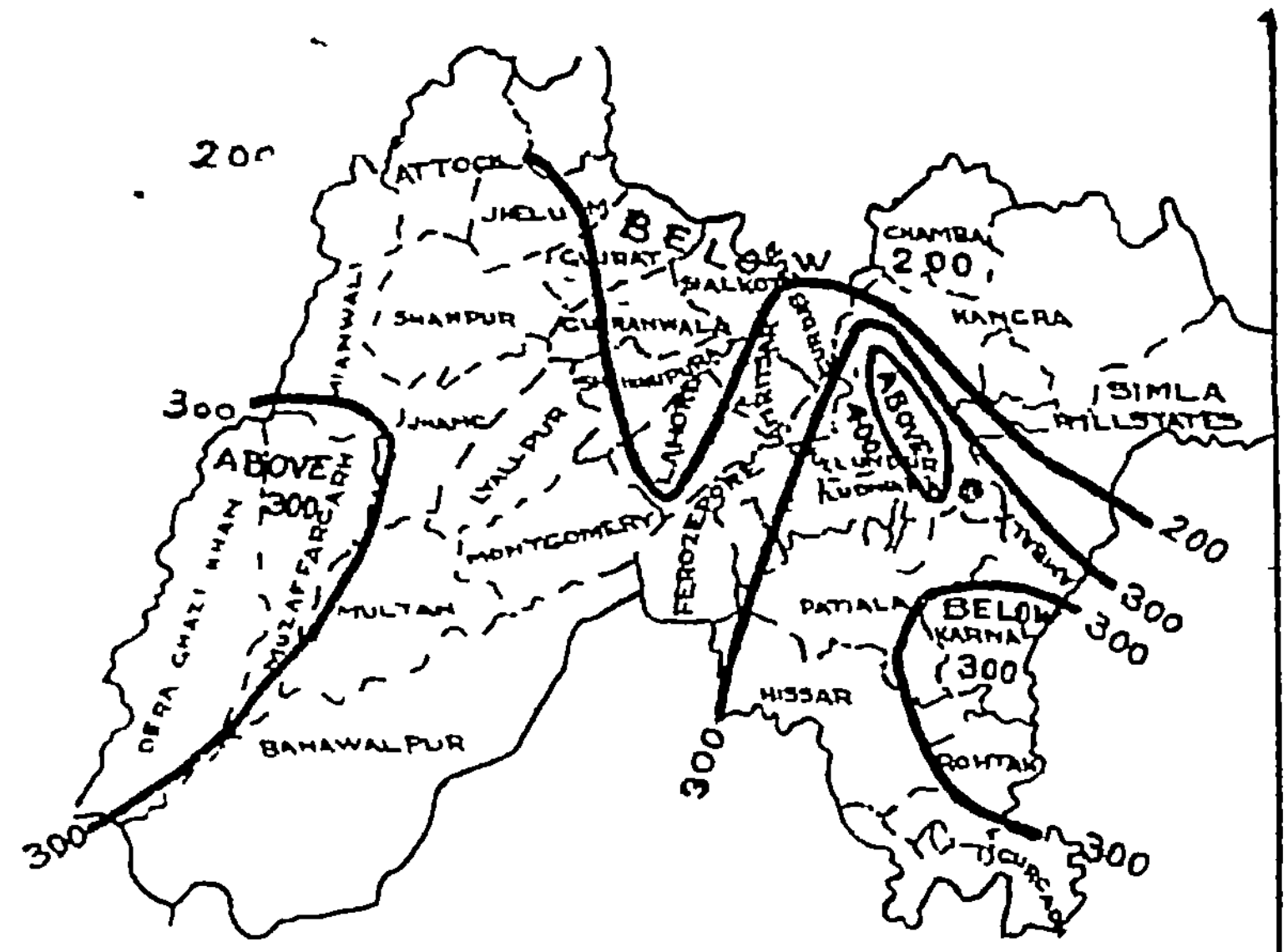
200
ATTOCK
JHELUM
BELOW
GUJRAT
SIALKOT
CHAMBA
200
KANGRA
SHAHPUR
GUJRANWALA
MIANWALI
SHEIKHUPURA
LAHORE
AMRITSAR
GURDASPUR
ABOVE
HOSHIARPUR
JULLUNDUR
LUDHIANA
SIMLA
HILL STATES
300
ABOVE
300
JHANG
LYALLPUR
MONTGOMERY
FEROZEPORE
MUZAFFARGARH
DERA GHAZI KHAN
MULTAN
BAHAWALPUR
300
PATIALA
BELOW
KARNAL
300
HISSAR
300
ROHTAK
GURGAON
200
300
300
300

Number of blind per 100,000 of the total population

The map in the margin shows the local distribution of the blind The proportion of the blind per 100,000 of the total population of each area is given It would appear that the greatest proportion of the blind is to be found in the Hoshiarpur District, mainly resulting from small-pox which according to the statistics available caused proportionately more deaths there during the last decade than in any other district Moreover, this district has got a particularly large proportion of the aged as is evident from the map on page 133, and old people as is well known are much more liable to lose their vision than others The Himalayan districts and states have the smallest proportion, as also Rawalpindi and the northern part of Attock District, evidently because of the cooler climate and comparative absence of dust The districts of eastern Punjab between the Sutlej and the Ghaggar have a higher proportion of blindness than those to the west The proportion in the south-west of the Province is again high, evidently due to the sand and dust and the strong glare of the sun

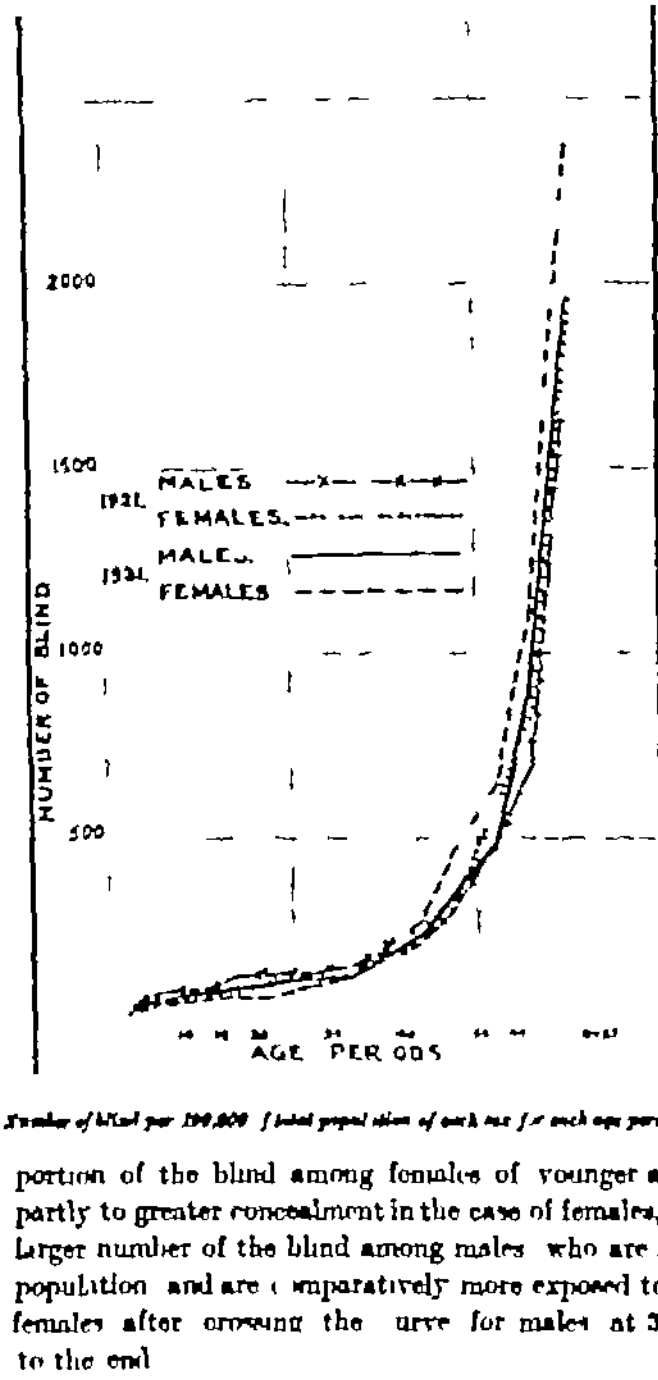

Number of blind per 100,000 of total population of each sex for each age period

Age Distribution of the Blind. 133 The diagram in the margin shows the proportion of the blind per 100,000 of each sex at various ages for this census as well as the last. The number of those born blind seems to be very small and the fewness of blind children below 5 is mainly due to the refusal of fond parents to admit total blindness of their offspring while there is any hope of a cure The proportion up to ages of 30 rises slowly but steadily and afterwards begins to mount rapidly the curve becoming very steep after 5 when senility is undoubtedly the cause

The conditions for both sexes are similar with this difference that the curve for females keep lower than that of males up to the age of 35 when it crosses over indicating a smaller proportion of the blind among females of younger ages, which is attributable partly to greater concealment in the case of females, and partly to the genuinely larger number of the blind among males who are in the majority in the total population and are comparatively more exposed to accidents. The curve for females after crossing the curve for males at 35—40 keeps a higher level to the end

Measures for Combating Blindness. 134 It will be evident from the diagram in the last paragraph that the proportion of the blind to the total population of both sexes has slightly risen since 19[illegible]1 and considering that better means are now available to combat blindness the increase may be attributable to the improvement in enumeration at the present census

Year	[illegible]	Year	[illegible]	Year	[illegible]
1	2	1	2	1	2
1901	[illegible]	1911	[illegible]	1921	11,477
1902	[illegible]	1912	12,663	1922	[illegible]
1903	4,541	1913	[illegible]	1923	13,127
1904	[illegible]	1914	[illegible]	1924	[illegible]
1905	[illegible]	1915	[illegible]	1925	[illegible]
1906	[illegible]	1916	[illegible]	1926	[illegible]
1907	[illegible]	1917	[illegible]	1927	[illegible]
1908	[illegible]	1918	[illegible]	1928	[illegible]
1909	[illegible]	1919	[illegible]	1929	[illegible]
1910	[illegible]	1920	[illegible]	1930	[illegible]

The table in the margin shows the successful operations of cataract performed in the Province annually since 1901 These figures have been supplied by the Inspector-General of Civil Hospitals and show the progress made from year to year But for these operations the number of the blind would be many times greater than it is The available

Year	Moga	Amritsar	Gojra
1	2	3	4
1910	2,387	1,478	
1911	2,534	1,643	
1912	3,245	1,064	
1913	3,411	1,471	
1914	4,734		
1915	4,035	2,183	
1916	6,894	1,888	
1917	5,008	1,215	
1918	7,217	1,892	
1919	7,510	2,890	
1920	8,102	*	
1921	*	*	
1922	6,158	*	
1923	6,123	761	
1924	*	*	
1925	*	*	
1926	*	*	
1927	8,398	1,783	
1928	7,828	*	
1929	6,537	2,204	4 321
1930	7,134	2,073	3,778

*Not available

figures for the three well-known centres, Moga, Amritsar and Gojra, are given in the margin for general interest

Leprosy and its Local Distribution.

135 The figures of leprosy are the least reliable, as it is a disease which the afflicted are anxious to conceal and in many cases can conceal successfully The instructions required the enumerators to distinguish between leucoderma and leprosy, and only to record the latter In a large number of cases an enumerator is not competent enough to make out the disease by merely looking at the sufferer, and in the case of females he has, as a rule, to depend on the version of a male member of the family It might therefore be pertinently asked why if the statistics of leprosy are so incomplete these are at all compiled at each census The answer to this question has already been given, and it may be added that with a better understanding of the object of a census, which is noticeable, an increasing measure of accuracy is being attained, moreover, the figures at any rate give the comparative local distribution of the infirmity, and those who are trying to eradicate it from the land are greatly assisted if they know in what localities their attention is most needed If it be admitted that the tendency to conceal this infirmity is uniformly strong in all parts of the Province the high proportion of lepers in a particular area will show that the number of sufferers there is comparatively larger than elsewhere At the same time it would become possible to locate the special cause of the disease in the particular locality

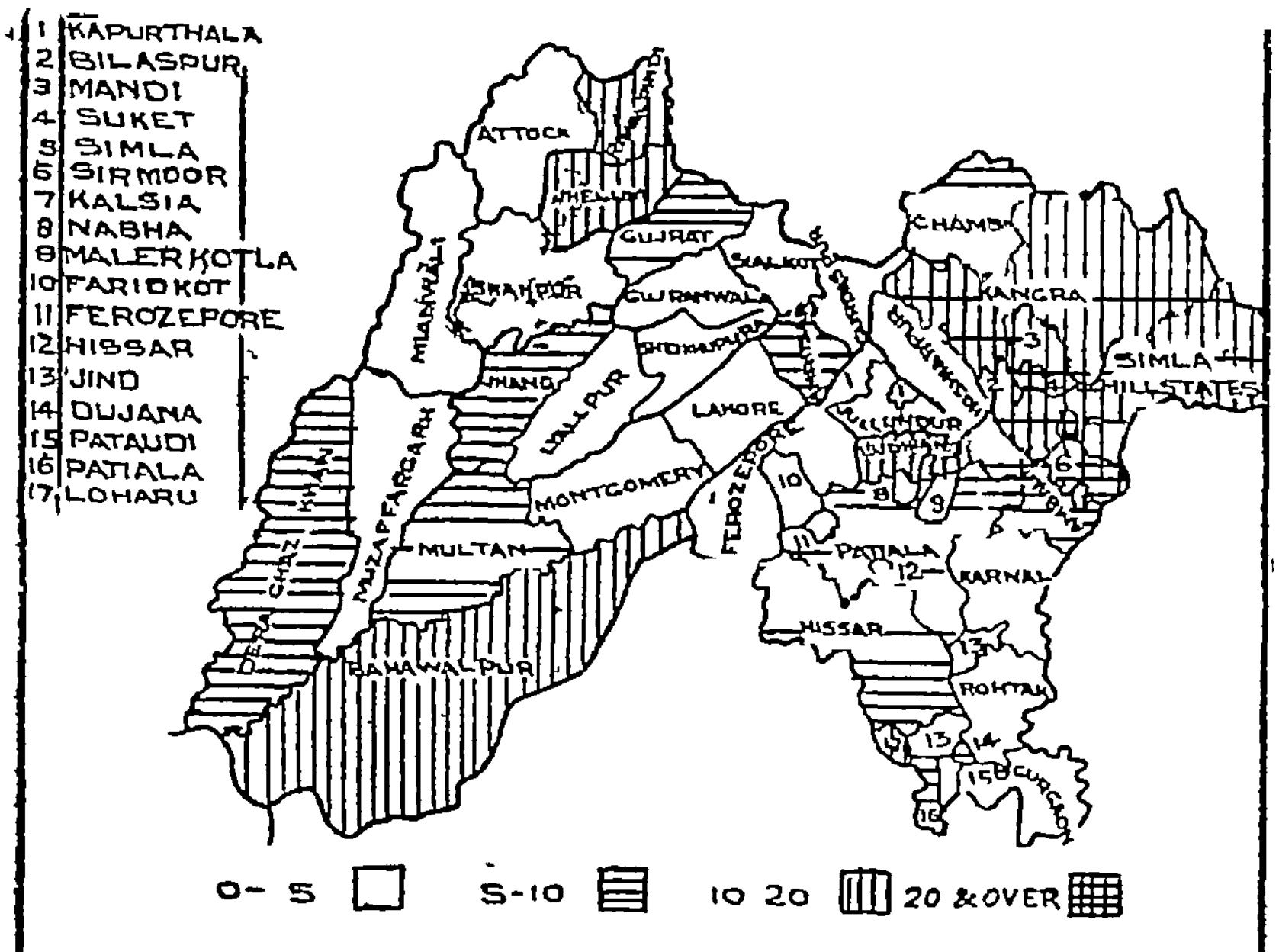
1 KAPURTHALA
2 BILASPUR
3 MANDI
4 SUKET
5 SIMLA
6 SIRMOOR
7 KALSIA
8 NABHA
9 MALERKOTLA
10 FARIDKOT
11 FEROZEPORE
12 HISSAR
13 JIND
14 DUJANA
15 PATAUDI
16 PATIALA
17 LOHARU
ATTOCK
JHELUM
GUJRAT
SIALKOT
CHAMBA
KANGRA
SIMLA HILL STATES
MIANWALI
SHAHPUR
GUJRANWALA
SHEIKHUPURA
JHANG
LYALLPUR
LAHORE
JULLUNDUR
LUDHIANA
MONTGOMERY
FEROZEPORE
MUZAFFARGARH
DERA GHAZI KHAN
MULTAN
BAHAWALPUR
PATIALA
KARNAL
HISSAR
ROHTAK
GURGAON
0- 5 □
5-10 ▤
10 20 ▥
20 & OVER ▦

Proportion of lepers per 100,000 of the population

The map in the margin shows the local distribution of lepers, the number per 100,000 of total population of each area being shown The number of foreign-born inmates of leper asylums has been excluded in each case

The proportion of the leprous is largest in the Himalayan Natural Division, the figures of Kangra (39) and Mandi (144) being the highest The affliction in the hill areas arises for the most part from the prevalence of venereal diseases The Ludhiana, Jullundur and Rawalpindi Districts and Bahawalpur State have the next highest proportion Most of the central districts as well as the districts in the extreme north-west and the south-east across the Ghaggar show the smallest proportion.

Leprosy at Different Ages.

136 Let us now examine the number of lepers at different ages as compared to the total population at those ages. This proportion for the present census as well as the last is illustrated by the graph in the margin. We find that lepers form about the same proportion of the present population as they did ten years ago of the 1921 population. The proportion among both the sexes is also practically the same the 1931 curves being generally smoother. We notice that the maximum proportion of lepers is in the population aged between 40 and 55 years. It may therefore, be regarded as an infirmity of the middle aged, the small proportion of lepers among persons of over 50 indicating that lepers do not survive the age of 50 in considerable numbers.

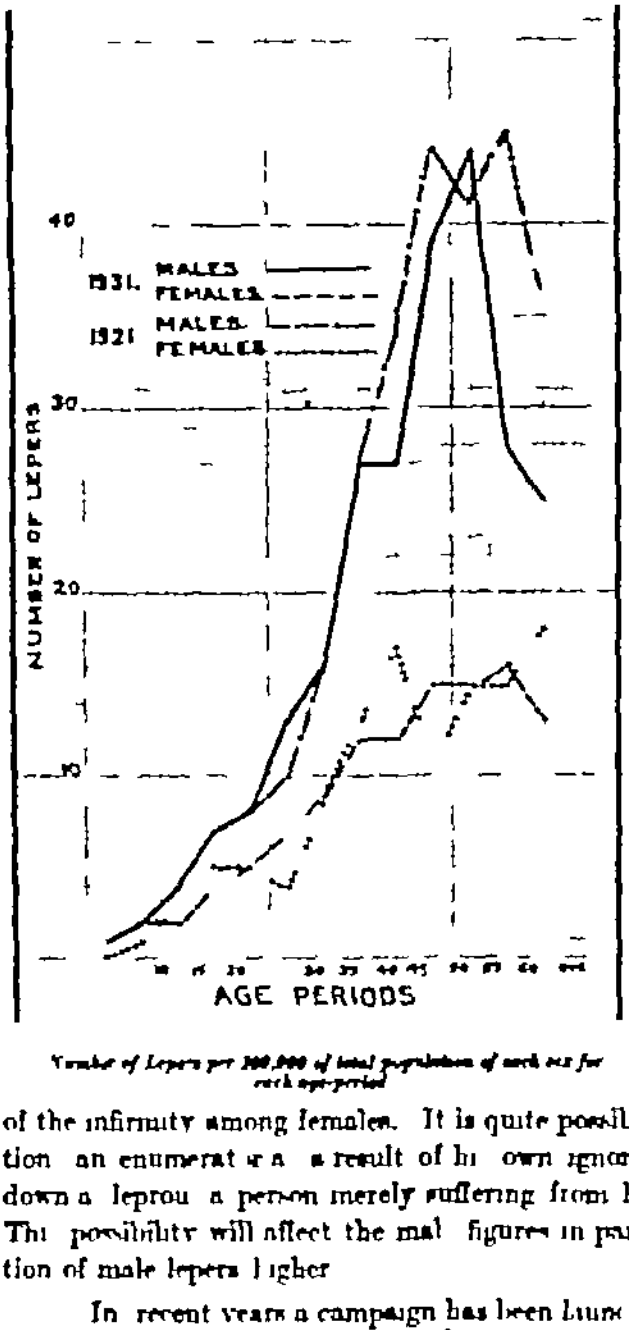

Number of Lepers per 100,000 of total population of each sex for each age-period

Proportion of Sexes among the Lepers.

137 It will have been noticed from the diagram above that proportionately fewer females are afflicted with leprosy than males. This disparity is partly due to greater concealment of the infirmity among females. It is quite possible that despite clear instruction an enumerator as a result of his own ignorance of the disease may put down as leprous a person merely suffering from leucoderma, yaws or syphilis. This possibility will affect the male figures in particular and raise the proportion of male lepers higher.

In recent years a campaign has been launched to eradicate leprosy from the Province and a note on the subject written specially by the Director of Public Health is printed as Appendix II at the end of this Report and briefly describes the details of these activities.

Leper Asylums in the Province.

Leper Asylum.	1931	1921
1	2	3
Palampur (Kangra District).	35	64
Sabathu (Simla District).	84	173
Tarn Taran (Amritsar District)	129	221
Ambala	105	69
Rawalpindi	32	143

138 In the margin is shown the number of patients in residence in the different asylums of the Province in 1931 and 1921. Admission to these asylum is voluntary and lepers are maintained and treated by specialists in the disease according to up-to-date methods and free of any charge. Any leper applying for admission is admitted if accommodation

is available, but in the case of Palampur those belonging to the Kangra District are given preference Similarly there is no compulsion for patients to stay in the asylums and they are at liberty to leave whenever they so desire The authorities, however, have the power not to re-admit those who have proved undesirables by previous misbehaviour Efforts are made as far as possible, to prevent migration of lepers from one asylum to another, because this necessitates their travelling in public carriages and endangering other passengers with possible infection

Age Distribution Among Different Infirmities and Total Population

139 The extent of prevalence of the various infirmities at various periods of life is clearly brought out by the table in the margin, in which the age distribution of 10,000 suffering from each infirmity is compared to the similar age distribution of the total population The highest proportion of the insane is found during adolescence and youth, that is from the ages of 10 to 35 years The proportion of deaf-mutes is greatest in childhood and goes on diminishing after the age of 15 The proportion of the blind rises with the years of age, while the leprous are most numerous in the middle age, *i e*, from 35 to 55

Age distribution of 10,000 of each sex.

Age.	TOTAL POPULATION		INSANE.		DEAF MUTES		BLIND		LEPROUS	
	Males.	Females	Males	Females	Males.	Females	Males	Females	Males	Females
1	2	3	4	5	6	7	8	9	10	11
0—5	1,468	1,608	212	270	458	618	181	158	141	355
5—10	1,301	1,346	847	941	1,314	1 441	351	313	253	508
10—15	1,214	1,101	1,062	1,055	1,394	1,474	393	340	338	444
15—20	936	928	1,114	1,085	1,115	1,102	377	281	531	660
20—25	924	947	1,096	1,050	1,081	1,009	404	298	606	825
25—30	815	802	1,075	930	906	842	394	335	820	952
30—35	738	688	1,013	860	782	722	386	342	955	977
35—40	570	538	915	853	621	560	427	435	1,233	1,015
40—45	487	467	785	765	514	473	483	501	1,041	939
45—50	421	387	600	632	431	399	649	750	1,304	926
50—55	341	311	420	471	344	303	684	806	1,177	762
55—60	260	231	279	386	302	258	970	1,033	571	622
60 and over	525	466	573	684	738	709	4,298	4,405	1,021	1,015

Comparison of the Number of the Infirm with Other Provinces.

140 We can now compare the extent of the prevalence of the infirmities in this Province with that obtaining in some of the other Indian provinces and states The marginal table may be examined for this We find that the Punjab is very fortunate in respect of some of the infirmities It has got about the smallest number of the insane and lepers The number of blind is, however, very high, being only exceeded in the sandy tracts of Ajmer-Merwara and Rajputana Agency The deaf-mutes are most numerous in Kashmir, which adjoins our Himalayan Division, and it would not be improper therefore to repeat that the altitude and climate and congenital syphilis are greatly responsible for this affliction As regards leprosy, only Ajmer-Merwara, Baluchistan and N W F Province have an advantage over the Punjab The areas, which are the worst off in this respect, are Burma, Assam and Kashmir

Infirm per 100,000 of the total population

Serial No.	Province or State.	Insane	Deaf mutes.	Blind.	Lepers
1	Punjab	29	69	245	10
2	N W F Province	31	66	102	10
3	Jammu & Kashmir	39	159	156	56
4	Baluchistan	48	67	195	6
5	Ajmer Merwara	35	73	386	3
6	Rajputana Agency	23	28	282	5
7	Bengal	44	70	73	42
8	Burma	88	116	189	76
9	Assam	59	75	107	60

Sex Proportion by Age Among the Infirm.

141 An idea of the sex proportion among the infirm could be formed from the curves of the present age distribution of each sex a reference to which was made in some of the preceding paragraphs. There however was shown the proportion of the infirm in the total population of each sex at various ages. The diagram in the margin gives the number of females suffering from each infirmity per 1 000 male sufferers at each age-period. The most prominent feature of these curves is that the proportion of females is everywhere less than 1 000 except that in the case of the blind females of 45—50 and 60—65 are in excess of the males. All the other curves including the one for the blind show a drop sharp or gradual at the ages of marriage which is an indication of the need for concealment at these ages.

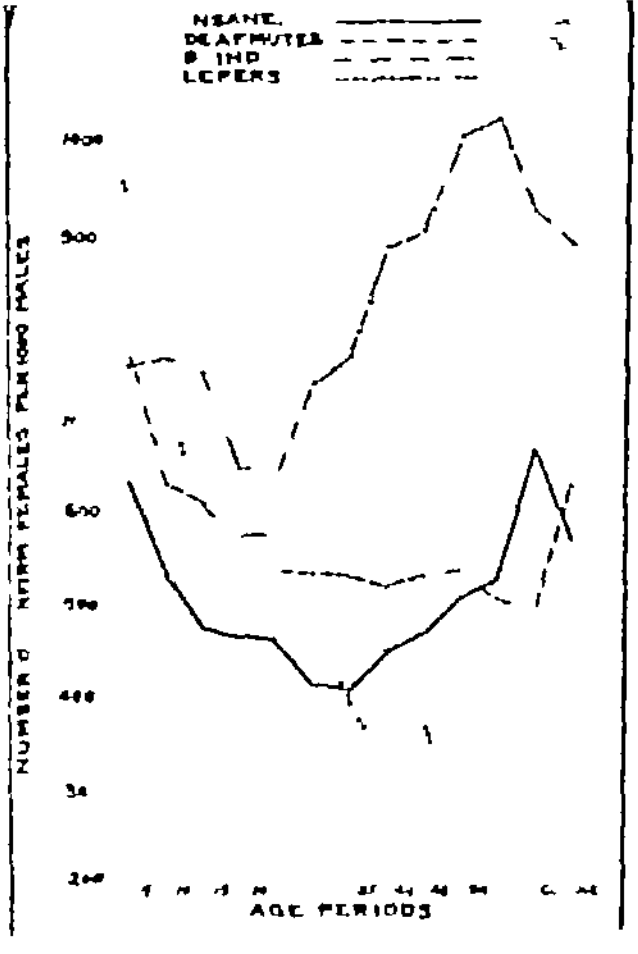

Number of infirm females per 1,000 males by age-periods.

SUBSIDIARY TABLE I

Infirm per 100,000 of the Population of each Sex at each of the last five Censuses

District or State and Natural Division	Insane										Deaf mutes									
	Males					Females					Males					Females				
	1931	1921	1911	1901	1891	1931	1921	1911	1901	1891	1931	1921	1911	1901	1891	1931	1921	1911	1901	1891
1	2	3	4	5	6	7	8	9	10	11	12	13	14	15	16	17	18	19	20	21
PUNJAB	36	35	31	43	36	21	20	20	26	21	79	106	95	91	115	56	72	70	66	77
I.—Indo-Gangetic Plain West	*36*	*35*	*31*	*33*	*31*	*18*	*17*	*17*	*17*	*15*	*52*	*70*	*58*	*47*	*74*	*33*	*42*	*38*	*29*	*45*
1 Hissar	40	27	22	28	34	20	14	15	17	20	55	77	60	74	86	33	47	50	49	55
2 *Loharu State*	24	18	20			16	10	23			73	183	130	135	82	45	93	116	85	44
3 Rohtak	18	23	20	31	34	8	10	9	13	11	41	57	45	30	67	25	30	25	22	41
4 *Dujana State*	48	7	37	40	36	7	8	8	17	16	144	88	157	94	94	44	49	58	26	
5 Gurgaon	19	10	19	16	18	9	10	10	8	6	43	64	65	71	50	31	40	58	41	40
6 *Pataudi State*	20		10	35	10		12			22	20	52	79	87	70	34	23	21	38	44
7 Karnal	27	25	20	25	26	18	13	16	17	16	41	43	29	26	66	26	29	15	17	36
8 Jullundur	34	36	31	41	33	17	22	24	23	14	67	81	59	46	84	44	57	38	24	60
9 *Kapurthala State*	22	27	28	25	35	12	26	19	16	18	53	64	83	94	102	45	43	98	50	66
10 Ludhiana	32	24	25	20	32	24	10	14	21	15	50	83	58	42	80	33	37	25	31	45
11 *Maler Kotla State*	15	34	32	72	44	5	12	20	28	20	28	32	49	60	49	24	12	23	42	31
12 Ferozepore	26	31	27	29	34	14	18	19	17	22	60	83	59	41	73	35	40	38	23	46
13 *Faridkot State*	23	14	14	14	16	12	6	11	9	6	31	50	43	48	56	22	32	21	49	25
14 *Patiala State*	25	25	19	11	19	12	12	11	5	9	50	78	52	30	50	27	48	34	23	27
15 *Jind State*	16	17	19	10	26	13	5	6	2	13	51	54	54	39	67	27	35	36	23	44
16 *Nabha State*	33	19	12	17	15	14	8	9	9	7	62	50	67	79	77	30	24	34	58	42
17 Lahore	144	129	102	100	57	43	45	46	48	29	53	77	73	42	102	35	49	45	30	70
18 Amritsar	16	10	21	34	20	10	12	13	15	12	41	53	47	37	76	30	30	36	26	37
19 Gujranwala	23	17	20	35	30	21	13	17	19	15	58	60	74	50	86	43	43	45	35	47
20 Sheikhupura	32	29				10	17				75	96				45	44			
II.—Himalayan	*21*	*31*	*21*	*59*	*44*	*10*	*18*	*16*	*38*	*27*	*227*	*329*	*285*	*326*	*379*	*178*	*240*	*226*	*279*	*286*
21 *Sirmoor State*	38	30	29	61	92	20	61	38	42	66	206	344	216	260	374	186	221	211	239	248
22 Simla	51	13	16	4	25	8	20	14	28	18	94	131	109	153	185	113	135	137	169	163
23 *Simla Hill States*	30	33	10	26	27	14	17	7	8	17	225	284	181	220	306	196	235	178	234	253
24 *Bilaspur State*	8	10				4	2				56	151				56	92			
25 Kangra	14	29	26	96	46	9	13	18	64	30	335	437	437	404	477	241	303	311	356	344
26 *Mandi State*	19	34	9	4	34	11	17	3	10	19	131	184	51	48	177	108	122	37	31	93
27 *Suket State*		24	7	41	18		8	4	4	16	81	112	107	176	137	98	51	62	233	41
28 *Chamba State*	4	54	34	42	64	3	25	26	24	17	12	316	258	384	466	7	276	242	375	456
III.—Sub-Himalayan	*30*	*27*	*24*	*42*	*34*	*19*	*15*	*17*	*26*	*22*	*85*	*114*	*115*	*86*	*121*	*63*	*81*	*83*	*63*	*83*
29 Ambala	32	23	36	62	49	22	13	24	37	30	70	108	125	60	132	76	86	80	39	79
30 *Kalsia State*	63	31	48	89	40	38	36	93	73	74	165	267	281	273	268	185	254	256	215	200
31 Hoshiarpur	42	33	24	42	26	25	12	8	25	11	118	128	115	109	132	78	91	86	82	103
32 Gurdaspur	20	23	19	30	21	13	14	17	19	9	77	108	114	62	114	58	74	72	50	62
33 Sialkot	19	17	14	27	10	11	12	11	16	10	58	92	73	46	70	36	56	55	31	43
34 Gujrat	20	30	20	40	41	12	18	12	29	29	71	107	96	77	121	45	70	65	45	70
35 Jhelum	34	34	31	57	43	36	17	15	32	39	120	140	147	88	143	82	98	99	72	112
36 Rawalpindi	28	26	22	42	44	19	16	23	29	32	76	122	144	150	142	62	99	125	110	122
37 Attock	45	40	34			26	21	30			99	107	131			72	74	96		
IV.—North-West Dry Area	*46*	*44*	*41*	*60*	*53*	*31*	*30*	*30*	*40*	*34*	*87*	*107*	*94*	*126*	*116*	*56*	*68*	*66*	*85*	*71*
38 Montgomery	34	33	53	73	59	23	24	31	40	37	80	91	103	158	115	55	57	76	91	67
39 Shahpur	40	34	26	71	36	29	26	24	43	20	99	98	102	151	150	66	72	79	107	94
40 Mianwali	43	44	37	39		27	15	17	41		87	131	94	142		58	79	69	109	
41 Lyallpur	34	28	25	27		24	18	19	16		69	71	56	67		44	42	36	44	
42 Jhang	72	63	51	76	55	39	35	36	44	29	103	156	106	155	148	74	98	74	94	78
43 Multan	40	43	47	84	53	33	31	39	58	28	85	102	117	166	106	52	64	84	102	76
44 *Bahawalpur State*	44	49	33	37	62	30	43	23	29	37	87	110	65	102	64	58	69	48	62	43
45 Muzaffargarh	61	56	61	79	81	51	48	52	49	54	92	138	119	118	167	53	85	75	73	90
46 Dera Ghazi Khan	59	62	51	80	40	34	32	29	47	35	97	115	103	133	94	52	70	64	103	56

SUBSIDIARY TABLE I.—*concluded.*

Infirm per 100 000 of the Population of each Sex at each of the last five Censuses.

District or State and Natural Division.	Blind.										Lepers.									
	Males.					Females.					Males.					Females.				
	1921	1911	1901	1891	1881	1921	1911	1901	1891	1881	1921	1911	1901	1891	1881	1921	1911	1901	1891	1881
1	22	23	24	25	26	27	28	29	30	31	32	33	34	35	36	37	38	39	40	41
PUNJAB	[illegible]	[illegible]	[illegible]	[illegible]	342	[illegible]	[illegible]	361	314	361	12	13	17	[illegible]	37	6	6	8	11	13
I. Indo-Gangetic Plain West	*263*	*303*	*235*	*340*	[illegible]	*225*	*305*	[illegible]	*349*	[illegible]	*8*	*7*	*10*	*14*	*22*	*2*	*2*	*6*	*5*	*6*
1. Hissar	315	379	306	335	455	364	364	439	[illegible]	595	12	6	11	16	27	2	2	2	2	6
— *Loharu State*	227	310	130	184	100	212	321	197	136	121	24	37		12	37					
3. Rohtak	202	247	255	[illegible]	308	200	236	[illegible]	257	[illegible]	4	5	4	10	18	1	1	2	1	5
4. *Dujana State*	290	443	448	304	311	218	322	[illegible]	376	313	14	20	15	64	[illegible]					
5. Gurgaon	313	392	373	338	362	344	407	512	416	466	5	7	11	50	43	1	1	2	2	8
6. *Pataudi State*	202	400	338	400	371	262	400	466	461	322		10				11				
7. Karnal	277	304	290	342	436	272	282	262	351	464	4	6	15	13	22	1	1	6	2	4
8. Jullundur	341	377	378	424	420	401	411	404	462	582	1	2	6	20	31		1	1	6	10
9. *Kapurthala State*	196	302	245	278	435	316	290	378	325	373	2	5	23	18	46		1	2	1	10
10. Ludhiana	280	296	283	606	641	237	261	318	607	632	10	4	17	18	27	11	1	12	7	10
11. *Maler Kotla State*	203	286	295	601	449	161	210	232	717	327	2			2	47					14
12. Ferozepore	302	342	347	296	403	280	302	344	287	801	4	7	6	9	22	2	1	2	4	6
13. *Faridkot State*	301	236	270	374	403	281	367	205	367	460	2	2	2	11	17	1			5	4
14. *Patiala State*	236	239	[illegible]	108	278	327	316	238	133	218	7	12	14	23	18	2	4	6	6	4
15. *Jind State*	316	228	315	145	261	229	277	198	128	226	2	5	3	5	18	1	1		2	1
16. *Nabha State*	436	278	288	419	378	208	210	218	249	304	1	5	4	16	15	1		1	7	3
17. Lahore	166	225	203	236	262	184	262	297	334	433	2	2	4	8	7	1	1	1	2	2
18. Amritsar	221	270	267	464	258	232	242	308	433	330	23	16	28	56	38	17	8	17	14	10
19. Gujranwala	173	186	236	296	300	186	190	228	319	371	8	7	2	6	7	2	3	1	3	4
20. Sheikhupura	222	234				222	204				4	3				3				
II.—Himalayan	*145*	*173*	*135*	*156*	*183*	*167*	*166*	*166*	*154*	*201*	*81*	*130*	*117*	*163*	[illegible]	*34*	*47*	*66*	*78*	*83*
21. *Sirmoor State*	204	230	174	220	202	278	282	272	206	261	146	203	231	306	309	30	[illegible]	72	103	82
22. *Simla*	153	96	34	76	102	362	161	119	112	101	440	237	206	294	317	216	220	144	223	343
23. *Simla Hill States*	178	136	80	66	136	196	131	108	105	154	82	137	89	161	204	40	58	42	62	94
24. *Bilaspur State*	71	67				40	72				19	19				6	4			
25. Kangra	160	164	162	166	222	165	160	177	162	234	84	73	104	133	155	32	29	40	58	54
26. *Mandi State*	155	196	81	63	116	214	125	84	47	115	160	119	82	96	225	93	73	22	83	72
27. *Suket State*	78	132	117	190	61	90	66	84	173	41	62	106	121	138	63	27	35	19	61	16
28. *Chamba State*	34	159	96	111	195	37	168	96	171	275	13	121	171	250	416	2	77	121	165	224
III.—Sub-Himalayan	*229*	*211*	*227*	*289*	*316*	*212*	*240*	*279*	*318*	*335*	*9*	*11*	*11*	*19*	*37*	*5*	*6*	*7*	*10*	*13*
29. Ambala	316	294	294	308	402	336	290	314	424	338	13	17	19	25	65	7	8	6	4	10
30. *Kalsia State*	334	225	238	300	449	222	307	301	306	302	3	12	16	22	9		4		5	10
31. Hoshiarpur	377	329	372	322	390	434	316	231	495	415	3	7	16	22	81		1	3	10	12
32. Gurdaspur	212	274	279	331	299	191	290	278	318	272	3	7	9	14	29	2	2	2	5	6
33. Sialkot	198	212	234	262	282	175	274	212	273	254	5	6	13	19	21	4	4	4	5	8
34. Gujrat	194	222	171	296	298	190	222	170	219	317	6	8	19	25	36	4	8	7	16	14
35. Jhelum	215	229	221	296	212	222	219	16	205	319	17	17	18	30	28	14	14	15	12	19
36. Rawalpindi	112	121	131	159	172	104	106	119	122	196	31	37	26	32	46	16	14	13	15	25
37. Attock	184	165	168			184	162	183			4	7	4			4	2	3		
IV.—North-West Dry Area	*217*	*211*	*2.5*	*253*	*301*	*230*	*219*	*217*	*279*	*317*	*6*	*6*	*5*	*8*	*6*	*4*	*3*	*3*	*7*	*4*
38. Montgomery	219	286	290	232	343	213	190	210	31	231	4	5	4	16	8	2	2	1	7	3
39. Shahpur	197	202	213	375	403	216	222	222	439	456	4	3	3	5	10	2	1	3	4	6
40. Mianwali	213	167	171	221		214	191	201	304		5	3	3	4		2	3	2	6	
41. Lyallpur	212	295	177	196		223	168	182	121		2	4	3	4		3		1	3	
42. Jhang	201	221	221	263	283	187	194	233	222	301	6	4	1	4	6	4	2	2	2	4
43. Multan	207	173	237	260	221	180	179	266	262	231	10	10	4	15	7	6	5	2	7	2
44. *Bahawalpur State*	201	229	152	262	263	213	222	142	219	244	10	9	6	13	6	10	5	7	11	3
45. Muzaffargarh	273	231	293	247	399	236	262	311	306	496	2	7	1	7	18	3	2	4	4	7
46. Dera Ghazi Khan	279	271	307	290	274	230	237	269	254	325	7	6	4	14	6	4	3	1	11	6

NOTE.—There are 1 Mental Hospital and 5 Leper Asylums in the Province. The corrected proportion for districts containing Leper and Lunatic Asylums after deducting the number of inmates born outside the district in which these asylums are situated, is as follows:—

Name of Asylum.	District where situated.	Corrected Proportion.	
		Males.	Females.
1	2	3	4
Mental Hospital.			
1. Lahore	Lahore	22	21
Leper Asylums.			
2. Tarn Taran	Amritsar	11	6
3. Subathu	Simla	183	96
4. Ambala	Ambala	8	7
5. Rawalpindi	Rawalpindi	19	9
6. Palampur	Kangra	81	22

SUBSIDIARY TABLE II

Infirm per 100,000 and Females infirm per 1,000 Males at certain Age-periods (1931 Census)

Age	Number afflicted per 100,000 of total population of each sex for each age period								Number of Females afflicted per 1,000 Males			
	Insane		Deaf-mutes		Blind		Lepers					
1	2 Males	3 Females	4 Males	5 Females	6 Males	7 Females	8 Males	9 Females	Insane 10	Deaf mutes 11	Blind 12	Lepers 13
ALL AGES	36	21	79	56	239	252	13	6	484	582	876	398
0—5	5	3	25	20	20	23	1	1	638	786	705	1,000
5—10	24	15	80	59	65	59	2	2	538	638	775	800
10—15	32	10	91	60	77	72	4	2	481	615	757	522
15—20	43	25	95	66	96	76	7	4	471	575	654	495
20—25	43	24	93	59	104	79	8	5	408	543	646	542
25—30	48	24	88	58	116	105	13	7	410	541	745	457
30—35	50	26	84	58	125	125	16	9	411	537	776	407
35—40	58	33	86	58	179	203	27	12	451	525	891	328
40—45	58	34	84	56	236	271	27	12	472	535	913	359
45—50	51	34	81	57	368	488	39	16	510	530	1,012	283
50—55	45	32	80	54	479	652	44	15	531	513	1,032	258
55—60	39	35	93	62	893	1,127	28	16	669	496	934	434
60 and over	30	31	111	97	1 952	2,377	25	13	578	630	808	396

SUBSIDIARY TABLE III.

Distribution of the Infirm by Age per 10,000 of each Sex (five Censuses)

Age period.	Insane.										Deaf mutes									
	Males					Females					Males					Females				
	1931	1921	1911	1901	1891	1931	1921	1911	1901	1891	1931	1921	1911	1901	1891	1931	1921	1911	1901	1891
0—5	212	95	73	184	301	279	155	137	219	375	458	285	323	320	640	618	392	430	409	781
5—10	847	682	627	816	1,016	941	672	676	876	966	1 314	1 224	1,463	1 305	1,431	1,441	1,367	1,433	1,475	1,514
10—15	1,062	1,009	1,051	1,267	1,171	1,055	955	1 046	1 214	1,318	1,304	1,319	1 375	1,437	1,333	1,474	1,374	1,389	1,465	1,354
15—20	1,114	1,030	1,138	1,190	1,553	1,085	904	1 156	1,311	1,441	1 115	1,091	1,173	1,193	1,441	1,102	1,008	1,181	1,136	1,489
20—25	1,096	1,098	1,236	1 067	1,200	1,050	893	1,128	957	1,052	1,081	864	1 056	994	995	1,009	811	1,049	918	920
25—30	1,075	1,209	1,282	1,139	1,222	930	938	1,010	1 008	1,066	906	922	1,038	973	957	842	771	901	910	905
30—35	1,013	1,209	1,258	1,049	834	860	964	1,151	1,043	972	782	813	919	800	609	722	786	895	914	518
35—40	915	741	747	780	865	853	743	735	693	920	621	541	526	569	665	560	567	545	531	677
40—45	785	841	810	800	468	705	969	978	763	343	514	573	626	661	321	473	607	642	605	316
45—50	600	549	511	389	485	632	628	530	364	686	431	358	338	359	467	399	350	324	302	512
50—55	420	582	469	480	216	471	774	594	576	238	344	508	422	409	203	303	546	431	420	140
55—60	279	257	192	164	344	380	266	201	187	503	302	256	148	150	436	258	176	153	156	412
60 and over	573	698	606	675	335	684	1,079	658	790	421	738	1,246	593	734	502	799	1,149	621	759	454
Age period	Blind										Lepers									
0—5	181	187	193	181	306	158	148	164	120	212	141	50	54	65	57	355	95	163	149	99
5—10	354	399	422	440	444	313	294	310	311	317	253	225	116	138	72	508	258	245	312	109
10—15	393	433	401	478	453	340	307	306	347	383	338	350	175	298	194	444	448	268	350	405
15—20	377	421	418	429	595	281	270	312	351	478	531	380	394	336	549	660	597	594	558	752
20—25	404	366	419	435	523	298	339	332	364	410	606	420	452	452	663	825	570	513	655	688
25—30	394	415	470	512	613	335	353	389	432	554	829	575	690	791	1,127	952	543	641	796	1,214
30—35	386	432	496	575	495	342	400	498	546	434	955	820	864	1,132	1,051	977	1,126	1,049	1,161	951
35—40	427	394	429	452	682	436	411	397	413	703	1,233	1,005	1,106	872	1,605	1,015	990	1,142	930	1,533
40—45	483	502	673	719	430	504	602	801	778	454	1,041	1 335	1,536	1,628	868	939	1,001	1,573	1,302	752
45—50	649	477	518	483	942	750	493	502	486	1,104	1,304	1,165	1,039	1,013	1,391	926	624	723	670	1,058
50—55	684	862	980	927	478	806	1,050	1,094	1,057	463	1,177	1,310	1,420	1,281	680	762	1,045	1,189	1,086	511
55—60	970	559	496	504	1,496	1,033	563	406	495	1,718	571	635	537	528	1,051	622	407	478	439	901
60 and over	4 298	4,553	4,031	3,865	2 643	4,405	4,770	4 429	4,300	2,710	1 021	1,730	1,617	1,466	783	1,015	1,696	1,422	1,592	937

CHAPTER VIII

OCCUPATIONS OR MEANS OF LIVELIHOOD

SECTION 1.—General.

142. Instructions about the return of occupations. 143. Changes in instructions since 1921. 144. Classification of occupations. 145. Comparison with the figures of last census. 146. Earners and working dependants. 147 Female workers. 148. Subsidiary occupations. 149. Comparison of the population of workers with other provinces. 150. Distribution of non-working dependants.

SECTION 2.—Detailed Examination of Occupations.

151 Detailed examination of occupational distribution. 152. Cultivation. 153. Cultivating owners and tenants. 154. Agricultural labourers. 155. Cultivating owners and co-sharers in holdings. 156. Cultivation of special crops. 157. Stock-raising. 158. Birds and bees. 159. Order 2 Fishing. 160. Sub-Class II, Order 3, Exploitation of Minerals. 161. Class B. 162. Sub-Class III, Industry 163. Sub-Class IV Transport. 164 Sub-Class V Trade. 165. Class C, Administration; Public Force. 166. Service of the State 167 Professions and Liberal Arts. 168. Class D Miscellaneous. 169 Beggars and vagrants.

SECTION 3.—Occupations of Selected Castes.

170 Occupations of selected castes. 171. Occupations of Brahmans. 172. Female workers in each caste.

SECTION 4.—Educated Unemployment.

173 Educated unemployment.

Reference to Statistics.

The main statistics of occupations for the total population will be found in Imperial Table X.

Imperial Table XI furnishes particulars of occupations followed by members of certain selected castes or tribes as well as Europeans, Armenians and Anglo-Indians in areas where they are numerous. In this table the occupations are arranged under 12 main heads which closely correspond to the sub-classes in the general scheme of classification.

In addition to these tables, there are six Subsidiary Tables appended to this Chapter as mentioned below

Subsidiary Table I ( ) gives, for the Province as whole, the number of workers per 10,000 of the total population, engaged in each occupation falling under each class, sub-class and order recorded in cities and the whole Province excluding cities together with their percentage.

Subsidiary Table I (b) gives the same information as Subsidiary Table I ( ) for subsidiary occupation of earners only

Subsidiary Table II ( ) gives for each Natural Division, District and State the number of non-working dependants, working dependants and earners (principal occupation) out of every 10,000 persons as well as the number *per mille* of the total population, of earners (principal occupation) falling under 12 main sub-classes.

Subsidiary Table II (b) gives the number of earners with subsidiary occupations *per mille* of the total population in each of the 12 main sub-classes for the whole Province and each Natural Division separately

Subsidiary Table III gives the number of female workers (earners and working dependants) per 1,000 males following occupations grouped into sub-classes, orders and certain selected groups, the groups selected being those in which either the proportion of women employed or the total number of workers is large

Subsidiary Table IV gives comparative figures of actual workers in selected occupations for 1921 and 1931 with percentage of variation.

Subsidiary Table V gives, for selected castes, the distribution of 1,000 earners (principal occupation) in different occupations and the number of female earners per 100 males in each.

Subsidiary Table VI gives the number of persons (Europeans, Anglo-Indians and Indians according to departmental returns) employed in ( ) Railways, (b) Irrigation Department, and (c) Post, Telegraph and Telephone Services.

SECTION I.—GENERAL.

Instructions About the Return of Occupations.

142 This Chapter deals with the important question of the occupations or the means of livelihood of the population of the Province. There were three columns in the general schedule relating to occupations. The instructions to enumerators with regard to filling up these were —

Column 9 (*Earner or Dependant*) —Enter earner or dependant.” A woman who does house work is a dependant so is a son who works in the fields but does not earn separate wages. A cultivator cultivating as a principal occupation is an earner

Column 10 (*Principal occupation of earners*) —Enter the principal means of livelihood of all persons who actually work or carry on business, whether personally or by means of servants or who live on house-rent pension, etc Enter the exact occupation and avoid vague terms such as service or writing or labour For example in the case of labour say whether in the fields or in a coal mine or in cotton mill or earthwork etc. In the case of agriculture distinguish between persons (whether owners or tenants) who do not cultivate personally who cultivate their own land who cultivate rented land and who are hired labourers If a person makes the articles he sells he should be entered as “ maker and seller of them. *Women and children who work at any occupation which helps to augment the family income indirectly must be entered in column 9 as dependants and their subsidiary occupation shown in column 11* For non-working dependants make a × in columns 10 and 11 bulk of working dependants is engaged in Cultivation (81·6 per cent) and the majority of the rest in Industry (9 per cent.) and Stock raising (3·6 per cent) In other occupations such as trade and domestic service there are very few working dependants, and practically none in transport and Public Administration. The ratio of females to males among working dependants is as high as 923 *per mille* while among earners it is no more than 6 *per mille*

It is sometimes not at all easy to draw a line between working dependants and earners. For instance the proportion of working dependants in the total population of Jammu and Kashmir (see table in paragraph 148) is greater than the proportion of earners themselves This difficulty is partly due to the habit in this country on the part of joint families to return only the head of the family as the earner Even the grown-up sons of a family employed in various occupations, in numerous cases hand over their earnings to the head of the family receiving occasionally sums of money to meet their own expenses. This applies with particular force to the children of cultivators in cases in which the father owns the land and the sons merely cultivate the fields as working dependants Though every endeavour was made, as is apparent from the extracts given in the first paragraph of this Chapter to obtain uniformity in the return of occupations the results of certain areas are slightly affected by the differences in the interpretation of the instructions on the subject. Separate entries for working dependants are however not valueless as they show within reasonable limits, the extent of the share taken in bread winning by the women and children in different areas A clearer view of this will, however be obtained if we confine ourselves to a study of the local distribution of women workers.

Female Workers.

147 The bulk of the female population of this Province is undoubtedly constantly engaged in numerous kinds of work which comprise among other duties cleaning and plastering the house bringing up children cooking milking of cows and buffaloes, spinning sewing and mending of clothes agricultural labour embroidery of clothes and shoes, etc All these activities though of the utmost importance would be regarded at the census as no work at all and the women engaged in them would be treated as non working dependants. The rule that the producers of economic utility alone should be treated as workers is, however very difficult to interpret and apply A reference to this was made in the following quotation reproduced from the India Census Report of 1921 (page 236 paragraph 902) "The distribution between worker and dependant and between primary and subsidiary occupation involves subtleties of interpretation which continually gave trouble in individual cases, and the extent to which the occupations of women and children actually contribute to the income of the family must always be a matter of opinion and give rise to inconsistencies in the return. The work of classification is further hampered by the different attitude in different areas of the people and enumerator towards the dignity of labour Further it is not at all easy to choose the principal occupation of working dependant who are often engaged in various kinds of work at different periods of the year On the whole even if the matter of classification is regarded as giving too small or too high a proportion of female workers the results obtained are of some value as an indication of the relative share in economic work now taken by women a

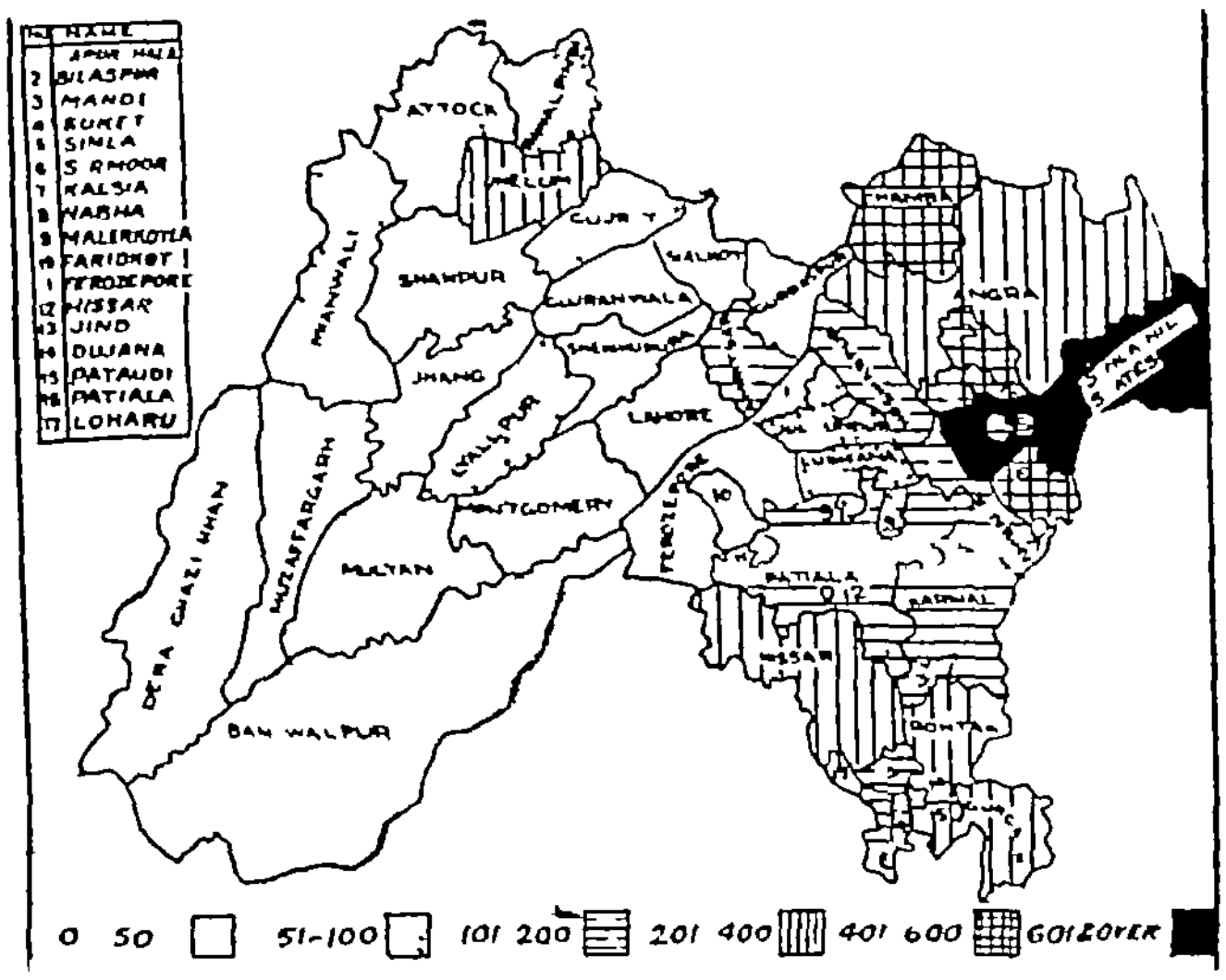
No NAME
1 MANDI
2 BILASPUR
3 MANDI
4 SUKET
5 SIMLA
6 SIRMOOR
7 KALSIA
8 NABHA
9 MALERKOTLA
10 FARIDKOT
11 FEROZEPORE
12 HISSAR
13 JIND
14 DUJANA
15 PATAUDI
16 PATIALA
17 LOHARU
ATTOCK
JHELUM
MIANWALI
SHAHPUR
GUJRAT
SIALKOT
GUJRANWALA
SHEIKHUPURA
JHANG
LYALLPUR
LAHORE
MONTGOMERY
MULTAN
MUZAFFARGARH
DERA GHAZI KHAN
BAHAWALPUR
FEROZEPORE
PATIALA
KARNAL
HISSAR
ROHTAK
CHAMBA
KANGRA
SIMLA HILL STATES
LUDHIANA
0 50
51-100
101 200
201 400
401 600
601 & OVER

Number of female workers per 1,000 of total females

compared with the past, or in different parts of the Province and in different occupations We shall deal first with the second of the three possible avenues of enquiry The marginal map shows the number of female workers *per mille* of total females in each district or state It can be safely said that proportionately a larger number of women are engaged in economic work in the Himalayan Natural Division than in the plains, and that in the latter the women of south-eastern districts such as Hissar, Rohtak and Gurgaon, take a greater share in such work than the women of the central districts with one or two exceptions and the districts and states of the south-west In the Himalayas as well as in the south-east of the Province women take a large share in agricultural work, and in some localities are believed to do it even better than their husbands Women of the north-western districts are also fairly active workers

Group No	Occupation	Absolute figures of female workers	Number of females per 1 000 male workers
1	2	3	4
15	Tea	493	504
19	Collectors of forest products	1,121	830
46	Wool carding, spinning and weaving	1,051	506
50	Lace, crepe, embroideries, fringes, etc., and insufficiently described textile industries	485	734
71	Rice pounders and huskers and flour grinders	12,754	1,455
72	Grain parchers, etc.	8,106	1,145
81	Others	6,687	566
	Order 17, Miscellaneous and unclassified industries	111,704	559
100	Scavenging	110,219	826
172	Midwives, vaccinators, compounders, nurses, masseurs	7,958	1,856
194.	Procurers and prostitutes	1,142	5,031

Subsidiary Table III at the end of this Chapter gives the proportion of female workers engaged in important occupations per 1,000 males similarly engaged In the margin are given the absolute figures as well as proportions for certain groups, in which there are more than 500 female workers per 1,000 males There are thus actually more female workers in the three groups, (71) flour grinder, etc , (72) grain parchers, etc , and (172) mid-wives, etc In the work of scavenging too females have a large share, partly because in numerous households they are employed in preference to men, and partly because a male sweeper very often takes up odd jobs, particularly agricultural

Subsidiary Occupations.

148 As noted in the first paragraph of this Chapter the instructions required the enumerators to record in column 11 the subsidiary occupation of earners If an earner had several subsidiary occupations only the most lucrative was to be entered This choice having perforce been left to the person enumerated would to some extent affect the returns of principal occupations, as for instance a police constable may return his principal occupation as rent-receiver and his subsidiary occupation as policeman Thus the total number of persons engaged in police service can only be obtained by adding the figures of those

who have returned police service as their principal as well as of those who have returned it as their subsidiary occupation. As a matter of fact Public Administration has been recorded as a subsidiary occupation of very few persons which indicates that either the salary of a public servant is his principal means of livelihood or he considers it more dignified to return public service as his principal occupation. In some cases though he is deriving a larger income from trade a public servant will take care not to return it as an occupation, being debarred from trading by the rules of his service The chief occupations followed by earners as subsidiary to some others are cultivation industry or trade. Subsidiary Table I at the end of this Chapter shows the number of earners having some subsidiary occupation per 10 000 of the total population. An extract from this table in respect of the important occupations is given in the margin similar proportion for earners with principal occupations being added. These figures imply that if the whole population of the Province were assumed as 10 000 persons, 289 of them would be earners with some subsidiary occupation 171 45 and 20 being earners with agriculture, industry and trade as their subsidiary occupations, respectively Compared to these there would in all be 2,969 persons who are earners with one occupation, or in another way out of every 10 000 earners only 908 have some subsidiary occupation. The ratio of females to 1 000 males among earners with some subsidiary occupation is 40 as compared to 67 among total earners.

Per 10,000 of the total population.

Occupation.	Earners principal occupation.	Earners subsidiary occupation.
All occupations	[illegible]	289
Cultivation	1,672	171
Industry	[illegible]	45
Trade	204	20

In the detailed examination of occupations which we shall undertake in section 2 only workers who have returned each occupation as their principal means of livelihood will be referred to or be designated along with the working dependants as workers, except in certain important cases, in which the number of persons following it as a subsidiary occupation will be particularly mentioned.

Comparison of the Population of Workers with other Provinces.

Number per 1,000 of total population		Punjab.	N.W.F.P.	Delhi.	United Provinces.	Jammu and Kashmir State.	Burma.	Bengal.
1		2	3	4	5	6	7	8
Who are:—								
Earners (Principal Occupations).	Both sexes	[illegible]	316	[illegible]	[illegible]	[illegible]	[illegible]	[illegible]
	Males	299	304	315	331	308	289	211
	Females	18	15	30	57	14	97	31
Working Dependant	Both sexes	67	[illegible]	41	69	[illegible]	69	12
	Males	36	[illegible]	14	11	61	32	6
	Females	33	10	29	34	243	37	7
Total Workers	Both sexes	[illegible]	356	[illegible]	417	427	[illegible]	281
	Males	316	[illegible]	[illegible]	342	[illegible]	[illegible]	230
	Females	[illegible]	71	[illegible]	142	[illegible]	134	38
Non working dependants	Both sexes	637	[illegible]	[illegible]	513	473	[illegible]	[illegible]
	Males	330	[illegible]	217	[illegible]	[illegible]	220	270
	Females	[illegible]	437	[illegible]	[illegible]	[illegible]	[illegible]	[illegible]

140 Before we take up further examination of the figures of earners with principal occupations and working dependants it will be of interest to know the proportion of these in the total population of the Province and to compare it with similar proportions in other provinces. Such comparison is afforded by the figures in the marginal table It will be noticed that except in the case of Bengal and N W F P the proportionate number of workers is smallest in this Province If we turn to earners alone we find that their proportion in the North West Frontier Province is larger than in this Province but is very much smaller in Bengal while Kashmir State with a large proportion of workers has a smaller proportion of earners We have already referred to the case of female workers and it may be remarked here that the number of these is insignificant in this Province as compared to certain other provinces such as the United Provinces and Burma or Kashmir

State The only provinces where there is a still smaller proportion of female workers are the N.-W. F. P. and Bengal. Though the difference in these proportions might partly be due to different interpretations of instructions, yet it cannot be denied that they indicate in some measure the main characteristics of the people of the provinces, a subject to which we shall revert after examining the conditions in the different parts of our own Province.

Distribution of Non-working Dependants.

150. In order to ascertain the comparative industry of the various localities, we may examine the proportion of non-working dependants in the total population of each district or state of the Province. The map below shows the non-working dependants *per mille* of the total population in each district and state. The Himalayan tracts appear to have the smallest number of non-working dependants, *i. e.* below 400 *per mille* of total population, and consequently a larger proportion of workers [see also Subsidiary Table II (*a*)].

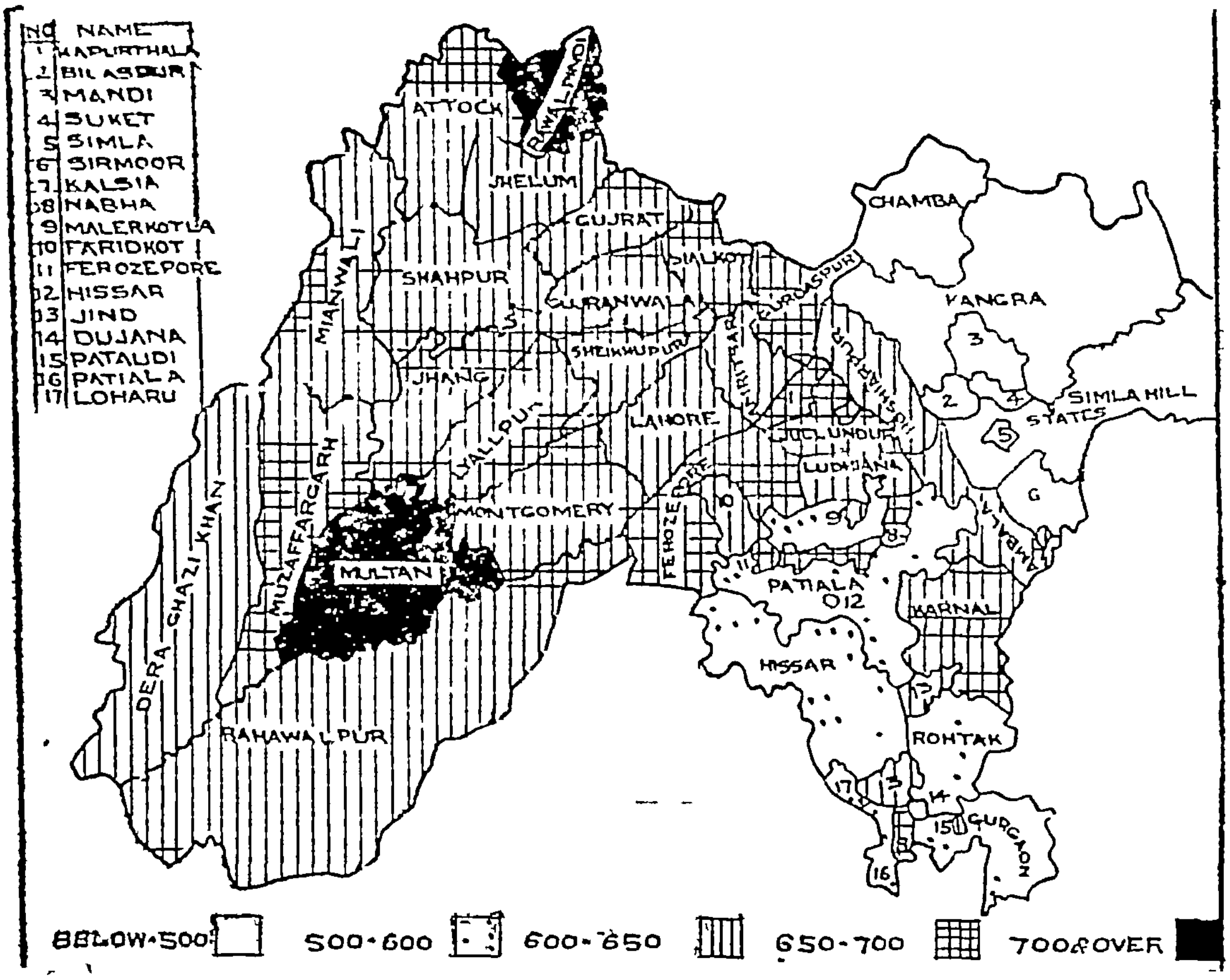
No. NAME
1 KAPURTHALA
2 BILASPUR
3 MANDI
4 SUKET
5 SIMLA
6 SIRMOOR
7 KALSIA
8 NABHA
9 MALERKOTLA
10 FARIDKOT
11 FEROZEPORE
12 HISSAR
13 JIND
14 DUJANA
15 PATAUDI
16 PATIALA
17 LOHARU
ATTOCK
RAWALPINDI
JHELUM
GUJRAT
SIALKOT
SHAHPUR
MIANWALI
GUJRANWALA
SHEIKHUPURA
JHANG
LYALLPUR
LAHORE
AMRITSAR
GURDASPUR
HOSHIARPUR
JULLUNDUR
LUDHIANA
MONTGOMERY
MULTAN
MUZAFFARGARH
DERA GHAZI KHAN
BAHAWALPUR
FEROZEPORE
PATIALA
HISSAR
KARNAL
ROHTAK
GURGAON
AMBALA
CHAMBA
KANGRA
SIMLA HILL STATES
BELOW 500
500-600
600-650
650-700
700 & OVER

Non working dependants per 1,000 of the total population

The proportion of non-working dependants is again comparatively small in the eastern districts, such as Hissar, Gurgaon and Rohtak, while Lahore, Amritsar, Hoshiarpur, Ambala, Ludhiana, Faridkot and Maler Kotla as well as Jhelum and Dera Ghazi Khan have less than 650 non-working dependants *per mille* of the total population. The proportion in Karnal and Ferozepore and Jullundur is higher than 650. In Karnal this may partly be due to the bad climate of the district, and in Ferozepore and Jullundur to a comparatively larger population under 15 years of age and to migration of able-bodied persons to the colonies. The proportion in the central Punjab districts, mentioned above, would be still lower but for the large amount of emigration from them. The proportion of non-working dependants is higher than 650 *per mille* in the rest of the districts to the west of the Ravi. These districts are predominantly Muslim, and their female population, particularly the women of well-to-do families, are secluded and do no out-door work. After this it should not be difficult to connect the causes of the small number of workers in this Province and N W F Province and Bengal the provinces with a Muslim majority

SECTION 2—DETAILED EXAMINATION OF OCCUPATIONS

Detailed Examination of Occupational Distribution.

151 We can now take up some of the most important occupations individually In a survey such as this it is only possible to touch the most important items, and what follows is intended as an explanation of the census statistics rather than any comprehensive attempt to discuss the changes or to ascertain their causes much less to suggest remedies

Cultivation.

152 In the premier industry of the Province namely cultivation, are employed 5 340 486 males and 1,040,228 females of these 4,537 644 males and 229 8 8 females are recorded as earners, and 803,842 males and 810,350 females as working dependants, while 466 995 males and 19 486 females follow this industry as subsidiary to some other occupation.

The groups included in the category are 1—8 namely —

(A) Cultivation.

1. Non-cultivating proprietors taking rent in money or kind.
2. Estate agents and managers of owners.
3. Estate agents and managers of Government.
4. Rent collectors, clerks, etc
5. Cultivating owners.
6. Tenant cultivators.
7. Agricultural labourers.
8. Cultivators of Jhum, taungya and shifting areas.

No one in this Province has been returned in group No. 8 while the entries of groups 2 3 and 4 are relatively very small.

The following extract from Subsidiary Table IV at the end of this Chapter gives the actual figures of workers engaged in each of these groups, and compares them with the figures of 1921 Groups 2 and 4 and 5 and 6 have been amalgamated in order to facilitate comparison. Cultivation has shown a very big increase.

Group No.	Pursuit or Occupation	Total actual workers 1931.	Number of workers in 1921.	Percentage variation 1921—31.
1	2	3	4	5
	A.—Cultivation	6,290 716	5,074,834	+2[illegible]·7
1	Non-cultivating proprietors taking rent in money or kind	320 673	337 779	−5·1
2, 4	Estate agents and manager of owners, rent collectors, clerks, etc.	3,846	7,9[illegible]	−51 7
5, 6	Cultivating owners and tenants cultivators	5,179,390	4,263,837	+21·7
7	Agricultural Labourers	786,807	465,914	+68 7

Rent-receivers.

It will be seen that there is a decrease of 5 1 per cent among non-cultivating proprietors who receive rent in money or kind In the first instance one might be disposed to urge that rent receivers are not workers and their figures should be excluded from cultivators altogether and included in class D meant for those who live on their income But rent receiving is directly associated with agriculture and a landlord as well as a tenant can be a rent-receiver if he leases out his land to another man. As a matter of fact a great majority of rent-receivers are also cultivators of some portion of their land though they prefer to return the more dignified occupation of rent receiving as their principal or only occupation.

There are almost half as many more persons returning rent-receiving as their subsidiary occupation (143 616) and no doubt there should be some more in this group who are now included in group 185 as "Jagirdrs," many of whom are in reality either rent-receivers or actual cultivators

Cultivating Owners and Tenants

153 There has been a very big increase in the already numerous category of cultivators The subject is of vital importance to the Province, and the map below shows the percentage increase in the number of cultivators including tenants since 1921 in each district and state

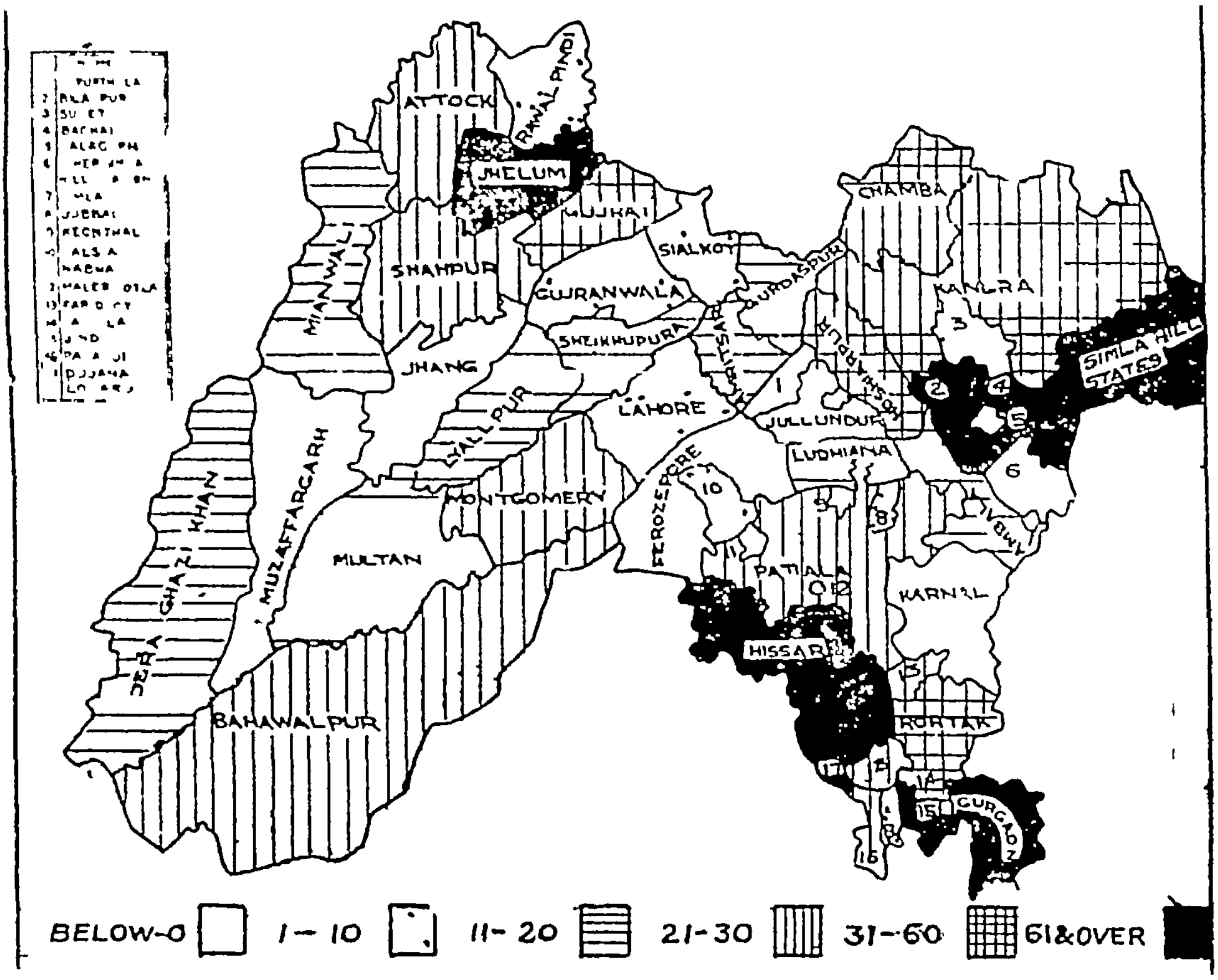
ATTOCK
RAWAL PINDI
JHELUM
GUJRAT
CHAMBA
SIALKOT
SHAHPUR
MIANWALI
GURDASPUR
KANGRA
GUJRANWALA
HOSHIARPUR
SHEIKHUPURA
AMRITSAR
SIMLA HILL STATES
JHANG
LAHORE
JULLUNDUR
LYALLPUR
LUDHIANA
MONTGOMERY
FEROZEPORE
AMBALA
MULTAN
MUZAFFARGARH
DERA GHAZI KHAN
PATIALA
KARNAL
HISSAR
BAHAWALPUR
ROHTAK
GURGAON
1
2
3
4
5
6
8
10
13
14
15
16
17
18
BELOW-0 ☐
1-10
11-20 ▤
21-30
31-60 ▥
61&OVER ■

Increase per cent among cultivating owners and tenant cultivators (1921—31)

The increase is biggest in Simla and adjacent hill states and the districts of Gurgaon, Hissar and Jhelum It is fairly big in Rohtak, Kangra, Hoshiarpur and Gujrat In all these districts the demobilization of men serving in the Army may partly account for the increase, while in Gujrat the expansion of cultivation is the main cause The increase is between 20 and 30 per cent in Patiala, Montgomery, Bahawalpur, Shahpur and Attock, due to the first cause, especially in Patiala, Shahpur and Attock and to the large increase in cultivation in Montgomery and Bahawalpur The increase in Dera Ghazi Khan, Mianwali, Sheikhupura, Amritsar, Gurdaspur, Ludhiana and Ambala is between 11 and 20 per cent or about the same as the general rise in population during the last decade An increase of 10 per cent or less is only found in Rawalpindi, Sialkot, Gujranwala, Jhang, Lahore, Faridkot, Nabha and Mandi, while Jullundur, Karnal, Ferozepore, Muzaffargarh, Kapurthala and Sirmoor show a decrease. The conclusion to be drawn is that in these last-named areas the limit has been reached, beyond which the land is unable to yield a return to the labour of cultivators The main reason for the total increase, no doubt, is that in this country agriculture is the mainstay of the people. The other resources of the Province are obviously not keeping pace with the rate of increase in the population. Agriculture when pressed beyond a certain limit is said by economists to give diminishing returns for the capital and labour expended on it. The increasing pressure on land unaccompanied by any great advance in the methods of agriculture or introduction of improved implements resulting in increased output must re-act on the economic condition of cultivators.

Agricultural Labourers.

184. The increase among agricultural labourers is the next noticeable figure. The number of these in British Territory is 591 900 males and 63 485 females inclusive of subsidiary workers, and 339 018 males and 58 044 females exclusive of these. The number for the whole Province exclusive of subsidiary workers is given in the table in paragraph 139 which shows an intercensal increase of 38 7 per cent. The variation in the number of agricultural labourers has to be examined along with the number returned as unspecified labourers, because the figures of the two are apt to get mixed up. These figures for the two censuses are given in the margin, and indicate an enormous increase in the number of agricultural labourers.

Occupation.	1931.	1921.	Variation, increase (+) or decrease (−).
Agricultural labourers	738,02[illegible]	[illegible]	+[illegible]
Labourers unspecified	18,737	[illegible]	− 4

The map below shows the percentage increase among agricultural labourers in each district and state.

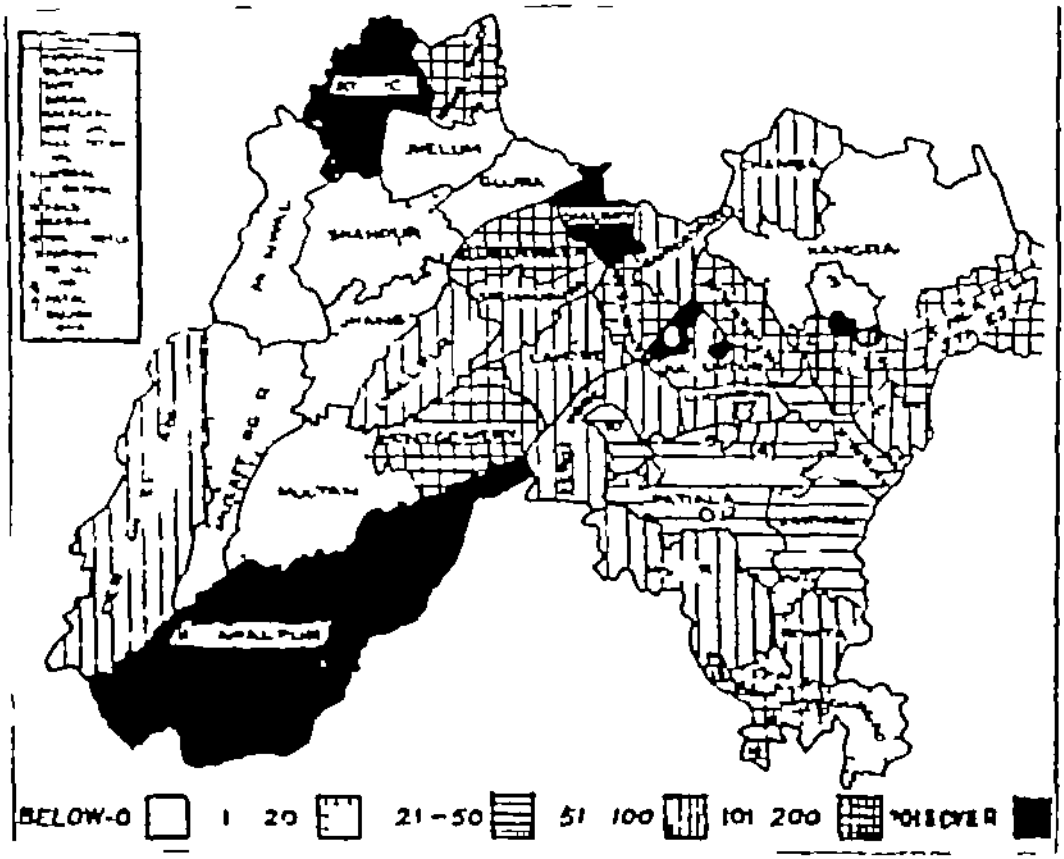

Percentage increase among agricultural labourers (earners with principal occupation and working dependents of 1931 as compared to actual workers of 1921)

There is an increase of over 200 per cent in Bahawalpur State, Attock, Sialkot, Kapurthala and Suket. The actual number of field labourers in other areas except Sialkot was never very large, so the percentage increase is not a true criterion of increase Moreover, in the case of such occupations it is difficult to vouch for the accuracy of each individual item for each district It is possible that there may be wrong classification of particular class of cultivators as agricultural labourers In numerous cases a rent-paying tenant is put down as an agricultural labourer and *vice versa*, more often the former Also tenants of Crown lands in the canal colonies are likely to have been returned as mere cultivators and as such would be included among field-labourers The increase in Montgomery, Gujranwala, Rawalpindi, Amritsar Hoshiarpur and Simla Hill States has been over cent per cent, and a large part of it must be real particularly in Montgomery where cultivated area has largely increased during the last decade Rohtak Hissar, Ferozepore Lahore Sheikhupura, Lyallpur and Dera Ghazi Khan show an increase of between 50 and 100 per cent, and when the results for two or more of the neighbouring districts are similar they furnish a strong testimony of the veracity of the figures In Patiala, Karnal and Ambala (all contiguous) there has been an increase of between 20 and 50 per cent There is an increase of less than 20 per cent in the districts of Shahpur, Jhang, Multan, Muzaffargarh and Gurgaon while there is an actual decrease in Mianwali, Jhelum, Gujrat and Mandi This may be due to emigration or only to the local differences in the interpretation of the terms

On the whole it will be safe to say that agricultural labourers have very greatly increased since last census

Cultivating Owners and Co sharers in Holdings.

153 At this census cultivating owners have for the first time been tabulated separately from tenants The number of cultivating owners inclusive of subsidiary earners is 1,870,116 males and 102,831 females in British Territory and the number of tenants is 1,706,964 males and 449,850 females The number of cultivating owners will of course not be equal to the total number of owners of land entered as such in the records of rights as all the co-sharers in a *Khewat* (joint holding) do not cultivate the land while many owners are joint in some and separate in other holdings The table in the margin shows the number of holdings in each district of British Territory together with the number of co-sharers as well as the total number of cultivating owners according to our tables It would seem that some of the sons of the owners, though separately cultivating part of the ancestral land have been returned as tenants, etc.

Statement showing the number of Jamabandi holdings owners for the year 1930 31 and Total cultivating owners given in Table No X (Occupation)

Serial No 1	District 2	Number of Jamabandi holdings for the year 1930-31 3	Number of Co-sharers for the year 1930 31 4	Total cultivating owners given in Table X (Occupation) 5
1	Hissar	90,004	139 703	73,657
2	Rohtak	137 714	165,767	93,716
3	Gurgaon	165,687	144,817	77 040
4	Karnal	127,238	171,536	74,816
5	Ambala	161,376	161,858	67,792
6	Simla	7,511	9,083	4,375
7	Kangra	261,470	387,465	175,263
8	Hoshiarpur	190,273	228,277	96,878
9	Jullundur	229,505	261,092	81,892
10	Ludhiana	165,350	149 210	81,435
11	Ferozepore	181,473	177,004	87,283
12	Lahore	93,232	135,891	70 130
13	Amritsar	137,108	158,670	75,084
14	Gurdaspur	174,404	173,718	96,999
15	Sialkot	185,444	173,327	83,206
16	Gujranwala	71,144	81,592	37,002
17	Sheikhupura	55,167	85,641	43 742
18	Gujrat	163 971	192,311	110 449
19	Shahpur	85,379	108,640	49,804
20	Jhelum	150,581	150,051	72,854
21	Rawalpindi	212,165	189 025	51,229
22	Attock	117,425	105,313	51,059
23	Mianwali	87,763	136,986	40,561
24	Montgomery	40,766	72,893	24,283
25	Lyallpur	72,026	105,751	90,345
26	Jhang	62,122	123,589	36,062
27	Multan	83,693	123,571	36,030
28	Muzaffargarh	139,795	206,749	48,515
29	Dera Ghazi Khan	103,388	248,563	36,547
	British Territory	**3,759,183**	**4,567,128**	**1,972,947**

The average size of an agricultural holding in each district is very difficult to determine.* But even when correctly determined, the mere size is of little value if the number of persons supported by each holding is not available. Thus in districts like Multan, Shahpur and Attock where holdings are fairly large the average size of a holding will give an untrue picture of the conditions under which a cultivator works. The table in the margin shows the number of acres of cultivated land falling to the share of each worker engaged in cultivation whether as owner tenant or agricultural labourer The figures of workers only of Order I (a) have been taken as they are all workers in ordinary agriculture. The district with the smallest holding appears first The districts seem t be more or less in the sam order as in the table in paragraph 53 (page 74) arranged according to the incidence of rural population on matured area. It will be realised that the average area per agricultural worker nowhere exceeds 13 2 acres, the average for the Province working out to no more than 6 4 acres

District.	Cultivated acres per worker engaged in cultivation (Sub-Class I Sub-Order).	District.	Cultivated acres per worker engaged in cultivation (Sub-Class I Sub-Order).
1		1	2
British Territory	6·4	Karnal	6 7
Simla	1 0	Muzaffargarh	6·7
Kangra	1 7	Lahore	7 1
Hoshiarpur	2·9	Dera Ghazi Khan	7·4
Jullundur	3·7	Lyallpur	7·8
Gurgaon	4 5	Gujranwala	8·1
Amritsar	4 5	Sheikhupura	8 1
Rohtak	4·7	Hissar	8·3
Gurdaspur	4·8	Attock	8·9
Sialkot	5·0	Montgomery	9·1
Ambala	5·1	Jhang	9·6
Rawalpindi	5·1	Ferozepore	9·9
Ludhiana	5 3	Multan	10·2
Gujrat	5·5	Shahpur	11 0
Jhelum	6·1	Mianwali	13·2

The figures of persons who have cultivation as a subsidiary means of livelihood have not been included in the above calculations. In 1921 there were 149,230 persons, recorded as partially agriculturists At this census there are 486 481 persons who being earners with a principal occupation have cultivation as their subsidiary means of livelihood These half a million people and their dependants share the agricultural resources of the Province and the increase in their number is remarkably great

The other groups under cultivation namely estate agents and managers f owners and Government rent-collectors, clerks, etc., contain too few entries to require special notice The decrease among them is due to the more or less complete absence of Settlement operations the Settlement officials being usually the chief contributors to these groups.

Cultivation of Special Crops, etc.

150 The Sub-Order (b) of Order I namely cultivation of special crops " is only notable for the small part it plays in the economic conditions of the Province There are 8 035 workers (7 100 males 935 females) of all kinds returned as engaged in it.

Forestry

In Sub-order (c) of Order I the number of Forest officers, rangers, guard etc (group 17) and wood-cutters, charcoal burners and collectors of forest produce (group 18) has increased by cent per cent and 61 1 per cent respectively In Kangra the figures for Forest officers guard etc. are larger than those of wood-cutters, a the latter migrate to other places during the winter and were absent at the time of the census

Particulars.	Males.	Females.
1	2	3
Earners	14,914	1,194
Working Dependants	961	815
Earners with Subsidiary Occupation	1,045	22

Stock Raising

151 In Sub-Order (d) of Order I the total number of workers with stock raising a their principal occupation has increased from 210 116 in 1921 to 256,304 in 1931 In addition to this there are 16,010 earners who are engaged

---

*See Calvert's Wealth and Welfare of the Punjab, page 74, where some of the difficulties are described.

in this work as subsidiary to some other occupation The districts with the greatest number are Karnal, Shahpur, Lyallpur and Multan In the groups under this sub-order there is an intercensal decrease among cattle-breeders, but the number of breeders of animals for transport, herdsmen, shepherds and breeders of other animals has increased

Birds and Bees

158 In Sub-order (*e*) of Order I, the number of keepers of birds and bees is almost negligible though it shows an increase over the figures of the last census

	Males	Females
Total workers 1931	76	6

Order 2 Fishing

159 In the main group of Order 2, there are only 4,653 workers whose principal occupation is fishing as compared to 4,011 at last census, which means an increase of 16 per cent There are 990 more earners who have fishing as an occupation subsidiary to some other Fishing appears to be a *spare-time job of Jhiwars and boatsmen, who do not often care to return it*

Sub-class II Order 3 Exploitation of Minerals

160 The number of persons engaged in the exploitation of minerals is very small The only considerable figure belongs to the Rawalpindi Division where the coal and salt mines, cement rock and petroleum fields are situated There is a decrease in this sub-class since 1921 owing no doubt to the recent depression Mining of metals like iron, lead, silver, zinc and manganese is entirely unknown, while the handful of persons returned as mining gold are either " *Nayaniyas* " or persons presumably employed on gold fields in Mysore, who happened to be home on leave at the time of the census As regards the non-metallic minerals, there are salt workers of the salt range, situated in the Jhelum and Shahpur Districts, and workers in the washing of saltpetre, etc , chiefly in the Ambala Division There are also some coal mines in Jhelum District, but the figures seem to be obscured by the return of a vague term " *kan men kam karna* " (working in mine)

	Males	Females
Earners	4,936	616
Working Dependants	260	73
Earners with Subsidiary Occupation	193	1

	Males	Females
Group 40, Non metallic minerals, Salt, etc	2 448	609

	Males	Females
Group 41, Other mines	276	

Class B

161 So far we have been dealing with Class A or with " the supply of raw material by exploitation of the surface of the earth, animals or vegetation " We shall now proceed with the next class B, that is with " the preparation and supply of material substances " or in other words Industry, Transport and Trade We shall take each of the sub-classes individually

Sub-Class III Industry

162 The map in the margin shows the population *per mille* of each district and state engaged in Industry The proportion is highest in Lahore, Amritsar, Ambala, Gujrat, Jhelum and Gujranwala Remote areas

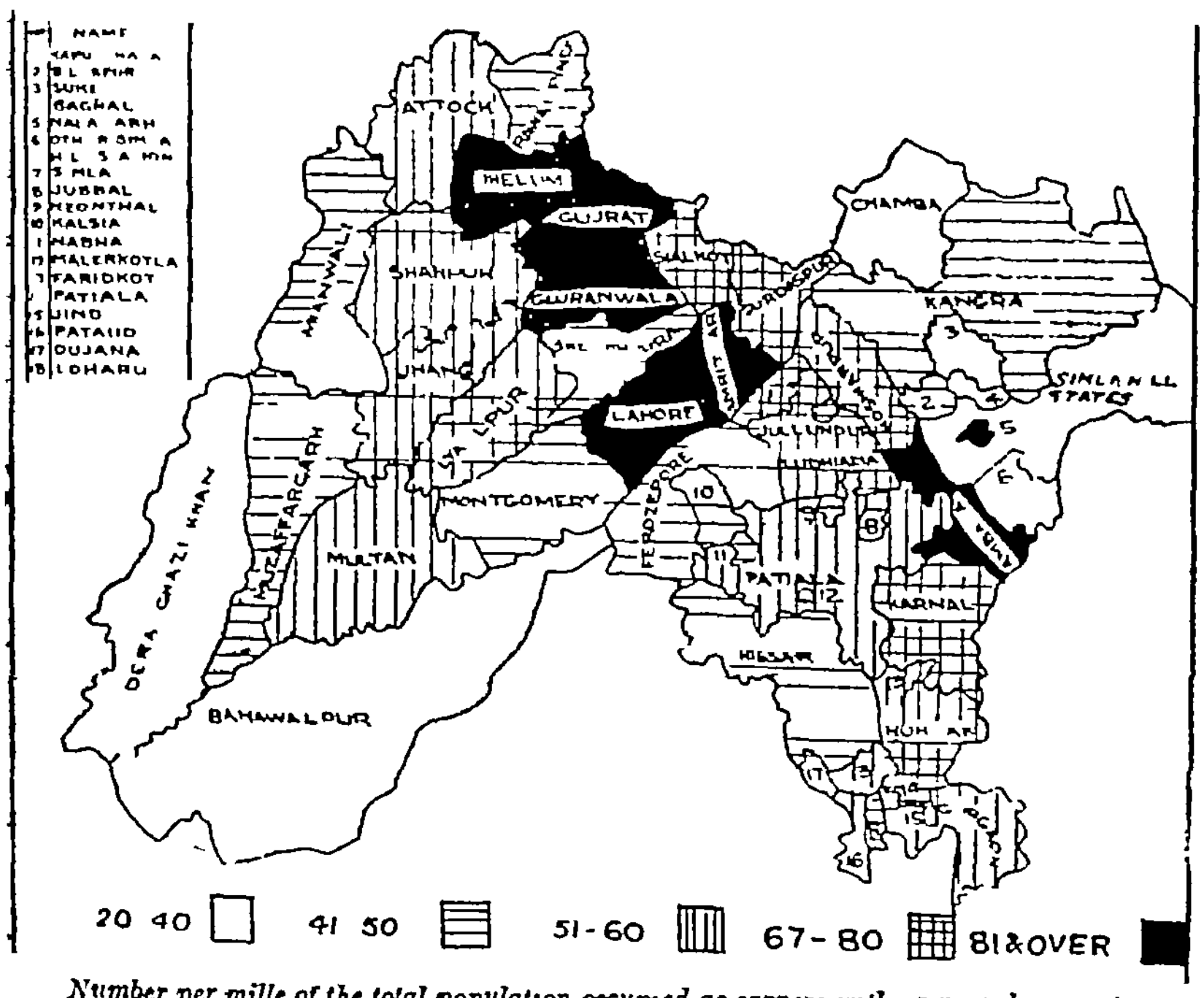
NAME
BILASPUR
SUKET
BAGHAL
NALAGARH
JUBBAL
KEONTHAL
KALSIA
NABHA
MALERKOTLA
FARIDKOT
PATIALA
JIND
PATAUDI
DUJANA
LOHARU
ATTOCK
JHELUM
GUJRAT
CHAMBA
MIANWALI
SHAHPUR
SIALKOT
GURDASPUR
GUJRANWALA
KANGRA
JHANG
LAHORE
AMRITSAR
SIMLA HILL STATES
JULLUNDUR
LUDHIANA
MONTGOMERY
FEROZEPORE
MULTAN
MUZAFFARGARH
DERA GHAZI KHAN
PATIALA
KARNAL
HISSAR
BAHAWALPUR
ROHTAK
20 40 ☐
41 50 ▤
51-60 ▥
67-80 ▦
81&OVER ■

Number per mille of the total population occupied as earners with principal occupation and working dependants engaged in Industry 1931 like Kangra, Dera Ghazi Khan, Bahawalpur Chamba the Simla Hill States and other states in the neighbourhood being the most backward in this respect The chief industries are confined to the supply of the primitive needs of agriculture or household.

The figures of workers in Industries show a decrease of one per cent., which may be due partly to an increase in group No. 188 a portion of whose figures, if properly recorded would undoubtedly have been included in some of the orders under Industry The table in the margin gives the main figures of the various kinds of industries, the figures of group 188 being also shown

Occupations.	Principal occupation (Different kinds of Industry)	Total number of actual workers.		Increase + or decrease −
		1931.	1921.	
1	2	3	4	5
Sub-Class III	*Industry*	*1,291,600*	*1,291,167*	− *1*
Order 4	Textiles	400,628	400,228	+ 1
Order 6	Hides and Skins	16,902	22,658	−25·4
Order 7	Wood	196,901	173,900	+13·1
Order 8	Metals	93,847	77,296	+21·4
Order 9	Ceramics	108,730	94,720	+14·8
Order 10	Chemical Products	47,995	51,881	−7·7
Order 11	Food Industries	87,206	88,936	−1·9
Order 12	Industries of dress and the toilet	434,250	441,202	+3·1
Order 13	Furniture Industries	1,099	1,551	−29·1
Order 17	Miscellaneous	311,081	343,811	−9·5
Group 188	Manufacturers, businessmen, contractors otherwise unspecified.	11,886	6,882	+71·6

Textiles. The number of persons recorded as workers in textile industry is about the same as in 1921 while the total population of the Province has risen by 13·5 per cent This may be partly due to the introduction of labour-saving devices and does not necessarily mean any decrease in output

	Males.	Females.
Earners	304,029	45,616
Working Dependants	16,733	22,311
Earners with Subsidiary Occupation	24,951	4,368

Metals. The only industry to show a real increase in personnel is "Metals under which the main occupation are blacksmithy implement making and the making of metal utensils for domestic use. The increase therefore is merely due to the expansion of local requirements as the industry carried on by the *lohar* (blacksmith) and *thathiar* (utensil-maker) is primarily to meet local needs.

Group 88, Blacksmiths	Males.	Females.
Total workers 1931	91,314	1,729

Groups 90 and 91, Utensil makers	Males.	Females.
Total workers 1931	7,241	87

Ceramics. Another industry showing expansion almost commensurate with the increase in total population is ceramics, which has potters as its chief item. The need supplied by the potter is evidently increasing at the same rate as the population.

Group 93, Pottery	Males.	Females.
Total workers 1931	100,441	8,281

Wood. Wood is another industry which shows an increase corresponding to the rise in the population. The main group in this order is that of carpenters and turners and the carpenter like the blacksmith and the potter is just as much in demand as before

Group 83, Carpentry etc	Males.	Females.
Earners	148,871	1,974
Working Dependants	7,907	864
Earners with Subsidiary Occupation	11,853	49

Food Industries and of Dress and Toilet. These industries seem to be more or less stationary It may be added that those engaged in food industries are in most cases also the sellers and thus the figures are liable to a slight interchange There is a small increase for instance among sellers of sweetmeats and part of it is possibly due to this interchange

Hides and Skins. These industries show a large decrease and very probably numerous persons engaged in tanning mainly Chamars have returned some agricultural occupation.

Chemical Products. The Chemical industry does not seem to be flourishing having declined by about 8 per cent

Miscellaneous.

There is a decrease of 0 3 per cent in miscellaneous industry mainly accountable by a larger decrease from 280,781 to 243 616 or 13 2 per cent in the chief item of this order, namely scavenging The decrease in the figures for scavenging may be due to an increasing dislike for the work itself or for its return as an occupation When a Chuhra becomes a *Mazhabi* (Sikh) or a *Mussalli* (Muslim) he as a rule gives up the work of scavenging There are 8,350 males and 2 098 females with scavenging as a subsidiary occupation Other industries in this order namely makers of jewellery printers engravers, etc show a slight increase

Sub-Class IV Transport

163 The number of persons employed in transport of all kinds shows an increase of 23 2 per cent The transport by air is at present quite negligible in amount Transport by water which enjoyed a considerable patronage in the past is decreasing owing to the improvement in transport by road and rail and most of the persons included in the present figures are the employees of the irrigation department some of whom are possibly included in groups 189 and 191 The figures of other main heads under transport are given in the margin for this as well as the 1921 Census

		1931	1921	Variation
Sub-Class IV	Transport	[illegible]	[illegible]	+2[illegible]
Order 20	Transport by road	[illegible]	[illegible]	70·3
21	Transport by Rail	87,7[illegible]	[illegible]	+25·0
22	Post Telegraph and Telephone services	11,25[illegible]	8,05[illegible]	+39·7

Transport by Road

This branch of transport has made great progress during the last decade Its importance so far as public utility is concerned is very much greater than the number of persons actually engaged in it The indirect advantages resulting from the development in transport far outweigh the disadvantages of some unemployment caused among muleteers, tonga and bullock cart drivers, etc

Transport by Rail.

Transport by rail shows an increase of 25 per cent over the figures of 1921 That both the figures of 1921 and 1931 are incomplete and some persons employed in Railway workshops or railway construction might have been included in other groups particularly group 191 is shown by the figures of railway employees given in Subsidiary Table VI at the end of this Chapter and reproduced in the margin It may be pointed out that the North Western Railway which has supplied these figures extends over this Province as well as the North-West Frontier Province British Baluchistan Sind and parts of the United Provinces and the figures are possibly not fully adjusted

Railway Department

1	*Total number of persons employed*	*106,0[illegible]*
2	Officers	332
3	Subordinates on scales of pay rising to Rs 250 p.m. or over	1,338
4	Subordinates on scales of pay rising from Rs. 30 to Rs 249 p m	38 070
5	Subordinates on scales of pay under Rs 30 p m	66 327

Post, Telegraph and Telephone Services

The number of workers in these services inclusive of those having one or the other of the services as a subsidiary occupation show an increase of 39 7 per cent The figures as supplied by the department inclusive of Delhi give a total of 14,000 employees as against 13,000, the aggregate in the census tables* The difference is very slight and may be due to some employees, especially branch post-masters, who are very often school-teachers and shopkeepers of villages not having returned Postal service as their means of livelihood The Postal Administration like the Railway is not co-terminous with this Province, the N W F Province, Delhi and even Kashmir State being included in the Punjab Postmaster-General's circle

---

* Inclusive of Delhi Order 12 has got 12,850 persons

Sub-Class V Trade.

164 The last sub-class of Class B is trade and the number of persons employed therein shows an increase, which is really larger than is indicated by the figures owing to an inaccuracy in the 1921 figures. Some of the figures are reproduced in the margin for facility of reference. Orders 23 and 24 which deal mainly with commerce show a decrease as compared with the figures of 1921 which can be explained only by a decrease among money lenders. It is rather striking that the number of persons engaged in commerce should be relatively so small.

Sub-Class or Order 1	Occupation. 2	Actual Workers. 1931. 3	 1921. 4	Variation per cent. 5
Sub-Class V	Trade	617,318	583,123	+5·6
Order 23	Banking and Exchange	43,470	44,500	−2·3
Order 24	Brokerage and Commission Agents	10,299	10,679	−3·0
Order 25	Trade in Textiles	53,478	40,993	+30·5
Order 26	Trade in Skins	11,222	9,401	+19·4
Order 27	Trade in Wood	11,334	7,212	+57·2
Order 28	Trade in Metals	4,100	1,735	+136·3
Order 29	Trade in Pottery, Bricks and Tiles	2,034	239	+751·0
Order 30	Trade in Chemical Products	5,819	8,906	−34·7
Order 31	Trade in Hotels, Cafes, Restaurants	15,618	4,964	+214·6
Order 32	Trade in pulse and food stuff	167 798	317 943	−47·2
Order 33	Trade in Toilet articles and Clothing	9 448	8,221	+14·9
Order 34	Trade in Furniture	2,933	4,069	−27·9
Order 35	Trade in Building materials	964	512	+88·3
Order 36	Trade in means of Transport	14,064	21,867	−35·7
Order 37	Trade in Fuel	7 785	2,517	+209·3
Order 38	Trade in articles of luxury	5,973	6,713	−11·0
Order 39	Trade in other Sorts	252,721	93,531	+170·2

Commerce.

Money-lenders

According to the present returns, there are in group 115 (which includes bank managers, money lenders, money-changers, etc.) in the British Territory 30 993 males and 1 191 females returned as such in the column of principal occupation. In addition to this there are 4 091 males and 88 females returned as working dependants. These must be persons who follow this occupation in order to assist the head of the family in his daily business. Thus the total number of persons engaged in money lending, etc., as principal occupation is 36,803 persons (35,584 males and 1,279 females). There are moreover 11,813 males and 88 females with whom money lending is a subsidiary occupation and apparently the majority of these are agriculturist money lenders. The number of workers in the corresponding group in 1921 was 38 122 persons (35 043 males and 3 089 females) and there is thus a decrease among money lenders pure and simple. The census return, however, may not be quite complete as the occupation of money lending has become unpopular in many places and may therefore not have been returned as such.

In the Provincial Banking Inquiry Report (1930) at page 120 we find the following remarks :—

"The chief problem of banking in the Punjab is the problem of the money lender. In 1922 Mr Calvert calculated the number of money lenders at about 40 000. This estimate appears to have been based upon various statistical returns mainly relating to income-tax and none later than 1918 19. Little account can have been taken of either the agriculturist or the female money lender, because the latter has probably never appeared in the income-tax returns and the former has only begun to do so since 1921 when income-tax administration became more efficient. We shall see presently that agriculturist money lenders, excluding those who advance only against mortgage, number about 19 000. It is impossible to calculate the number of women who lend, but the evidence of the Inspectress, Co-operative Societies, shows that it must be considerable, for about 5 per cent. of the 2 000 members of women's co-operative societies apparently make a practice of it. The Census Report for

1921, on the other hand, states that the number of ordinary money-lenders has almost certainly declined If we set off the number of women who lend against this decline, we are still left with 59,000 money-lenders Tentatively, therefore, but cautiously, we may say that in the Punjab there must be at least 55,000 who depend solely or in part upon money-lending We are upon surer ground when we add that after agriculture money-lending is the most important industry in the Province, and that in 1928-29 it paid 36 per cent of the total income-tax by business and industry ”

On page 133 of the same Report the reasons given for the decline in money-lending business are summed up as follows —

“ All agree that the *sahukar* is reducing his business For this many reasons are assigned, the most important of which are the following.—

(*a*) The legal protection given to the peasant proprietor borrower, combined with a greater tendency on his part to take full advantage of it ,

(*b*) the rise of the agriculturist money-lender ,

(*c*) the rapid growth of co-operative credit societies, and

(*d*) the counter-attractions of trade ”

Order 25 Trade in Textile.

Trade in textiles has shown a fairly big increase This order includes the “ *Bazaz* ” (cloth merchant), who has plied a profitable trade during the prosperous years of the last decade

Order 26 Trade in Skins, Leathers and Furs

This industry appears to have declined, but the trade in skins which is the chief item in this order shows an increase of 19 4 per cent

Wood, etc.

There is an increase in the trade in wood, pottery, bricks and tiles, but the trade in chemical products like the industry shows a decline The comparatively small trade in metals seems to be growing

Order 31 Hotels, etc.

Hotels, cafes and restaurants show a big increase indicative of a new social development Formerly taking refreshments and meals at hotels and restaurants was almost unknown, but with the increased facilities of travelling the habit is spreading and promises to play a prominent part in the social life Thus in a place like Lahore the house-wife could in many cases be considerably relieved of her ordinary duties and will find more leisure for handicrafts such as embroidery, knitting and spinning

Order 32 Trade in Food Stuffs.

There is a decrease in this order due almost entirely to the transfer of “ *dukan nun-tel* ” (a popular term for the village general merchant) from group 134 to group 150 The village general merchant deals in all kinds of commodities for daily use, from sugar candy to medicinal herbs, from paraffin oil to rat poisons, and what not

Order 33 Trade in Clothing and Toilet Articles

This order deals with the “ *bisati* ” *par excellence*, and shows an increase nearly proportionate to the general rise in the total population

Smaller Trades

The figures of Orders 34, 35 and 36 are too small to need any comment except that trade in building material seems to be on the increase The decrease in Order 35 is due probably to the great decline in the number of sellers of *ekkas*, tongas and other carts, and also to the centralization of the motor trade in large towns

Fuel etc.

Trade in fuel has grown though its figures are even now rather small This trade is generally combined with some other trade such as selling of *bhusa* (straw) The trade in articles of luxury has declined, there being a big decrease

SUBSIDIARY TABLE I (b).

General Distribution of Earners as Subsidiary Occupations

Class, Sub-Class and Order.	Number per 10,000 of total population.	Percentage recorded.	
		In cities.	In the whole Province excluding cities.
1	2	3	4
Earners as Subsidiary Occupation	288	*1*	99
A.—Production of Raw Materials	178		100
I.—Exploitation of animals and vegetation	*178*		*100*
1. Pasture and agriculture	178		100
(a) Cultivation	171		100
(b) Cultivation of special crops, fruits, etc. (planters, managers, clerks and labourers)			
(c) Forestry	1		100
(d) Stock raising	6	1	99
(e) Raising of small animals and insects			100
2. Fishing and Hunting			100
II.—Exploitation of minerals			100
3. Metallic minerals			100
4. Non-metallic minerals			100
B.—Preparation and supply of material substances	71	1	99
III.—Industry	*43*	*1*	*99*
5. Textiles	11	1	99
6. Hides, skins and hard materials from the animal kingdom		1	99
7. Wood	6	1	99
8. Metals	2	1	99
9. Ceramics	3	1	99
10. Chemical products properly so-called and analogous	2		100
11. Food industries	3		100
12. Industries of dress and the toilet	13		100
13. Furniture industries			100
14. Building industries	1		100
15. Construction of means of transport		16	84
16. Production and transmission of physical force		1	99
17. Miscellaneous and undefined industries	5	1	99
IV.—Transport	*6*	*1*	*99*
18. Transport by air			
19. Transport by water			100
20. Transport by road	5		100
21. Transport by rail	1	13	87
22. Post Office, Telegraph and Telephone services		2	98
V.—Trade	*22*	*2*	*98*
23. Banks, establishments of credit, exchange and insurance	5		100
24. Brokerage, commission and export		16	84
25. Trade in textiles	1	1	99
26. Trade in skins, leather and furs		1	99
27. Trade in wood			100
28. Trade in metals			100
29. Trade in pottery, bricks and tiles			100
30. Trade in chemical products		2	98
31. Hotels, Cafes, Restaurants, etc.		31	69
32. Other trade in food stuffs	6	1	99
33. Trade in clothing and toilet articles		3	97
34. Trade in furniture			100
35. Trade in building materials			100
36. Trade in means of transport	1		100
37. Trade in fuel			100
38. Trade in articles of luxury and those pertaining to letters and the arts and sciences		2	98
39. Trade of other sorts	9	4	96
C.—Public Administration and liberal arts	16		100
VI.—Public Force	*3*		*100*
40. Army	1		100
4_. Air Force			100
42. Police	2		100
VII.—Public Administration	*7*		*100*
43. Public Administration			
VIII.—Professions and liberal arts	*6*		*100*
45. Religion	3		100
46. Law		8	92
47. Medicine	1	1	99
48. Instruction	1	1	99
49. Letters, arts and sciences (other than 44)	1	1	99
D.—Miscellaneous	22	1	99
IX.—Persons living on their income	*10*	*2*	*98*
50. Persons living principally on their income			
X.—Domestic service	*4*		*100*
51. Domestic service			
XI.—Insufficiently described occupations	*4*	*1*	*99*
52. General terms which do not indicate a definite occupation			
XII.—Unproductive	*4*		*100*
53. Inmates of jails, asylums and alms houses			100
54. Beggars and vagrants and prostitutes	4		100
55. Other unclassified non-productive industries			100

SUBSIDIARY TABLE II (a)

Distribution of Earners (Principal Occupation) and working Dependants by Sub-Classes in Natural Divisions, Districts and States

District or State and Natural Division	Total 1,000			Number per mille of the total population occupied as Earners (Principal occupation) and working Dependants in											
	Non working Dependants	Working Dependants	Earners (Principal occupation)	Sub-class I—Exploitation of Animals and Vegetation	Sub-class II—Exploitation of Minerals	Sub class III—Industry	Sub class IV—Transport	Sub class V—Trade	Sub-class VI—Public Force	Sub-class VII—Public Administration	Sub-class VIII—Professions and Liberal Arts	Sub class IX—Persons living on their Income	Sub-class X—Domestic Service	Sub-class XI—Insufficiently described occupations	Sub-class XII—Unproductive
1	2	3	4	5	6	7	8	9	10	11	12	13	14	15	16
PUNJAB	632	69	299	234		63	8	22	4	3	7	1	9	9	8
I.—Indo-Gangetic Plain West	*623*	*75*	*302*	*237*		*66*	*9*	*24*	*4*	*4*	*8*	*2*	*11*	*8*	*8*
1 Hissar	527	210	263	379		44	7	21	2	2	6		5	2	5
2 *Loharu State*	556	173	271	381		27	1	9	3	2	3	2	3	2	11
3 Rohtak	570	161	269	312		69	4	23	2	1	5	1	5	2	6
4 *Dujana State*	596	104	300	295		60	1	24	3	2	5	2	5	1	6
5 Gurgaon	563	156	281	330		56	6	22	2	2	5	1	5	1	7
6 *Pataudi State*	641	23	336	232		60	9	26	6	2	9	3	7		6
7 Karnal	698	19	283	211		67	7	22	2	1	7		8	1	6
8 Jullundur	652	67	281	198		73	4	22	5	3	10	2	13	11	7
9 *Kapurthala State*	666	8	326	202		69	3	14	6	6	7	2	10	6	9
10 Ludhiana	636	35	329	215		72	6	19	3	3	10	3	13	11	9
11 *Maler Kotla State*	649	43	308	158		70	12	41	14	6	10	3	11	14	12
12 Ferozepore	683	33	284	201		46	6	19	6	2	5	1	11	12	8
13 *Faridkot State*	618	58	324	258		41	7	24	5	9	8	1	11	10	8
14 *Patiala State*	550	90	360	321		58	5	23	5	2	10	2	8	7	9
15 *Jind State*	637	111	252	261		52	6	15	5	2	4	1	6	5	6
16 *Nabha State*	657	61	282	228		50	10	20	4	3	9	3	5	1	10
17 Lahore	645	17	338	132		83	20	34	7	12	11	2	18	17	10
18 Amritsar	632	67	301	159		99	13	38	3	3	10	2	18	12	11
19 Gujranwala	665	30	305	161		83	11	30	2	2	9	1	13	12	11
20 Sheikhupura	694	30	276	183		57	8	18	2	3	6		9	10	10
II.—Himalayan	*416*	*270*	*314*	*508*		*37*	[illegible]	*10*	*3*	*2*	*5*	*1*	*6*	*4*	*3*
21 *Sirmoor State*	418	262	320	513		34	3	8	4	3	4		6	4	3
22 Simla	346	168	486	295		93	73	49	30	21	23	4	44	20	2
23 *Simla Hill States*	318	384	298	635		20	2	7	2	2	3		4	4	3
24 *Bilaspur State*	410	259	331	524		43	1	8	1	2	3	1	3		4
25 Kangra	486	184	330	428	1	47	4	10	3	1	6	2	7	2	3
26 *Mandi State*	385	328	287	548		28	3	7	1	3	5	1	4	12	3
27 *Suket State*	300	373	327	645		26	1	10	2	3	7		2	2	2
28 *Chamba State*	358	400	242	586		25	1	8	2	5	3	2	3	5	2
III.—Sub-Himalayan	*652*	*53*	*295*	*207*		*73*	*7*	*19*	[illegible]	*2*	*9*	*2*	*10*	*6*	*8*
29 Ambala	607	52	341	218		81	14	27	8	3	10	1	19	5	7
30 *Kalsia State*	609	55	336	234		84	9	25	4	2	9	1	13	1	9
31 Hoshiarpur	619	92	289	256		77	3	13	2	2	7	2	8	4	7
32 Gurdaspur	669	37	294	192		71	6	20	2	3	9	1	12	5	10
33 Sialkot	684	33	283	164		78	5	24	7	2	8	1	11	7	9
34 Gujrat	652	55	293	206		84	8	18	2	2	10	1	5	6	6
35 Jhelum	612	80	308	227	3	84	7	19	9	2	10	5	7	7	8
36 Rawalpindi	708	31	261	182		41	7	16	8	2	8	1	10	12	5
37 Attock	669	57	274	212	2	60	5	15	3	2	8	1	6	8	9
IV.—North-West Dry Area	*683*	*24*	*293*	*191*		*61*	*8*	*22*	*2*	*5*	*6*		*8*	*12*	*9*
38 Montgomery	699	18	283	187		47	7	18	1	5	5		10	14	7
39 Shahpur	667	22	311	186		68	7	25	1	5	7	1	9	14	10
40 Mianwali	695	34	271	204	1	47	10	14	2	2	5	1	4	9	9
41 Lyallpur	676	47	277	191		67	5	21	2	4	6		9	12	7
42 Jhang	693	19	288	156		76	7	30	1	3	9		7	7	11
43 Multan	713	17	270	154		59	6	22	4	7	6		9	12	8
44 *Bahawalpur State*	659	12	329	229		31	9	24	4	6	4		7	16	11
45 Muzaffargarh	694	20	286	198		47	12	17	2	5	6		3	8	8
46 Dera Ghazi Khan	633	27	340	251		40	11	32	2	3	6		5	9	8

SUBSIDIARY TABLE II (b).

Distribution of Earners (Subsidiary Occupation) by Sub-Classes in Natural Divisions, Districts and States.

District or State and Natural Division.	Number per mille of total Population of Earners having subsidiary occupation in.											
	Sub-class I—Exploitation of Animals and Vegetation.	Sub-class II—Exploitation of Minerals.	Sub-class III—Industry.	Sub-class IV—Transport.	Sub-class V—Trade.	Sub-class VI—Public Force.	Sub-class VII—Public Administration.	Sub-class VIII—Professions and Liberal Arts.	Sub-class IX—Persons living on their Income.	Sub-class X—Domestic Service.	Sub-class XI—Insufficiently Described occupations.	Sub-class XIII—Unproductive.
1	2	3	4	5	6	7	8	9	10	11	12	13
PUNJAB	18		6	1	2		1	1	1			
I.—Indo-Gangetic Plain West	*17*		*4*	*1*	*2*		*1*	*1*	*1*			*1*
1. Hissar	18		9	2	3		1	1	1			
2. *Loharu State*	16		4	1	3							1
3. Rohtak	17		6	1	3		1	1	2			
4. *Dujana State*	34		7		10	2	3	3	4	1		1
5. Gurgaon	20		3	1	2	1	1		1			1
6. *Pataudi State*	22		3	1	2	1	4	1	3			
7. Karnal	15		5		3		1	1				
8. Jullundur	19		5		3		1	1	1	1	1	
9. *Kapurthala State*	23		6		2		1	1	1		1	
10. Ludhiana	14		5	1	2	1	2	1	2		1	1
11. *Maler Kotla State*	24		3	1	8	1	4	1	3		3	1
12. Ferozepore	15		2		1			1	3			
13. *Faridkot State*	21		4		2		1	1	1			
14. *Patiala State*	27		2		3	1		1	1	1		1
15. *Jind State*	16		5	2	2			1	2		1	
16. *Nabha State*	17		4	3	3		2	2	3			1
17. Lahore	8		2	1	1				1			
18. Amritsar	13		4	1	3		1		1	1		
19. Gujranwala	13		5		2			1		1		
20. Sheikhupura	12		2	1	1			1			1	
II.—Himalayan	*38*		*11*	*1*	*3*	*1*	*2*	*2*	*2*	*1*	*1*	
21. *Bashahr State*	20		6	1	3		1	1	1			
22. Simla	35		13	4	7		2	2	6	11		
23. *Simla Hill States*	11		11	1	3	1	3	2		1	1	
24. *Bilaspur State*	23		9	1	2	1	4	2	2			
25. Kangra	30		11	1			1	2	4	1		
26. *Mandi State*	111		17	3	4	2	3	3	1	2	1	1
27. *Suket State*	10		8		2	1	1	2				
28. *Chamba State*	13		14		2		2	3	1	1	2	
III.—Sub-Himalayan	*36*		*4*	*1*	*2*	*1*	*1*	*1*	*1*		*1*	
29. Ambala	20		4	3	4	1	2	1	3	1		
30. *Kalsia State*	20		7	2	3	1	2	2	2	1		
31. Hoshiarpur	23		6	1	2	1	1	1	2		1	1
32. Gurdaspur	14		5	1	4		1	1	1	1		1
33. Sialkot	17		3	1	1		1		1			1
34. Gujrat	30		3	1	1		1	1	1			
35. Jhelum	18		6	1	1			1	1		1	1
36. Rawalpindi	16		3		2			1	2		1	
37. Attock	21		4		1	1		1	1		1	
IV.—North-West Dry Area	*17*		*3*		*2*			*1*				
38. Montgomery	13		2		1			1	1	1		
39. Shahpur	17		2		1			1	1		1	
40. Mianwali	29		3		2				1			1
41. Lyallpur	12		6		1			1		1		
42. Jhang	16		2	1	2			1				
43. Multan	12		1		1			1			1	1
44. *Bahawalpur State*	13						1					
45. Muzaffargarh	26		3	1	3			1				1
46. Dera Ghazi Khan	23		2	1	5			1				

SUBSIDIARY TABLE III

Occupations of Females by Sub-classes, orders and selected groups

Group No	Occupation	*Actual Workers*		Number of Female workers per 1,000 Males
		Males	Females	
1	2	3	4	5
	Sub-class I —Exploitation of animals and vegetation	**5,612,868**	**1,055,692**	**188**
	Order 1 —Pasture and Agriculture	*5,607,616*	*1,055,556*	*188*
	ORDER 1 (*a*) — CULTIVATION	5,340,486	1,040,228	195
1	Non cultivating proprietors taking rent in money or kind	247,227	73,446	297
5	Cultivating owners	2,543,671	280,508	110
6	Tenant Cultivators	1,884,617	611,507	324
7	Agricultural Labourers	661,202	74,736	113
	ORDER 1 (*b*) —CULTIVATION OF SPECIAL CROPS, FRUITS ETC (PLANTERS MANAGERS, CLERKS AND LABOURERS)	7 100	935	132
15	Tea	979	493	504
	ORDER 1 (*c*) —FORESTRY	15,795	2,007	127
19	Collectors of forest produce	1,351	1,121	830
	ORDER 1 (*d*) —STOCK RAISING	244,184	12,380	51
	ORDER 1 (*e*) —RAISING OF SMALL ANIMALS AND INSECTS	51	6	118
24	Birds bees, etc			
	Order 2 —Fishing and hunting	*5 252*	*136*	*26*
	Sub-class II —Exploitation of minerals	**5,196**	**689**	**183**
	Order 3 — Metallic minerals	*14*	*4*	*286*
34	Other metallic minerals	11	4	364
	Order 4 —Non metallic minerals	*5,182*	*685*	*132*
40	Salt saltpetre and other saline substances	2,392	608	254
	Sub-class III —Industry	**1,508,551**	**283,058**	**188**
	Order 5 —Textiles	*320,771*	*79,857*	*249*
42	Cotton ginning, cleaning and pressing	33,089	4,017	121
43	Cotton spinning, sizing and weaving	253,853	67,846	267
44	Jute pressing, spinning and weaving	1,017	330	324
45	Rope twine string and other fibres	11,625	3,691	318
46	Wool carding spinning and weaving	2,077	1,051	506
47	Silk spinning and weaving	980	247	252
49	Dyeing, bleaching, printing, preparation and sponging of textiles	17,469	2,190	125
50	Lace crepe, embroideries, fringes, etc , and insufficiently described textile industries	661	485	734
	Order 6 - Hides, skins, and hard materials from the animal kingdom	*15,155*	*1,837*	*121*
51	Working in leather	15,086	1,831	121
	Order 7 —Wood	*187,249*	*9,442*	*50*
56	Basket makers and other industries of woody materials, including leaves and thatchers, and builders working with bamboo, reeds or similar materials	24,338	6,488	267
	Order 8 —Metals	*92,031*	*1,816*	*20*
	Order 9 —Ceramics	*126,538*	*7,837*	*62*
65	Other workers in ceramics	1,521	215	141
	Order 10 —Chemical products properly so-called and analogous	*44,875*	*2,931*	*65*
	Order 11 —Food industries	*59,298*	*27,908*	*471*
71	Rice pounders and huskers and flour grinders	8,763	12,754	1,455
72	Grain parchers, etc	7,082	8,106	1,145
78	Manufacturers of Tobacco	542	177	327
81	Others	11,823	6,697	566
	Order 12 —Industries of dress and the toilet	*416,042*	*38,817*	*93*
83	Tailors, milliners, dress makers and darners	63,633	12,598	198
84	Embroiderers, hat makers and makers of other articles of wear	1,138	386	339
	Order 13 —Furniture industries	*1,045*	*54*	*52*
	Order 14 —Building industries	*41,284*	*847*	*21*
	Order 15 —Construction of means of transport	*1,361*	*1*	*1*
	Order 16 —Production and transmission of physical force	*2,915*	*7*	*2*
	Order 17 —Miscellaneous and undefined industries	*199,987*	*111,704*	*559*
99	Other miscellaneous and undefined industries (toy making, taxidermy etc)	5 424	776	143
100	Scavenging	133,397	110,219	826
	Sub-class IV —Transport	**222,608**	**3,758**	**17**
	Order 19 —Transport by Water	*16,530*	*285*	*17*
104	Labourers employed on harbours, docks, rivers and canals	2,455	257	105
	Order 20 —Transport by road	*112,076*	*2,879*	*26*
	Order 21 —Transport by rail	*82,763*	*565*	*7*
	Order 22 —Post office, telegraph and telephone services	*11,227*	*29*	*3*

SUBSIDIARY TABLE III.—*concluded*

Occupations of Females by Sub-classes, orders and selected groups.

Group No.	Occupation.	Actual Workers.		Number of Female workers per 1,000 Males.
		Males.	Females.	
1	2	3	4	5
	Sub-Class V.—Trade	583,349	24,700	42
	Order 22.—Banks, establishments of credit, exchange and insurance	41,011	1,068	27
	Order 24.—Brokerage, Commission and Export	10,260	30	3
	Order 25.—Trade in textile	32,076	90	15
	Order 26.—Trade in skins, leather and furs	11,094	129	12
	Order 27.—Trade in wood	10,367	767	73
122	Trade in thatches and other forest produce	30	11	367
	Order 28.—Trade in metals	3,311	849	256
123	Trade in metals, machinery, knives, tools, etc. *Order 29.—Trade in pottery, bricks and tiles*	2,445	352	144
124	Trade in pottery, bricks and tiles			
	Order 30.—Trade in chemical products	3,773	44	6
	Order 31.—Hotels, cafes, restaurants, etc.	12,741	11	1
	Order 32.—Other trade in food stuff	134,923	8,963	64
133	Dealers in fodder for animals	5,032	2,401	477
134	Dealers in other food stuffs	72,160	8,394	116
	Order 33.—Trade in clothing and toilet articles	9,316	127	14
	Order 34.—Trade in furniture	2,893	64	22
	Order 35.—Trade in building material	912	61	67
	Order 36.—Trade in means of transport	12,784	110	9
143	*Order 37.—Trade in fuel* Dealers in firewood, charcoal, coal, cowdung, etc.	6,596	1,310	21
	Order 38.—Trade in articles of luxury and those pertaining to letters and the arts and sciences	5,204	700	135
147	Dealers in common bangles, bead necklaces, fans, small articles, toys, hunting and fishing tackle, flowers, etc.	3,124	706	226
	Order 39.—Trade of other sorts	45,211	4,219	18
	Sub-Class VI.—Public Force	102,879	41	
	Order 40.—Army	20,271	9	
	Order 41.—Police	82,[illegible]	32	1
	Sub-Class VII.—Public Administration *Order 42.—Public administration*	95,091	1,026	11
	Sub-Class VIII.—Professions and Liberal Arts	180,933	22,474	124
	Order 43.—Religion	91,934	8,225	89
165	Other religious workers	3,377	618	183
	Order 44.—Medicine	11,126	8,337	[illegible]
172	Midwives, vaccinators, compounders, nurses, masseurs, etc.	4,297	7,[illegible]	1,636
	Order 45.—Instruction	24,864	4,137	116
174	Professors and teachers of all kinds	22,704	2,501	11
175	Clerks and servants connected with education	2,160	23	103
	Order 46.—Letters, arts and sciences (other than 44)	49,742	2,444	49
182	Musicians (composers and performers other than military), actors, dancers, etc.	19,674	2,063	105
183	Managers and employees of places of public entertainments, race courses, societies, and clubs	123	1	[illegible]
	Sub-Class IX.—Persons Living on their Income *Order 51.—Persons living principally on their income*	30,843	4,672	150
185	Proprietors (other than of agricultural land), fund and scholarship holders and pensioners			
	Sub-Class X.—Domestic Service *Order 52.—Domestic service*	250,005	44,439	177
187	Other domestic service	224,248	974	1
	Sub-Class XI.—Insufficiently Described Occupations *Order 53.—General terms which do not indicate a definite occupation*	221,906	20,122	91
191	Labourers and workmen otherwise unspecified	193,703	20,122	104
	Sub-Class XII.—Unproductive	196,256	27,811	142
	Order 54.—Inmates of jails, asylums and alms houses	13,537	160	11
	Order 55.—Beggars, vagrants, prostitutes	182,634	27,331	150
193	Beggars and vagrants	182,437	26,159	143
194	Procurers and prostitutes	227	1,142	5,031
	Order 56.—Other unclassified non-productive industries	176	11	63

SUBSIDIARY TABLE IV

Selected occupations giving comparative figures for 1931 and 1921

Group number as in 1931	Occupation	Total number of actual workers in 1931	Total number of actual workers in 1921	Percentage variation 1921-1931
1	2	3	4	5
—	CLASS A.—PRODUCTION OF RAW MATERIALS	6,674,445	5,323,449	+25·4
	SUB-CLASS I.—EXPLOITATION OF ANIMALS AND VEGETATION	6,668,560	5,313,859	+25·5
	Order 1.—Pasture and Agriculture	6,663,172	5,309,077	+25·5
	(*a*) Cultivation	6,380,714	5,074,554	+25·7
1	Non-cultivating proprietors taking rent in money or kind	320,673	337,779	−5·1
2, 4	Estate Agents and Managers of owners. Rent collectors, clerks, etc.	3,546	7,342	−51·7
5, 6	Cultivating owners. Tenant cultivators	5,320,203	4,265,327	+24·7
7	Agricultural labourers	736,028	463,906	+58·7
	(*b*) Cultivation of special crops, fruits, etc. (Planters, managers, clerks and labourers)	8,035	13,789	−41·7
16	Market gardeners, flower and fruit growers	6,563	10,773	−39·1
	(c) Forestry	17,802	10,586	+68·2
17	Forest officers, rangers, guards, etc.	3,778	1,886	+100·3
18, 19	Wood cutters and charcoal burners. Collectors of forest produce	14,014	8,700	+16·1
	(*d*) Stock raising	256,564	210,116	+22·1
21	Cattle and buffalo breeders and keepers	39,642	43,762	−9·4
22	Breeders of transport animals	19,611	961	+1,940·7
23	Herdsmen, shepherds and breeders of other animals	197,311	165,393	+19·3
	(*e*) Raising of small animals and insects	57	32	+78·1
	Order 2.—Fishing and hunting	5,388	4,782	+12·7
27	Fishing and pearling	4,653	4,011	+16·0
	SUB-CLASS II.—EXPLOITATION OF MINERALS	5,885	9,590	−38·6
	Order 3.—Metallic minerals	18	1,158	−98·4
	Order 4.—Non-metallic minerals	5,867	8,432	−30·4
40	Salt, saltpetre and other saline substances	3,000	4,471	−32·9
	CLASS B.—PREPARATION AND SUPPLY OF MATERIAL SUBSTANCES	2,635,088	2,580,331	+2·0
	SUB-CLASS III.—INDUSTRY	1,791,609	1,793,162	−·1
	Order 5.—Textiles	400,628	400,258	+·1
42	Cotton ginning, cleaning and pressing	37,106	30,915	+20·0
43	Cotton spinning, sizing and weaving	321,699	344,518	−6·6
45	Rope, twine, string and other fibres	15,316	14,744	+3·9
46	Wool carding, spinning and weaving	3,128	3,924	−20·3
49	Dyeing, bleaching, printing, preparation and sponging of textiles	19,659	2,713	+624·6
	Order 6.—Hides, skins and hard materials from the animal kingdom	16,992	22,898	−25·8
51	Working in leather	16,917	22,724	−25·6
	Order 7.—Wood	196,691	173,890	+13·1
54	Sawyers	5,439	5,890	−7·7
55	Carpenters, turners and joiners, etc.	160,426	137,105	+17·0
56	Basket makers and other industries of woody materials, including leaves, and thatchers and builders working with bamboo, reeds or similar materials	30,826	31,953	−3·5
	Order 8.—Metals	93,847	77,296	+21·4
59	Blacksmiths and other workers in iron, makers of implements, etc.	86,190	67,312	+28·1
60	Workers in brass, copper and bell metal	4,884	8,437	−42·1
61	Workers in other metals (except precious metals)	2,287	569	+301·9
	Order 9.—Ceramics	134,375	128,343	+4·7
63	Potters, and makers of earthen ware	108,710	94,730	+14·8
64	Brick and tile makers	23,029	31,043	−25·1
	Order 10.—Chemical products properly so-called and analogous	47,806	51,581	−7·3
68	Manufacture and refining of vegetable oils	44,704	48,265	−7·4
	Order 11.—Food industries	87,206	88,936	−1·9
71	Rice pounders and huskers and flour grinders	21,517	34,766	−38·1
72	Grain parchers, etc.	15,188	14,474	+4·9
73	Butchers	15,684	12,395	+26·5
75	Sweetmeat and condiment makers	14,062	15,888	−11·5
81	Others	18,510	9,485	+95·2
	Order 12.—Industries of dress and the toilet	454,859	441,203	+3·1
82	Boot, shoe, sandal and clog makers	224,479	218,215	+2·9
83	Tailors, milliners, dress makers and darners	76,231	59,618	+27·9
85	Washing and cleaning	52,268	65,588	−20·3
86	Barbers, hair dressers and wig makers	100,059	96,190	+4·0
	Order 13.—Furniture industries	1,099	1,551	−29·1
90	*Order 14.—Building industries*	42,131	62,260	−32·3
	Order 15.—Construction of means of transport	1,362	505	+169·7
91	*Order 16.—Production and transmission of physical force*	2,922	630	+363·8
	Order 17.—Miscellaneous and undefined industries	311,691	343,811	−9·3
95	Printers, engravers, book binders, etc.	3,537	1,946	+81·8
98	Makers of jewellery and ornaments	56,463	54,845	+3·0
99	Other miscellaneous and undefined industries	6,200	3,796	+63·3
100	Scavenging	243,616	280,784	−13·2

SUBSIDIARY TABLE IV—*continued*

Selected occupations giving comparative figures for 1931 and 1921

Group number as in 1931.	Occupation.	Total number of actual workers in 1931	Total number of actual workers in 1921	Percentage variation 1931—1921
1	2	3	4	5
	SUB-CLASS IV.—TRANSPORT	236,361	163, 41	+44·2
	Order 18.—Transport by air	7	128	−94·5
	Order 19.—Transport by water	*36,816*	*45,575*	−19·3
102	Ship-owners, boat-owners and their employees, officers, mariners, etc. ships brokers, boatmen and towmen	26,786	6,063	−41 8
103	Persons (other than labourers) employed in harbours, docks, rivers and canals including pilots	10 427	11,212	−7·0
104	Labourers employed on harbours, docks, rivers and canals	2,712	2,850	−4·8
	Order 20.—Transport by road	*111,045*	*85,066*	+30·5
105	Persons (other than labourers) employed on the construction and maintenance of roads and bridges	2,404	1,074	+130·6
106	Labourers employed on roads and bridges	8,291	3,646	+127·4
107	Owners, managers and employees (excluding personal servants) connected with mechanically driven vehicles (including trams)	7,894		+2,841·0
108	Owners, managers and employees (excluding personal servants) connected with other vehicles	25,026	30,043	+14·0
110	Pack elephant, camel, mule, ass and bullock, owners and drivers	48,714	58,782	−18·0
111	Porters and messengers	23,603	17,971	+31 4
	Order 21.—Transport by rail	*83,227*	*65,857*	+26·0
112	Railway employees of all kinds other than coolies	63,990	59 149	+8·1
113	Labourers employed on railway construction and maintenance and coolies and porters employed on railway premises	20,028	10,379	+85·6
114	*Order 22.—Post office, Telegraph and Telephone services*	11,238	8,065	+39 7
	SUB-CLASS V.—TRADE	617 116	583,428	+5·8
115	*Order 23.—Banks, establishments of credit, exchange and insurance*	42,479	41,503	−2 3
116	*Order 24.—Brokerage, commission and export*	*29,259*	*30,379*	−3 6
117	*Order 25.—Trade in textiles*	*53,378*	*40,003*	+30·8
118	*Order 26.—Trade in skins, leather and furs*	*11,232*	*8,901*	+25·4
	Order 27.—Trade in wood	*11,334*	*7,818*	+47 2
119 to 122	Trade in wood, barks, bamboos and canes, thatches etc	11,331	7,312	+57·2
123	*Order 28.—Trade in metals*	*4,369*	*1,728*	+152·8
124	*Order 29.—Trade in pottery, bricks and tiles*	*2,031*	*229*	+785 0
125	*Order 30.—Trade in chemical products*	*4,819*	*8,066*	−34·7
	Order 31.—Hotels, cafes, restaurants, etc.	12,655	4,094	+211·6
126	Vendors of wine, liquors, aerated waters and ice	4,271	3,087	+38·4
127	Owners and managers of hotels, cook-shops, sarais, etc (and employees).	2,727	1,017	+167·7
128	Hawkers of drink and food stuff	5,901		
	Order 32.—Other trade in food stuff	*267 753*	*317,813*	−15·7
129	Grain and pulse dealers	38,637	24,341	+57 4
130	Dealers in sweetmeats, sugar and spices	14,023	3,024	+363·8
131	Dealers in dairy products, eggs and poultry	21,010	12,963	+62·0
132	Dealers in animals for food	2,878	8,810	−67 3
133	Dealers in fodder for animals	8,033	8,507	−5 6
134	Dealers in other food stuff	89,579	200,101	−55·2
135 to 137	Dealers in tobacco, opium, ganja,	2,825	2,902	−2·4
138	*Order 33.—Trade in clothing and toilet articles*	*9,413*	*8,271*	+13·8
	Order 34.—Trade in furniture	*2,839*	*4,069*	−30·2
	Order 35.—Trade in building materials	*961*	*612*	+57·0
	Order 36.—Trade in means of transport	*13,881*	*21,587*	−35 7
144	Dealers and hirers of elephants, camels, horses, cattle, asses, mules, etc.	12,738	21,603	−41 1
145	*Order 37.—Trade in fuel*	*7,735*	*2,517*	+207 3
	Order 38.—Trade in articles of luxury and those pertaining to letters and the arts and sciences	*4,373*	*4,933*	−11·4
147	Dealers in common bangles, bead necklaces, fans, small articles, toys, hunting and fishing tackle, flowers, etc.	3,831	5,561	−31 1
	Order 39.—Trade of other sorts	*248,721*	*91,631*	+171·3
149	General store-keepers and shop-keepers otherwise unspecified	243,796	87,566	+178 4
151	Itinerant traders, pedlars and hawkers (of other than food, etc)	3,177	4,613	−31 1
152	Other trades (including farmers of pounds, tolls and markets)	2,434	653	+272·7
	CLASS C.—PUBLIC ADMINISTRATION AND LIBERAL ARTS	412,763	371,175	+11·2
	SUB-CLASS VI.—PUBLIC FORCE	103,630	117 415	−11·7
	Order 40.—Army	*69,909*	*84,126*	−16·9
153	Army (Imperial)	60,346	74,611	−19·1
154	Army (Indian States)	9,563	9,515	+0·5
	Order 42.—Air Force	*177*	*291*	−39·2
	Order 43.—Police	*53,274*	*33,053*	+61·2
157	Police	29,279	23,893	+22 4
158	Village watchmen	23,995	9,160	+161·9
	SUB-CLASS VII.—PUBLIC ADMINISTRATION *Order 44.—Public administration*	96,716	56,613	+70·8
159	Service of the State	[illegible]	39,092	[illegible]
160	Service of Indian and Foreign States	14,323	11,311	+26 6
161	Municipal and other local (not village) service	16,824	6,125	+174·6

SUBSIDIARY TABLE IV—*concluded*

Selected occupations giving comparative figures for 1931 and 1921

Group number as in 1931	Occupation	Total number of actual workers in 1931	Total number of actual workers in 1921	Percentage variation in 1921—1931
1	2	3	4	5
162	Village officials and servants other than watchmen	14,903	9,285	+60·5
	SUB CLASS VIII—PROFESSIONS AND LIBERAL ARTS	213,427	199,947	+6·7
	Order 45—Religion	*102,252*	*119,711*	*—14·5*
163	Priests, ministers etc	73,056	106,121	—31·2
164	Monks, nuns, religious mendicants	3,779	2,112	+78·9
165	Other religious workers	6,093	2,716	+124·3
166	Servants in religious edifices, burial and burning grounds, pilgrim conductors, circumcisers, etc	19,324	8,762	+120·5
	Order 46—Law	*10,237*	*5,621*	*+82·1*
167	Lawyers of all kinds, including Qazis, Law Agents and Mukhtars	5,279	2,477	+113·1
168	Lawyer's clerks, petition writers, etc	4,958	3,144	+57·7
	Order 47—Medicine	*29,685*	*17,608*	*+68·6*
169, 173	Registered Medical Practitioners including oculists, dentists, veterinary surgeons	10,887	9,139	+19·1
170	Other persons, practising the healing arts without being registered	6,553		
172	Midwives, vaccinators compounders, nurses masseurs, etc	12,245	8,469	+44·6
	Order 48—Instruction	*39,023*	*21,652*	*+80·2*
174	Professors and teachers of all kinds	36,505	20,359	+79·3
175	Clerks and servants connected with education	2,518	1,293	+94·7
	Order 49—Letters, arts and sciences (other than 44)	*32,230*	*35,355*	*—8·8*
178 *to* 180	Authors, editors, journalists and photographers Artists sculptors and image makers Scientists, astronomers, botanists, etc.	3,208	2,375	+38·8
182	Musicians (composers and performers other than military), actors, and dancers etc	21,737	24,648	—11·8
181, 184	Horoscope casters, astrologers, etc , conjurers, acrobats, reciters, etc	5,886	5,568	+5·7
	CLASS D—MISCELLANEOUS	769,904	807,231	—4·6
	SUB CLASS IX—PERSONS LIVING ON THEIR INCOME			
	Order 50—Persons living principally on their income	*33,415*	*23,898*	*+39·8*
185	Proprietors (other than of agricultural land) fund and scholarship-holders and pensioners	268,534	278,905	—3·7
	SUB CLASS X.—DOMESTIC SERVICE			
	Order 51—Domestic Service			
186	Private motor drivers and cleaners	3,708	879	+321·8
187	Other domestic service	264,826	278,026	—4·7
	SUB-CLASS XI—INSUFFICIENTLY DESCRIBED OCCUPATIONS	242,089	239,388	+1·1
	Order 52—General terms which do not indicate a definite occupation			
188	Manufacturers, businessmen and contractors otherwise unspecified	11,256	6,563	+71·5
189	Cashiers, accountants, book keepers, clerks and other employees in unspecified offices and warehouses and shops	9,691	11,108	—12·8
191	Labourers and workmen otherwise unspecified	219,737	220,572	—·4
	SUB CLASS XII—UNPRODUCTIVE	225,866	265,040	—14·8
192	*Order 53—Inmates of jails, asylums and alms houses*	*15,694*	*13,505*	*+16·2*
	Order 54—Beggars, vagrants prostitutes	*209,985*	*251,599*	*—16·5*
193	Beggars and vagrants	208,616	250,415	—16·7
195	*Order 55—Other unclassified non productive industries*	*187*	*6*	*+3,016·7*

SUBSIDIARY TABLE V

Occupations of Selected Castes.

(*Based on Imperial Table XI.*)

Serial No.	Caste.	I.—Exploitation of animals and vegetation. Exploitation of animals and vegetation. Number per 1,000 workers.	Number of female workers per 100 males.	Income from rent of land. Number per 1,000 workers.	Number of female workers per 100 males.	Cultivators of all kinds. Number per 1,000 workers.	Number of female workers per 100 males.	Agents, managers of landed estates, etc. Number per 1,000 workers.	Number of female workers per 100 males.	Field labourers, wood cutters, etc. Number per 1,000 workers.	Number of female workers per 100 males.	Raisers of livestock, etc. Number per 1,000 workers.	Number of female workers per 100 males.	Fishing and hunting. Number per 1,000 workers.	Number of female workers per 100 males.	Others. Number per 1,000 workers.	Number of female workers per 100 males.	II.—Extraction of Minerals. Number per 1,000 workers.	Number of female workers per 100 males.	III.—Industries. Industries. Number per 1,000 workers.	Number of female workers per 100 males.	Artisans and other workmen. Number per 1,000 workers.	Number of female workers per 100 males.
	1	2	3	4	5	6	7	8	9	10	11	12	13	14	15	16	17	18	19	20	21	22	23
1	Aggarwal (H)	[illegible]		19	33	44	2									8	3			36	61		
2	Ahir (H)	[illegible]	4			26	3					1				37	17						
3	Arain (M)	843	2			764	2			31	3	14	5			14	14			4	16		
4	Arora (H)	131	3	38	10	79	1									17	3			[illegible]	37	30	33
5	Arora (S)	141	3	37	1	95	1									27	2			35	24		
6	Awan (M)	506	6			229	3			21	3	19	4			16	58			[illegible]	29		
7	Bawaria (H)	614	6	3	33	316	1			291	[illegible]	77	3	47	34	2	14			[illegible]	27		
8	Biloch (M)	[illegible]	1	33	11	373	1			74	2	34	1			1	4			[illegible]	19		
9	Brahman (H)	209		41	39	410	3			17	7	[illegible]	5			3	2			[illegible]	[illegible]	38	30
10	Chamar (H)	740	12	2	37	230	2			323	4	34	4			1	21			304	6		
11	Chamar (S)	440		1	18	170	1			271		39					107			302	4	280	4
12	Chhimba (H)	361	3	1	30	214				30	5	7								[illegible]	7	[illegible]	7
13	Chhimba (S)	[illegible]		1	29	240				60	2	10								[illegible]	6	600	8
14	Chhimba (M)	202		6	16	17	1			73	4	16	1			8				614	7	612	7
15	Chuhra (H)	307				36	1			14	2	26	19			2	1			603	36	603	30
16	Chuhra ( )	98	2			134	1			417	2	[illegible]	1			2	16			231	84	231	84
17	Dagi and Koli (H)	851				63				97	23	19	13			2	31			37	[illegible]	1	13
18	Dhobi (M)	169	2	7	12	107	1			31	6	13	1			2	3			712	6	712	6
19	Faqir (M)	306	4	13	1	173	1			65	6	30				2	6			[illegible]	25		
20	Gujjar (H)	473	4	14	172	457	3			28	9					2				12	17		
21	Gujjar (M)	[illegible]	3	[illegible]	33	63	3			32	2					1	3						
22	Harni (M)	743	1	90	1	33				1		39				3				16	6		
23	Jat (H)	879	1	19	7	860	3			19	3	[illegible]	1			1	1						
24	Jat (S)	[illegible]	3	27	47	897	3			14	2	8	1				1						
25	Jat (M)	[illegible]	3	9	23	[illegible]	3			14	[illegible]	[illegible]	1			3	3			30	16		
26	Jhinwar (H)	215	3	3	23	124	2			91	7	[illegible]	1	10	1	2	139			530	27	537	27
27	Jhinwar (S)	114	7	3	1	71	1			29		9	2			1				[illegible]	[illegible]		
28	Jhinwar (M)	133				77	1			44	2					32	4			[illegible]	14		
29	Julaha (H)	415	10	6	13	271	3			101	18	28	11			6	61	7	46	343	18	341	19
30	Julaha (M)	[illegible]			13	7	1			37	4	[illegible]	1			3	4			746	7	746	7
31	Kamboh (S)	925	3			[illegible]				39	38	30				3	36						
32	Kamboh (M)	709	3	8	20	677	2			62		39	13			4	1			[illegible]	[illegible]	28	4
33	Kashmiri (M)	111	3	11	21	[illegible]	2			35	2	13	[illegible]			3	2			[illegible]	7	[illegible]	7
34	Khatri (H)	[illegible]		34	14	45	3				1	8	4			3	2			[illegible]	17	64	10
35	Khatri (S)	143	7	87	40	109	2									10	2			65	11	77	15
36	Kumhar (H)	[illegible]	1			[illegible]	3			17	11	10	3			12	17			[illegible]	4	[illegible]	5
37	Kumhar (S)	33	2	13	23	[illegible]	1			66	1	17								801	6		
38	Kumhar (M)	107	2			112	1			63	3	13	1			7	13			897	4	897	4
39	Lohar (H)	497	7	13	21	291	4			56	12	[illegible]	27			3	271			346	3		
40	Lohar (S)	217	3	33	1	122	3			81	1					11				693	4		
41	Lohar (M)	279	3	10	28	113	2			78	2					10	4			711	2	713	2
42	Machhi (M)	[illegible]	2			162	1			7	3	19	1			11	6			[illegible]	[illegible]		
43	Meo (M)	979	3	11	13	823	3			83	[illegible]	19				2							
44	Mirasi (M)	103	4	4	11	[illegible]	2			35	7					2	6			47	9		
45	Mochi (H)	33				[illegible]				16						3	[illegible]			715	3		
46	Mochi (M)	143	3		14	75	1			44	4	13	1			3				744	4	740	4
47	Musalli (M)	278	4			139	1			[illegible]	1	22	2			4	9			412	13	410	6
48	Nai (H)	159	4		31	113	1			24						7	2			[illegible]	6		
49	Nai (S)	262	2	4	14	113	1			31		10	1			7				[illegible]	7		
50	Nai (M)	131	1	7	1	113	2			33	7	7	3			1				[illegible]	3		
51	Pakhiwara (M)	174	11	13	29	172	1			85		18		217	27	11				77	17		
52	Pathan (M)	311	3	40	4	457	3			37	3	14	4			3	5			92	11	91	13
53	Rajput (H)	282	7		[illegible]	[illegible]	8			37	4	14	5			4	1			43		41	8
54	Rajput (S)	[illegible]	4	7	[illegible]	359	4			39	2	9					2			134	13		
55	Rajput (M)	[illegible]	4	[illegible]	[illegible]	[illegible]	3			59	3	[illegible]	1			3	2			17	8		
56	Rajput (K. H)	975			1	[illegible]	951			23	39	22	6			3	1						
57	Rajput (K. R)	15	[illegible]			[illegible]	13			353	11					4	23						
58	Rajput (R. H)	[illegible]				[illegible]	6			16	9	17	7			4	27						
59	Saini (H)	557	4	31	85	786	3			33		19	1				1			16	29	11	23
60	Saini	33	4	1	1	[illegible]	4			32	4						3						
61	Sansi (H)	31				[illegible]				112	1	131	3				29			25	16		
62	Sayyad (M)			1	41	31	2			23	1	11	1			4	3			49	9		
63	Sheikh (M)	1		1	16	2	1			23	1	11				3				182	7	186	7
64	Sonar (H)	1				[illegible]										9	9			833	2		
65	Sunar	77	3	14	12		1			11						4	3			11	2	10	2
66	Sunar (M)	1	1	10	27	9	1			13	23					16	1			101	3	121	3
67	Tarkhan (H)	317	4	19	71	203	3			64							3			421	2		
68	Tarkhan ( )	29		31	3	1 1	1			64	1	6				4	6			61	2		
69	Tarkhan (M)	379	4	13	29	11	3			65			1			4	1			739	2	32	2
70	Teli (M)	[illegible]	2	1	11	144	1		1	77	3	1	1			2				311	3		
71	Europeans																			[illegible]	36		
72	Anglo-Indians																			34	13	23	1
73	Armenians																						

H—Hindu, M—Muslim, —Sikh, J—Jain.
K. R.—Kanet [illegible], K. H. Kanet Hindu, R. H.—R[illegible] Hindu.

SUBSIDIARY TABLE V—*continued*

Occupations of Selected Castes

(*Based on Imperial Table XI*)

Serial No	Caste	III—Industries concluded				IV—Transport						V—Trade		VI—Public Force						VII—Public Administration			
		Others		*Transport*		*Owners, Managers, Ship's Officers etc*		*Labourers boatmen, etc*		*Others*		*Trade*		*VI—Public Force*		*Commissioned and Gazetted Officers*		*Others*		*VII—Public administration*		*Gazetted officers*	
	1	Number per 1,000 earners 24	Number of female earners per 100 males 25	Number per 1,000 earners 26	Number of female earners per 100 males 27	Number per 1,000 earners 28	Number of female earners per 100 males 29	Number per 1,000 earners 30	Number of female earners per 100 males 31	Number per 1,000 earners 32	Number of female earners per 100 males 33	Number per 1,000 earners 34	Number of female earners per 100 males 35	Number per 1,000 earners 36	Number of female earners per 100 males 37	Number per 1,000 earners 38	Number of female earners per 100 males 39	Number per 1,000 earners 40	Number of female earners per 100 males 41	Number per 1,000 earners 42	Number of female earners per 100 males 43	Number per 1,000 earners 44	Number of female earners per 100 males 45
1	Aggarwal (H)											784	2							17			
2	Ahir (H)			35	1			32	1	3													
3	Arain (M)			24				20		4		34	15										
4	Arora (H)	2	1	22	3			15	1	7	6	663	13	4						20	1		
5	Arora (S)			17				12		5		680	3							13	1		
6	Awan (M)			27	1			25	1	2				18									
7	Bawaria (H)			13	13							15	5	10						50			
8	Biloch (M)			143	4																		
9	Brahman (H)	1	5	32	1			21	1	11	1	119	1	9						25			
10	Chamar (H)			30	10																		
11	Chamar (S)			73	6			73	6														
12	Chhimba (H)	3	80	16	1							41	2										
13	Chhimba (S)	6										25	1										
14	Chhimba (M)	2		18	7			13	1	5	27	22	1										
15	Chuhra (H)			14	5																		
16	Chuhra (S)			29	17			29	17														
17	Dagi and Koli (H)	56	8																				
18	Dhobi (M)											13	2										
19	Faqir (M)			20	3							23	2										
20	Gujjar (H)			37	2																		
21	Gujjar (M)			18	1							17	3										
22	Harni (M)			27								116											
23	Jat (H)																						
24	Jat (S)													12									
25	Jat (M)			22				20		2													
26	Jhiwar (H)	2	77	30	3			27	2	3	10	49	18										
27	Jhiwar (S)			15								33	3										
28	Jhiwar (M)			18	3			17	4	1		32	3										
29	Julaha (H)	1		31	9							9	4										
30	Julaha (M)			14	1							19	2										
31	Kamboh (S)											15	2										
32	Kamboh (M)	1		39	3							54	8	17							4		
33	Kashmiri (M)	3		46				37		9		126	1							31	21		
34	Khatri (H)	3	4	54				30		24	1	566	2	9						44			
35	Khatri (S)	3	1	37	1			22	1	15		468	4							41			
36	Kumhar (H)			91	4			87	4	4		31	4										
37	Kumhar (S)			143				142		1		86	1							14	10		
38	Kumhar (M)		18	89	1			88	1	1	5	32	4										
39	Lohar (H)			9	8																		
40	Lohar (S)																						
41	Lohar (M)	1		13	2							13	3										
42	Machhi (M)			20	2			19	1	1	3	20	3										
43	Meo (M)																						
44	Mirasi (M)			11	1							11	3										
45	Mochi (H)			73	3							20	2										
46	Mochi (M)	1	1									11	3										
47	Mussalli (M)	2		21	3																		
48	Nai (H)											12	6										
49	Nai (S)											21	2										
50	Nai (M)																						
51	Pakhiwara (M)											254	5										
52	Pathan (M)	1	54	63	1			52	2	11		77	4	46						34			
53	Rajput (H)	2	2	32	1			28	1	4		28	3	18						16	1		
54	Rajput (S)			25	3							55	3										
55	Rajput (M)			22	1							22	3	13						13			
56	Rajput (K H)																						
57	Rajput (K B)																						
58	Rajput (R H)																						
59	Saini (H)	2		23	2							23	8							10	1		
60	Saini (S)			13				12		1				13									
61	Sansi (H)											40	43										
62	Sayad (M)			42				43		9		35	1	34						44	1		
63	Sheikh (M)	2	8	57	1			48	1	9	1	356	3	21						38			
64	Sunar (H)											29	6										
65	Sunar (S)	1										62	3										
66	Sunar (M)	3		10	1							27	3										
67	Tarkhan (H)																						
68	Tarkhan (S)			23	1							11	3										
69	Tarkhan (M)	2										11	4										
70	Teli (M)			30	1							42	2										
71	Europeans			45	5							15	16	785		91		694		45	13	17	2
72	Anglo Indians	13	18	250	1	218	1	32				60	21	209	2	20		189	2	163	6	40	3
73	Armenians											250		250									

H=Hindu M=Muslim S=Sikh J=Jain
K H=Kanet Hindu K. B=Kanet Buddhist R H=Rathi Hindu

SUBSIDIARY TABLE V—*concluded*

Occupations of Selected Castes.

(Based on Imperial Table XI)

Serial No.	Caste.	VII.—Public Administration.—*concld.*				VIII.—Arts and Professions.						IX.—Persons living on their Income.		X.—Domestic Service.		XI.—Contractors, Clerks, Cashiers, etc.		XII.—Labourers, unspecified.		XIII.—Beggars, Prostitutes and inmates of jails and asylums, etc.			
		Others.		*VIII.—Arts and professions.*		*Lawyers, Doctors and Teachers.*		*Religion.*		*Others.*		*Persons living on their income.*		*Domestic Service.*		*Contractors, Clerks, Cashiers, etc.*		*Labourers, unspecified.*		*Beggars, Prostitutes, inmates of jails and asylums.*		*Others.*	
		Number per 1,000 earners.	Number of female earners per 100 males.	Number per 1,000 earners.	Number of female earners per 100 males.	Number per 1,000 earners.	Number of female earners per 100 males.	Number per 1,000 earners.	Number of female earners per 100 males.	Number per 1,000 earners.	Number of female earners per 100 males.	Number per 1,000 earners.	Number of female earners per 100 males.	Number per 1,000 earners.	Number of female earners per 100 males.	Number per 1,000 earners.	Number of female earners per 100 males.	Number per 1,000 earners.	Number of female earners per 100 males.	Number per 1,000 earners.	Number of female earners per 100 males.	Number per 1,000 earners.	Number of female earners per 100 males.
	1	46	47	48	49	50	51	52	53	54	55	56	57	58	59	60	61	62	63	64	65	66	67
1	Agarwal (H)											7	28	23	3							43	4
2	Ahir (H)													16	3			23	3			47	9
3	Arain (M)																	27	1			48	17
4	Arora (H)			21	7									34	6			46	21			1	8
5	Arora (S)			40	6							12	19	23	7			71	21	7	10	13	2
	Awan (M)			22	6													26	27	13	15	60	8
	Bawaria (H)																	104	34	81	203	28	7
8	Baloch (M)													12	10			40	12	10	14	25	4
9	Brahman (H)			182	9			147	10	33	4			47	8			13	7	22	16	13	9
10	Chamar (H)																	37	20			25	21
11	Chamar (S)																	30	28	8	14	22	11
12	Chhimba (H)																	18	29			33	10
13	Chhimba (S)																					61	11
14	Chhimba (M)			10	14									17	18			28	17	8	10	14	1
15	Chuhra (H)																	33	23	9	46	31	13
16	Chuhra (S)													14	11			50	11	13	10	23	9
17	Dagi and Koli (H)																					39	12
18	Dhobi (M)													13	12			28	13	8	26	22	6
19	Faqir (M)			42	17			4	3	18	43			22	4			22	18	501	7	16	
20	Gujar (H)													16	5			41	2			22	14
21	Gujar (M)																	15	9			57	1
22	Hajjam (M)																	12	9	6	[illegible]	20	30
23	Jat (H)																	13	1			40	6
24	Jat (S)																					48	6
25	Jat (M)													11	10			29	12	10	13	29	8
26	Jhinwar (H)			31	8									38	8			79	16			18	14
27	Jhinwar (S)													31	7							80	30
28	Jhinwar (M)													18	13			31	47	7	25	25	63
29	Julaha (H)													19	11			47	16			30	21
30	Julaha (M)													16	9			1	25	8	5	25	12
31	Kamboh (H)																	8	28			84	1
32	Kamboh (M)													13	5			40	8			31	7
33	Kashmiri (M)													41	7			102	3			82	6
34	Khatri (H)			41	7	22	7			8	9	19	14	54	8	18		23	16			8	8
35	Khatri (S)			62	7	31	9			29	4	5	12	35	6							64	13
36	Kumhar (H)													18	12			20	12			17	1
37	Kumhar (S)													15	9			27	6			28	8
38	Kumhar (M)			9	14									9	14			41	16			16	20
39	Lohar (H)																					25	18
40	Lohar (S)																					60	17
41	Lohar (M)																	16	22			33	11
42	Machhi (M)			12	78							21	13					23	1			30	11
43	Meo (M)																					30	13
44	Mirasi (M)			82	10									27	14			4	11	677	18	13	4
45	Mochi (H)													24				102	8			13	15
46	Mochi (M)													11	13			10	45			22	12
47	Musalli (M)													21	11			111	11	31	28	25	7
48	Nai (H)			73	8									1	14							24	6
49	Nai (S)			31	7									18	17							41	9
50	Nai (M)			16	18									12	18			14	23			30	8
51	Pakhiwara (M)													54	14			82	30	43	7	17	67
52	Pathan (M)			21	8							11	14	43	9			79	8	16	21	11	2
53	Rajput (H)													44	8			39	7			27	14
54	Rajput (S)													37	6			82	23			69	6
55	Rajput (M)			15	9									16	8			22	11			18	13
56	Rajput (K. H.)																					47	12
57	Rajput (K. B.)																			45	2	29	8
58	Rajput (R. H.)																					47	16
59	Saini (H)													29	6			11	19			21	9
60	Saini (S)			16	6																	81	9
61	Sansi (H)													17	1			43	7	410	41	26	10
62	Sayad (M)			372	5	31	6	253	5	6	9	8	7	28	4			21	9	43	9		1
63	Sheikh (M)			45	5	21		30	3	1	15			55	8			35	6	26	11	22	6
64	Sunar (H)																	15	8			23	1
65	Sunar (S)			12	2																	42	[illegible]
66	Sunar (M)																	11	29			41	15
67	Tarkhan (H)																	30	23			22	12
	Tarkhan (S)			11	10													11	17			21	5
69	Tarkhan (M)													11	8			16	28			23	13
70	Teli (M)			30	30									14	9			37	12			21	30
71	Europeans	18	27	73	176	37	119	23	6	1	143											25	42
72	Anglo-Indians	123	7	183	87	103	73	67	43	26	309	2	23	33	110	26	3					14	30
73	Armenians			500																			

H = Hindu. M = Muslim. S = Sikh. J = Jain.
K. H. = Kanet Hindu. K. B. = Kanet Buddhist. R. H. = Rathi Hindu.

SUBSIDIARY TABLE VI

Number of persons employed on the 26th February 1931, on the Railways and in the Irrigation Department in the Punjab

CLASSES OF PERSONS EMPLOYED	Europeans and Anglo Indians.	Indians
1	2	3
Railways		
Total number of persons employed	1,621	104,446
Officers	178	154
Subordinates on scales of pay rising to Rs. 250/ p.m. or over	683	655
Subordinates on scales of pay rising from Rs. 30/ *to Rs. 249/* p.m	708	37,362
Subordinates on scales of pay under Rs 30/ p.m	52	66,275
Irrigation Department.		
Total persons employed	108	68,461
Persons directly employed	*107*	*23,167*
Officers	86	245
Upper subordinates	2	548
Lower subordinates		299
Clerks	16	1,171
Peons and other servants	3	14,013
Coolies		6,291
Persons indirectly employed	*1*	*45,294*
Contractors	1	2,041
Contractors' regular employees		3,494
Coolies		39,759

Number of persons employed in the post-office, Telegraph and Engineering Departments on the 26th February 1931, in the Punjab and Delhi

Class of persons employed.	Post-office		Telegraph office.		Engineering department.	
	European and Anglo-Indian.	Indians	European and Anglo-Indian	Indians	European and Anglo-Indian	Indians.
1	2	3	4	5	6	7
I Posts and Telegraphs.						
Total Persons employed	49	13,724	253	715	75	1,176
Supervising *officers (including probationary superintendents and inspectors of Post offices and assistant and deputy superintendents of telegraphs and of all officers of higher rank than these)*	11	91	17	7	54	27
Post masters including deputy, assistant, Sub and Branch post masters	13	760				
Signalling establishment including warrant officers, non-commissioned officers, military telegraphists and other employees		37	234	219		
Miscellaneous agents, school masters, station masters, etc	3	2,938				
Clerks of all kinds	22	2,100	2	138	1	125
Postmen		3,197				
Skilled labour establishment including foremen, instrument makers, carpenters, blacksmiths, machanics, sub inspectors, linemen, and line riders and other employees		5		8	20	926
Unskilled labour establishment including line coolies, cable guards batterymen, telegraph messengers, peons and other employees		1,127		343		98
Road establishment consisting of overseers, runners, clerks and booking agents, boatmen, syces, coach men bearers and others		1,537				
II Railway Mail Service						
Total Persons employed		1,372				
Supervising officers (including superintendents and inspectors of sorting)		24				
Clerks of all kinds		15				
Sorters		832				
Mail guards mail agents, Van peons, porters, etc.		501				
III Combined Officers.						
Total Persons employed		560				
Signallers		232				
Messengers and other servants						

CHAPTER IX

LITERACY

174. General. 175. Local distribution of literacy. 176. Literacy in cities and selected towns. 177. Literacy by main religions. 178. Progress of literacy in the younger generation. 179. Returns of Education Department. 180. Adult literacy. 181. Literacy by selected castes. 182. Literacy in English. 183. English literacy by castes. 184. Literacy in vernaculars. 185. Comparison with other provinces.

Reference to Statistics.

The absolute figures for literacy by age, sex and religion are given in Imperial Table XIII; Part A contains the provincial summary and Part B the details for each district and state, while Part C shows the details for cities and selected towns. Imperial Table XIV gives the details of literacy by certain selected castes, tribes and races.

The Provincial Tables, in Part III of this volume, are XIII A., giving the statistics of literates in the four vernaculars, Urdu, Hindi, Gurmukhi and Roman by religion for the whole Province, its main political divisions and each district and state, and XIV A. giving literacy figures of the three sects of Vedic Dharm, Brahmo and Dev Dharm.

Of the nine Subsidiary Tables which show derivative figures of literacy and are briefly described below eight appear at the end of this Chapter.

Subsidiary Table I gives the literacy *per mille* by age-groups, sex and religion for the whole Province as well as the number of total literates in English *per mille* of the population, aged 5 years and over. This is reproduced in the text.

Subsidiary Table II gives the number of literates *per mille* by age, sex and locality for each district, state and Natural Division.

Subsidiary Table III gives by religion, sex and locality for each district, state and Natural Division the total literacy *per mille* of the population, aged 5 years and over, the number of literates in certain vernaculars and the number of the primary-passed per 1,000 literates.

Subsidiary Table IV gives by sex and locality for each district, state and Natural Division the number of literates in English per 10,000 of the population in the four age-periods, 5—10, 10—15, 15—20 and 20 and over for the 1931 Census as well as the number of total literates (for each sex separately) in English per 10,000 of the population aged 5 years and over for the four decades, 1901 to 1931.

Subsidiary Table V gives for the two censuses of 1921 and 1931 the number of literates *per mille* as well as the number of literates in English per 10,000 of each selected caste.

Subsidiary Table VI gives the number of literates of both sexes *per mille* of the total population in each of the six censuses since 1881 and for the three age-groups, 10—15, 15—20 and 20 and over for the last two censuses for each district, state and Natural Division, separately.

Subsidiary Table VII gives by sex, the absolute figures of population, literacy and literacy in English for four age-periods, 5—10, 10—15, 15—20 and 20 and over for the whole Province.

Subsidiary Table VIII shows the growth in the number of educational institutions, scholars and expenditure on education from 1899-00 to 1930-31, based on departmental returns.

Subsidiary Table IX gives the total number of schools and scholars by tahsil and district as well as the average number of scholars per school in each case according to the information supplied by the Director of Public Instruction, Punjab. These figures relate to the year 1930-31.

General.

174. The instruction to enumerators with regard to the return of literacy were as follows:—

Col. 16 (literate or illiterate).—If literate in Urdu write Urdu; if literate in Hindi write Hindi; if literate in Gurmukhi write Gurmukhi; if a person can read and write in Roman characters write "Roman." Otherwise enter against all persons who can both read and write a letter in any other language the word "literate." If not make a cross (X).

Territorial Division.	Literates aged 5 years and over, 1931			
	Males.	Females.	Proportion per mille of each sex	
			Males.	Females.
Punjab	1,238,715	162,900	93	15
British Territory	1,097,011	150,713	100	17
Punjab States	141,494	12,187	70	7

The test of literacy which was the same as at the last three censuses, was thus simple enough, *i.e.*, the ability to read and write a letter. The actual figures of literates in the Province and its two main political divisions are given in the margin together with the proportion of literates 5 years and over *per mille* of each sex. Even according to the simple test of ability to read and write a letter the number of literates in the whole of British Territory is 1,097,011 males and 150,713 females, or 100 and 17 *per mille* of the total population aged 5 years and over of each sex, respectively, as compared with [illegible] and 10 *per mille* at last census. The intercensal increase in literates amounts to 4[illegible]·4 and 92·0 per cent among males and females respectively as against 13·0 and 14·1 per cent increase in the actual population of each sex. In spite of this large increase in the number of literates the amount of illiteracy is still very great, the actual number of illiterates aged 15 and over in British Territory (15,698,40[illegible]) being greater than in 1921 (14,148,817).

Local Distribution of Literacy

175 The distribution of literates may first be examined by Natural Divisions The diagram in the margin shows by means of rectangles the number of literates *per mille* of each sex in each Natural Division The Sub-Himalayan Division shows the highest amount of literacy, both male and female The Indo-Gangetic Plain comes next, followed by the Himalayan, the North-West Dry Area being the most backward This distribution is indicative of the fact that a high proportion of literacy obtains in areas, whose development took place several decades before the canal colonies in the North-West Dry Area came into existence

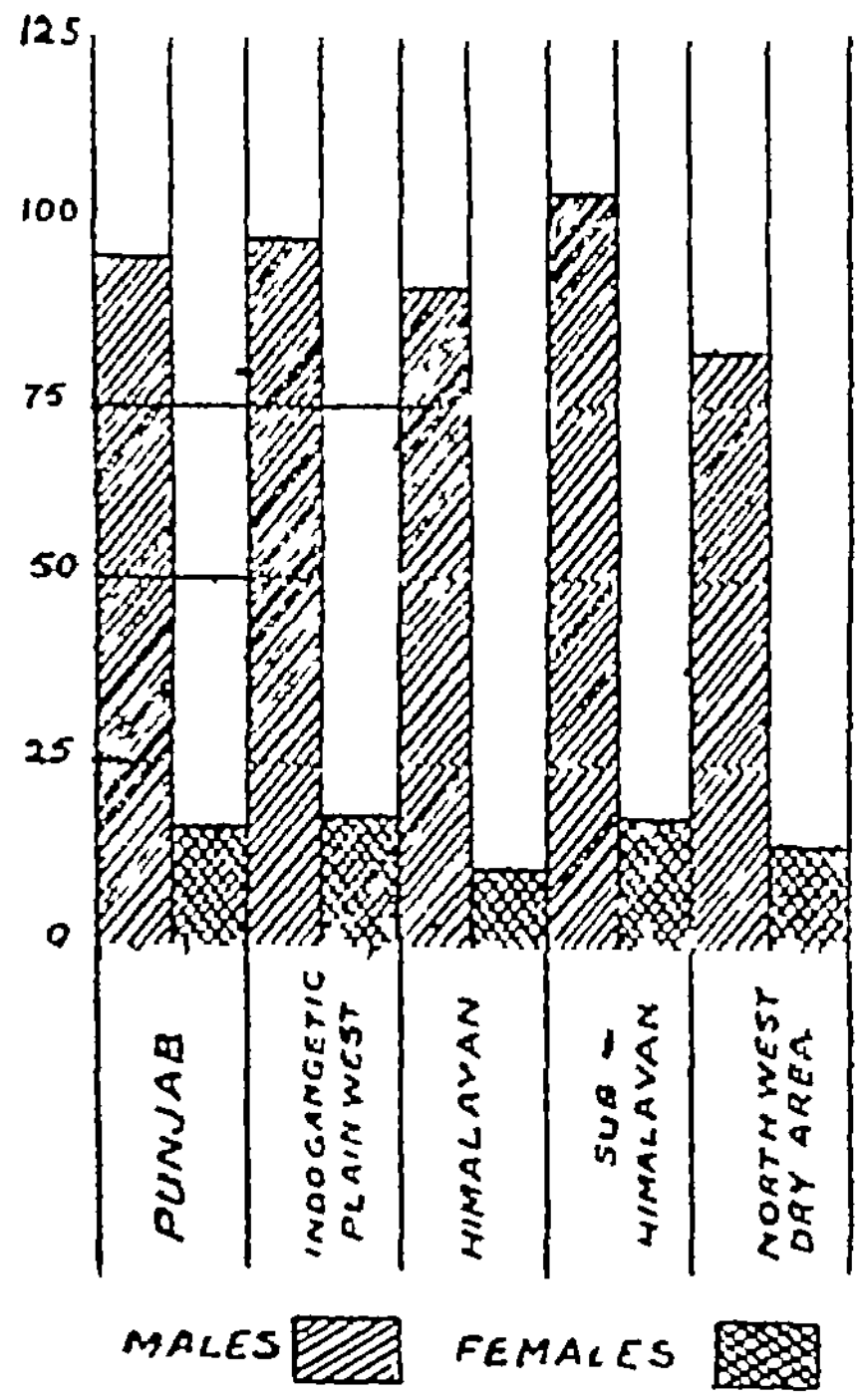

Number of persons per 1,000 who are literate in each Natural Division

The diagram below shows the distribution of literacy *per mille* of the total population of all British districts The literacy of males *per mille* of the male population is shown by the entire length of the rectangles on the right side of line O A, its shaded portion representing literacy *per mille* for both sexes The smaller rectangles on the left represent female literacy

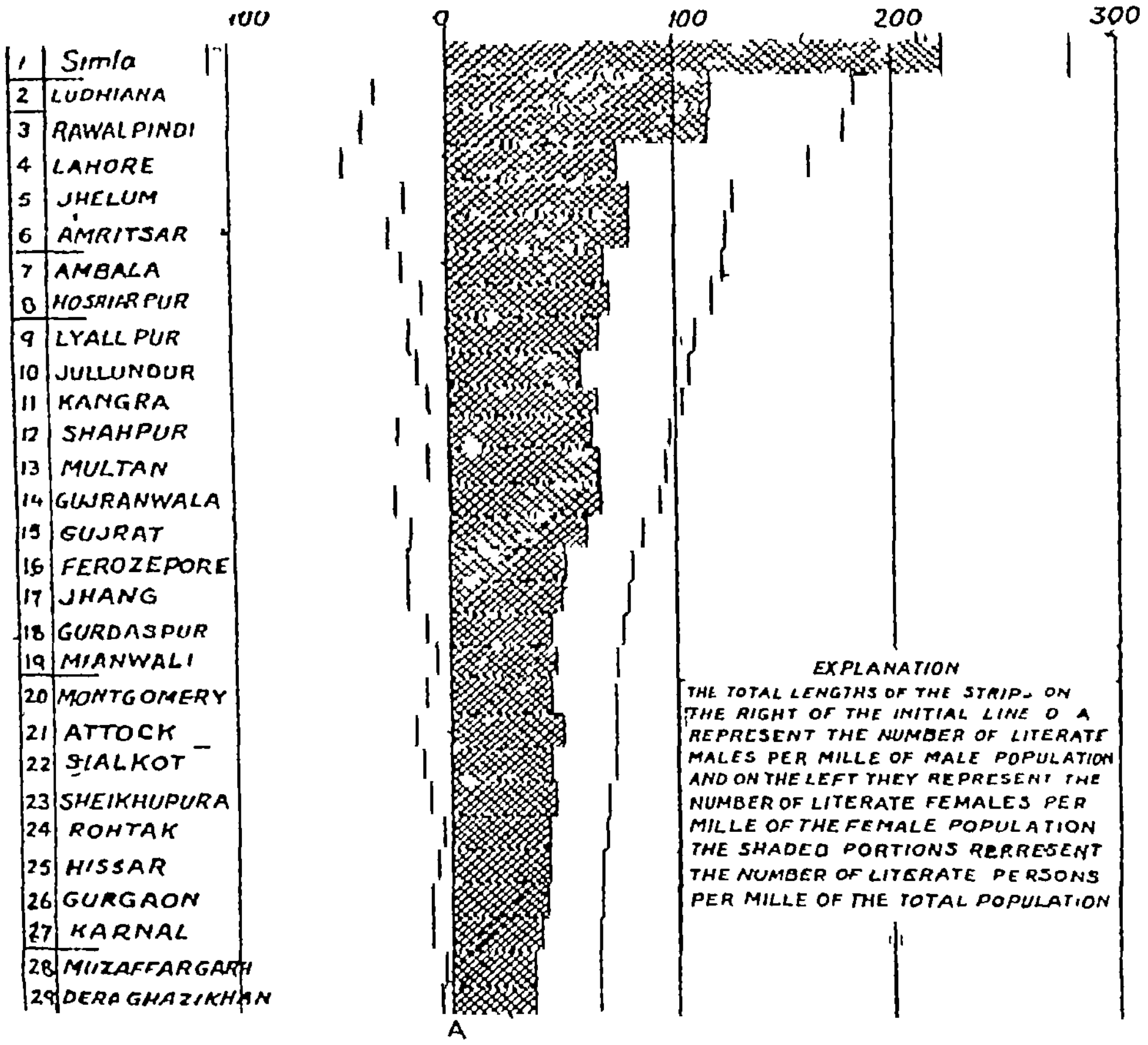

EXPLANATION

THE TOTAL LENGTHS OF THE STRIPS ON THE RIGHT OF THE INITIAL LINE O A REPRESENT THE NUMBER OF LITERATE MALES PER MILLE OF MALE POPULATION AND ON THE LEFT THEY REPRESENT THE NUMBER OF LITERATE FEMALES PER MILLE OF THE FEMALE POPULATION THE SHADED PORTIONS REPRESENT THE NUMBER OF LITERATE PERSONS PER MILLE OF THE TOTAL POPULATION

Extent of literacy generally and among males and females per mille *by districts*

The districts have been arranged in the order of male literacy, and we find that Simla with a large number of persons engaged in Public Administration has the largest proportion of literacy both male and female. Of the districts in the plains, Ludhiana, Rawalpindi Lahore, Jhelum, Amritsar Ambala, Hoshiarpur Jullundur Kangra, Shahpur and Multan appear at the top in point of male literacy With the exception of Lahore, which is the capital of the Province and the biggest educational and a large business centre, the high percentage of literacy in these districts seems to be considerably affected by the large number of ex-soldiers residing in those districts or owing to the existence of cantonments. The high incidence of literacy in Ludhiana is mainly due to its being a small compact district, with a large Sikh population, which finds it comparatively easy to become literate in their peculiar script, Gurmukhi. The same applies to the Sikh population of Rawalpindi The returns of some districts might slightly be affected by bogus returns, a fact to which reference will be made later in this Chapter The most backward districts in point of literacy would seem to be Dera Ghazi Khan, Muzaffargarh Karnal, Gurgaon, Hissar and Rohtak. The map in the margin shows the increase per cent. for the last decade in literates of all ages and of both sexes in each district and state of the Province. There has been a big increase in literacy in the central districts Ludhiana, Amritsar and Lahore the colony districts, Sheikhupura, Lyallpur Montgomery Multan and Shahpur and Bahawalpur State. In these areas the increase in total population has also been about the biggest The increase in the three first named districts is solely due to an advancement in literacy on the part of the population, a factor probably only secondary in the case of colony districts, where the main cause is immigration. A big natural increase, which means a replacement of the old population by children, might easily result in retrogression so far as proportional literacy is concerned, but immigration which for the most part adds adults to the population often causes the opposite result. Men in the various branches of public service lessees land-agents, shopkeepers etc. whose number goes up with the colonization of a tract mean so many literates added to the population of a locality

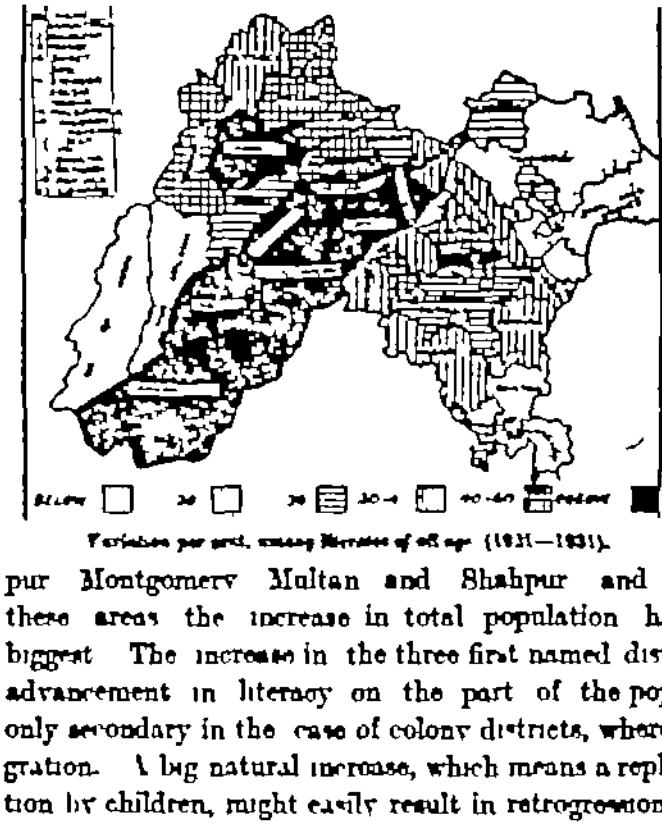

Variation per cent. among literates of all ages (1921—1931).

Of the districts named above Ludhiana and Shahpur and most of the districts with the next highest percentage of increase namely Rawalpindi Jhelum, Gujrat and Mianwali also owe the increase in literacy to the return home of demobilized soldiers who very often pick up reading and writing in Roman or in one of the vernaculars in the course of their military career The large percentage increase among literates in Mianwali is due to the recent prosperity consequent upon a large rise in cultivated area during the last decade

The percentage increase in Gujranwala Nabha and Chamba too is high and though in Gujranwala like Amritsar and Lahore this represents an advancement in literacy the increase in the case of the two states is more apparent than real For instance the number of literates in Chamba has only risen from 3,238 in 1921 to 4,610 in 1931 and even now only 36 persons *per mille* are literate

The increase in literacy in Attock Gurdaspur, Hoshiarpur, Jullundur, Ambala, Maler Kotla Ferozepore, Hissar and Karnal is very considerable, and all these districts with the exception of Attock belong to the eastern half of the Province The increase in Jhang Sialkot Mandi and Patiala is quite small, and in Sialkot, as remarked in Section 7 of Chapter I, rural population has decreased during the last decade The smallest increase in literacy is to be found in Rohtak, Gurgaon, Kangra Muzaffargarh, Sirmoor and the Simla Hill States The only district which has registered a decrease in literacy is Dera Ghazi Khan

Literacy in Cities and Selected Towns

176 The table below gives the absolute as well as the proportionate figures of literates *per mille* of the population in each of the cities and selected towns of the Province, the figures for literacy in English being also shown So far as the absolute figures are concerned, L a h o r e City—the educational centre of the Province—is at the top both in respect of general literacy and literacy in English Nearly one-fourth of its inhabitants can read and write, but only 43,000 inhabitants are literate in English, about one-eighth of whom are females From the standpoint of the proportion of literates in the total population Lyallpur eclipses Lahore both in respect of literacy of all kinds and literacy in English Even the town of Sargodha seems to be better off than Lahore in respect of the proportion of literates *per mille* of the total population These facts need not occasion a surprise, as the causes responsible are not difficult to locate For example, a contributory cause may be the different interpretations of instructions or the overzeal of a citizen to return himself as literate Moreover, according to the census definition a University graduate as well as a *Mahajan* knowing only *Lande* or *Hindi Mahajani* (business script) is returned as literate, and Lyallpur and Sargodha are the chief colony towns, crowded with businessmen, and have also a large proportion of persons employed in occupations connected with Public Administration and the Liberal Arts and Professions as compared with Lahore, which has a large proportion of old residents

Town	Total Literates			Literates in English			Number of Literates *per mille* of the Population 5 years and over					
							Total Literacy			*English Literacy*		
	Persons	Males	Females	Persons	Males	Females	Persons	Males	Females	Persons	Males	Females
Lahore	100,885	81,631	19,254	42,916	37,438	5,478	269	333	140	114	153	42
Amritsar	39,337	32,043	7,294	12,288	10,485	1,803	174	231	82	53	74	20
Multan	15,301	13,596	1,705	5,035	4,640	395	147	225	30	48	77	9
Rawalpindi	27,523	24,769	2,754	12,397	11,158	1,239	264	304	76	110	164	34
Sialkot	12,054	10,987	1,067	4,844	4,145	699	140	210	32	56	79	21
Jullundur	14,028	11,607	2,421	4,262	3,823	439	183	259	76	56	85	14
Ambala	16,180	13,479	2,701	6,367	5,954	413	214	293	91	84	129	14
Ludhiana	11,898	8,891	3,007	4,772	4,173	599	200	251	124	80	118	25
Ferozepore	12,210	10,126	2,084	4,550	4,104	386	216	292	96	81	120	18
Lyallpur	14,546	11,190	3,356	4,621	4,022	599	389	463	264	124	163	47
Sargodha	7,517	5,494	2,023	2,324	2,159	165	327	378	240	101	149	20

The amount of literacy in other towns requires no special notice except that the figures for towns with cantonments are comparatively higher For example, the number of literates in Rawalpindi and Ambala seems to be particularly affected by this cause

Literacy by Main Religions.

177 The absolute figures of literacy are given by religions and main age-periods in Table XIII. Subsidiary Table I below shows the proportional distribution of literates *per mille* by age for each religion and sex for the whole Province. Europeans and Anglo-Indians naturally have the largest proportion, while Zoroastrians (Parsis) are a good second. In general literacy Hindus and Sikhs are nearly equal but very much behind Jains who as a rule belong to the trading classes, mainly Aggarwal. The literacy among Muslims is about the lowest being even lower than that among Indian Christians, whose females are particularly well advanced. The amount of literacy is not only small among Muslims of all ages but the number of literates *per mille* of (school-going) ages 5—10 and 10—15 is even now less than half that of Hindus. In the higher ages the proportion drops to about one-third Ad Dharmis can lay no claim to literacy to any considerable extent, and their proportion is nearly half that for Muslims. Buddhists dwell mainly in the remoter parts of Kangra District and the Simla Hill States, and most of them are illiterate

SUBSIDIARY TABLE I.

Literacy by age, sex and religion.

Religion	Number per mille* who are Literate.											Number per mille aged 5 and over, who are Literate in English.		
	All ages 5 and over			5—10		10—15		15—20		20 and over.				
	Total.	Males.	Females.	Males.	Females.	Males.	Females.	Males.	Females.	Males.	Females.	Total.	Males.	Females.
1	2	3	4	5	6	7	8	9	10	11	12	13	14	15
Punjab All Religions	53	93	15	27	[illegible]	63	10	112	20	113	13	11	19	2
Hindu	90	147	21	40	12	90	22	186	32	178	20	15	27	1
Ad Dharmi	16	27	4	9	2	19	3	38	6	25	4	1		
Sikh	83	126	28	36	14	82	27	164	45	151	25	12	[illegible]	2
Jain	303	494	79	142	54	296	51	483	137	406	93	47	[illegible]	6
Buddhist	67	121	13	12	5	22	3	108	15	167	16	2	[illegible]	1
Zoroastrian	529	555	491	465	300	400	412	451	375	602	514	403	447	333
Muslim	34	53	6	19	4	43	6	88	12	62	7	7	12	1
Christian	102	123	78	34	36	89	64	179	100	164	88	65	78	49
(European)	675	690	423	377	372	434	460	778	449	708	472	496	533	383
(Indian)	66	72	60	27	28	80	84	97	91	93	64	26	37	25
Jew	230	400	143		1 000					500		83		143

*Proportion is calculated on the population of the age-period concerned and not on the total population.

One of the important causes for the comparatively small number of literates among Muslims is that unlike Hindus and Sikhs they do not, to any appreciable extent acquire literacy without going to school. The only sphere of life which gives them an opportunity to become literate in adult age is military service In the case of Hindus and Sikhs their occupations very often help them in learning to read and write This is borne out by the high proportion of literates among Jains The proportion of literates among the trading class of Hindus such as Arora and Khatri is similarly very high. Among Sikhs a large number of artisans pick up reading and writing in their every-day business, and numerous Sikh women are literate in Gurmukhi which is not at all difficult to learn. The proportion of literacy is higher among Sikh females than among the Hindu, and it is even more pronounced among the young generation (female children aged 5—10) As compared with Muslims the proportion of literates among Hindus and Sikhs becomes higher at ages over 15 This may be due to several causes, such as the greater possibility of relapse into illiteracy among Muslims or the greater advance made by them only in recent years A corroborative fact is that the proportion of the primary-passed is smaller among Hindu and Sikh literates than among the Muslim

In the marginal table are given the proportions of the primary-passed* *per mille* of all literates belonging to the main religions in each Natural Division It shows that more Muslim literates of both sexes are primary-passed than literates of all other religions Very few of the literate Sikh females are primary-passed indicating that they pick up Gurmukhi at home

Proportion of primary passed per 1,000 literates

LOCALITY	HINDU		SIKH		MUSLIM		CHRISTIAN	
	Males	Females	Males	Females	Males	Females	Males	Females
Punjab	*512*	*239*	*406*	*118*	*755*	*650*	*'02*	*120*
I —Indo-Gangetic Plain	524	203	364	127	740	678	353	490
II —Himalayan	385	73	436	150	741	448	244	171
III —Sub Himalayan	589	241	478	108	702	604	203	313
IV —North West Dry Area	487	189	430	113	771	506	495	624

Progress of Literacy in the Younger generation

178 The advance made in literacy during the last decade, no doubt mainly due to the activities of the Education Department, is confined mainly to persons aged over 10 and under 20 It is believed to be mainly responsible for the proportion of literates in ages 10—20 The map in the margin shows the proportion of literate males of these ages *per mille* of all males of those ages enumerated in each district or state This proportion would seem to be highest in Lahore, Hoshiarpur, Simla, Ludhiana Jhelum and Rawalpindi (136 and over *per mille*), the next highest proportion (over 95 *per mille*) obtaining in Shahpur, Lyallpur, Gujranwala, Amritsar, Jullundur and Ambala The districts with a proportion lower than 95 *per mille* are Multan, Jhang Gujrat Sialkot, Gurdaspur Ferozepore and Kangra, followed by Rohtak, Montgomery Sheikhupura, Mianwali and Attock and the States of Nabha, Pataudi, Faridkot and Kapurthala The proportion of literates is very small in the Districts of Hissar Gurgaon Karnal, Muzaffargarh and Dera Ghazi Khan and the States of Patiala and Mandi the Simla Hill States and Sirmoor while the remaining states show a still smaller proportion It is unsafe to generalize about the amount of literacy imparted in schools, but it appears that in most of the districts the educational institutions (schools *pathshalas* and *maktabs*) at present in existence have not turned out male literates from amongst the members of the younger generation (aged 10—20) in excess of 95 *per mille* which is the average proportion of male literacy in the Province for all ages In these districts literacy is hardly making any headway, and the hope of spreading education in the backward tracts in order to raise the provincial proportion of literacy seems to be far from realization When this younger

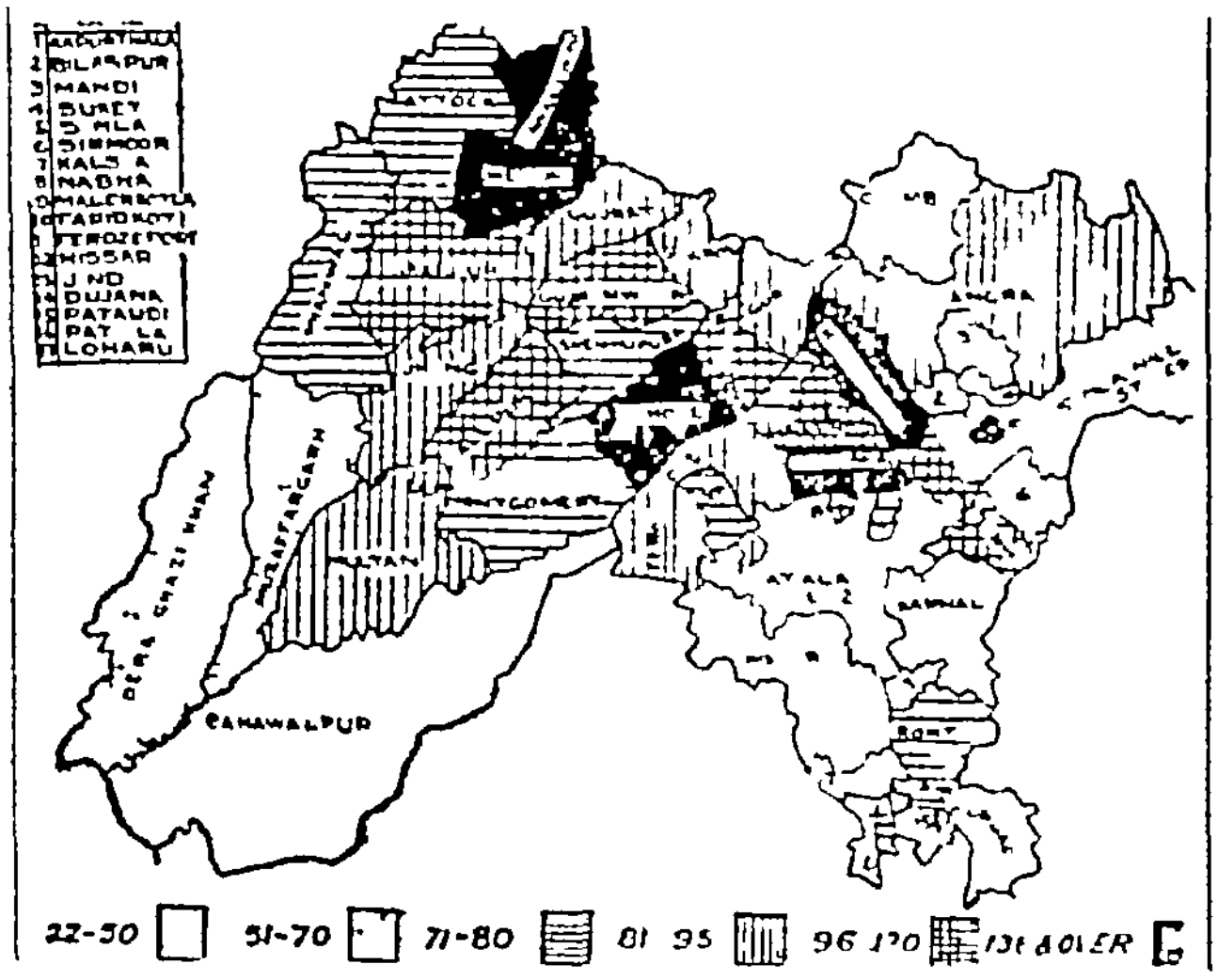

Male literates aged 10—20 per mille of the Boys of the same age (1931) generation grows up the position of the Province will, I am afraid, not be substantially better than it is now The census figures of literacy could not be materially wrong and if an error at all exists it would be due rather to the overzeal on the part of a community to swell the figures of its literates. In the face of these facts the view expressed in the Annual Report on the Progress of Education (1930-31 p 19) quoted below might occasion some surprise.

---

*Primary-passed used [illegible] a person who passed [illegible] after that year The primary standard was reduced from five [illegible]

> Time was when we heard much of the backwardness of the Multan Division and in particular the ills of Muzaffargarh but our Inspector of the Multan Division writes:—
>
> The percentage of boys at school to the male school-going population ranges from 61 to 91 as shown in the following table:—
>
> | | | |
> |---|---|---|
> | Montgomery | ... | 91 per cent. |
> | Jhang | | 81 |
> | Lyallpur | | 77 |
> | Multan | | 78 „ |
> | Dera Ghazi Khan | | 69 „ |
> | Muzaffargarh | | 61 |
>
> "These figures again approach what we used to hope to achieve only through compulsion. The second class in this Division is 44 per cent. of the first, and the fourth class is 78 per cent. of the enrolment in the third.

Returns of Education Department. 179 It will be of interest if we could here summarize the position of the Province from the standpoint of educational progress as gathered from the statistics published by the Education Department in their annual reports. The figures given in the margin show the number of scholars (both sexes) in the different stages in all the schools in British Territory for each year of the last decade According to the view expressed by the Indian Statutory Commission* a sustained course of instructions for a minimum period of four years is essential to establish a literacy that lasts. About two-thirds of the scholars in the fourth stage may thus be regarded as becoming literate every year If the figures at one stage are compared with the figures for the next higher stage in the following year the amount of stagnation will be evident.

Number of pupils (males and females) in schools by stages

Year.	Class I.	Class II.	Class III	Class IV	Literates below 20 surviving at the time of census (taking ⅔ of Class IV and allowing 15 *per mille* as death-rate annually).
1	2	3	4	5	6
1921-22	223,617	91,645	69,290	50,496	28,119
1922-23	312,605	90,690	78,402	57,221	33,069
1923-24	317,420	109,290	78,671	64,229	38,373
1924-25	375,849	111,508	86,430	67,442	40,915
1925-26	402,644	140,219	93,190	72,720	45,461
1926-27	440,561	172,108	96,132	82,911	51,935
1927-28	437,044	202,314	103,912	84,[illegible]	53,426
1928-29	412,140	219,090	117,861	90,266	58,372
1929-30	462,370	231,607	120,626	97,854	61,323
1930-31	471,022	242,303	131,901	106,619	71,979
Total literates below 20 estimated from departmental returns (1922-31)					457,536
Literates below 20 according to the 1931 Census (British Territory)					393,812
Difference					63,724

The figures of literates turned out during the last nine years very approximately give the total literates below 20 at this census after an allowance is made for the deaths during the last decade In the last column of the table above an estimate of the survivors has been made on the assumption of an annual death rate of 15 *per mille* The number actually returned as literates below 20 at this census has also been given The difference between the estimated outturn and the actual figure might be regarded as due to relapse into illiteracy of boys, who passed their fourth class in the early years of the decade and to some of them being now above 20 which is not at all improbable The primary standard was reduced from 5 to 4 classes in 1919 and the amount of relapse during the last decade would naturally be greater than before

---

*Report of the Indian Statutory Commission, Vol. I, P 394.

The table also shows how certain castes, such as Aggarwal, Khatri and Arora, have stood out at both the censuses with a prominently high percentage of literacy The figures of these castes would compare favourably even with those of Europeans, Anglo-Indians or Zoroastrians, if the comparison were confined to persons between the ages of 15 and 40 Brahmans, Sayads and Sheikhs seem to be literate in fairly large numbers, and to a lesser extent Pathans and Kashmiris The agricultural castes are, of course, very backward, but Rajputs, who receive large accretions from the well-to-do and educated members of lower castes, and Sainis are proportionately better educated, while of the others Kambohs, Jats, Awans and Arains are almost on the same level The Ahirs, Gujjars and Meos are in the background, though the two last-named have made much progress during the last decade As regards the artisan castes, such as Lohar and Tarkhan, there is not much to choose between them and their agriculturist neighbours Jat and Arain, while the Sunar (goldsmith) is comparatively much better off Of the village menials, *Kumhar*, *Mochi*, *Teli*, *Machhi* and *Dhobi* are still backward, and the criminal tribes under State supervision have drawn level with them, the Pakhiwara actually claiming a higher proportion of literacy The depressed classes, namely, Dagi and Koli, Chamar and Chuhra, and their Muslim counterparts, Mochi and Mussalli, are the most backward of all

Literacy in English

182 In British Territory there are now 230,390 males and 19,217 females who are literate in English as compared with 128,242 males and 11,293 females in 1921 Excluding the Europeans and Anglo-Indians the literates in English comprise 222,006 males and 17,117 females, or 22 and 2 *per mille* of the population of each sex over 5 years old respectively

The progress of English literacy is shown below by an extract from Subsidiary Table IV, the figures of general literacy being also shown side by side

Natural Division	*Total number of literates per mille* *								*Literates in English per 10,000 of each sex aged over 5*							
	1931		1921		1911		1901		1931		1921		1911		1901	
	Males.	Females	Males	Females	Males	Females	Males	Females	Males	Females	Males	Females	Males	Females	Males	Females
1	2	3	4	5	6	7	8	9	10	11	12	13	14	15	16	17
Punjab	*95*	*15*	*74*	*9*	*62*	*6*	*64*	*3*	*198*	*19*	*118*	*12*	*92*	*12*	*71*	*7*
I.—Indo Gangetic Plain West	98	17	74	9	62	6	59	3	206	24	128	25	104	13	75	7
II —Himalayan	91	8	83	9	61	5	67	4	109	9	85	26	58	24	48	16
III.—Sub Himalayan	104	17	85	11	65	7	68	4	241	21	155	16	115	13	90	9
IV —North West Dry Area	82	13	62	7	60	4	69	3	126	9	70	4	54	4	46	3

* The proportion of literates for 1931 and 1921 has been worked out on the basis of the population of each sex aged over 5, and for 1911 and 1901 on the basis of the total population

English literacy like that in vernaculars is making progress everywhere with this difference that in its case the Himalayan Division is more backward than the North-West Dry Area

English Literacy by Castes

Statement showing the number per 10,000 of the total strength of each caste.

Literate in English

Caste	1931		1921	
	Males	Females	Males	Females
Aggarwal	383	13	258	7
Arora	350	23	255	10
Brahman	379	17	312	7
Kashmiri	336	26	167	7
Khatri	1,048	67	976	37
Pathan	291	17	212	7
Sayad	392	20	297	4
Sheikh	448	34	385	12

183 The literacy in English is most widespread among the castes noted in the marginal table, which compares the number of literates in English per 10,000 of the total strength of each caste with that of 1921 The castes are arranged alphabetically The Khatris, both male and female, have the largest proportion of literates in English The Sheikhs, Sayads, Aggarwals, Brahmans and Aroras come next in the order The Kashmiris take the seventh place, having doubled their proportion since last census, and are followed by Pathans

Literacy in Vernaculars.

184 As already stated, literacy in four main vernaculars, namely Urdu, Hindi, Gurmukhi and Roman was recorded at this census. Roman is Urdu or Punjabi written in English characters. The figures of other scripts like *Hindi Mahajani* and *Lande* though recorded were not tabulated for reasons of economy Table XIII A, printed in Part III of this Volume gives the literacy in each of the important vernaculars by religion for each district and state. The Provincial Summary is reproduced below for facility of reference.

Literacy in certain Vernaculars by Religion.

Religion.	Literate in Punjab: All Vernaculars.	Punjab: Urdu.	Punjab: Hindi.	Punjab: Gurmukhi.	Punjab: Roman.	British Territory: All Vernaculars.	British Territory: Urdu.
1		3	4	5	6	7	8
ALL RELIGIONS	1,372,201	908,821	216,296	198,404	6,887	1,133,023	836,203
Males	1,118,017	810,859	176,041	148,187	6,415	990,180	774,830
Females	154,254	67,962	40,251	50,217	472	142,847	61,863
Hindu	482,125	264,142	198,461	51,861	3,554	503,684	326,830
Males	410,402	248,391	161,394	38,196	3,515	444,038	312,074
Females	63,724	13,751	37,090	14,068	40	59,656	14,820
Ad-Dharmi	4,608	2,077	335	3,228	6	4,412	2,000
Males	4,096	1,875	244	2,941	6	4,066	1,905
Females	512	106	91	287		346	105
Sikh	346,379	113,696	11,633	111,371	1,202	213,671	104,558
Males	307,257	109,252	9,673	107,017	1 175	178,903	100,204
Females	39,116	4,444	1,960	34,184	27	34,708	4,153
Muslim	411,925	400,015	2,037	1,778	1,632	386,463	381,494
Males	371,626	359,914	2,022	1,649	1,596	347,869	344,045
Females	40,297	40,124	6	129	36	38,590	37,449
Christian	17,442	16,804	369	331	766	17,062	16,452
Males	10,225	9,763	224	270	97	9,909	9,625
Females	7,217	7,041	145	64	69	7,093	6,827

Religion.	Literate in British Territory: Hindi.	British Territory: Gurmukhi.	British Territory: Roman.	Punjab States: All Vernaculars.	Punjab States: Urdu.	Punjab States: Hindi.	Punjab States: Gurmukhi.	Punjab States: Roman.
1	9	1	11	12	13	14	15	16
ALL RELIGIONS	173,193	107,112	3,350	138,379	68,900	42,105	30,372	2,633
Males	137 41	113,456	2,519	127,467	65,846	38,615	34,337	2,587
Females	31,771	[illegible]	111	11 41	2,529	4 487	4,017	31
Hindu	159 099	49,871	859	73,412	36,49	30,404	36,317	1,463
Males	[illegible]	[illegible],101	864	72,304	34,967	25 136	10,083	1,480
Females	[illegible]	11,872	[illegible]	6,908	1,223	[illegible]	79	18
Ad-Dharmi	435	1,111	0	[illegible]	11	3	107	
Males	[illegible]	[illegible]	9	170	13	2	103	
Females	93	[illegible]		7		1	4	
Sikh	8,907	111 536	735	31,701	8,109	2,170	26,635	467
Males	[illegible]	[illegible]	2,1	20,294	7,850	2,061	23,411	454
Females	[illegible]	[illegible]	11	3,410	[illegible]	110	3,224	13
Muslim	[illegible]	1 71	931	[illegible]	21,834	115	707	678
Males	1,19[illegible]	834	91	23,237	22,870	632	681	676
Females	31	115	36	1 70	1,065	11	15	
Christian	311	[illegible]	131	37	31	16	7	15
Males	19	[illegible]	63	53	228	6	5	12
Females	131	60	68	119	111	11	4	3

The number of persons literate in these vernaculars is smaller than the detail given under each vernacular as some persons are literate in more vernaculars than one and have been included in the figures for each. The detail of dual literacy appears on the fly-leaf to the above mentioned Table.

A large majority of the people are literate in Urdu their number being double that of literates in other vernaculars put together. The strength of Hindi and Gurmukhi is about equal while literates in Roman are comparatively few. Roman is being taught in the Army to illiterate soldiers and at next census the number of literates in this script is bound to increase. The number of literates among Hindus despite their numerical inferiority is much greater than that among Muslims, the latter claiming a larger number of literates in Urdu Only very few Muslims and Christians are literate in Hindi and Gurmukhi, while the number of Hindus literate in Hindi is one-half of those literate in Urdu Gurmukhi is, of course, the vernacular of Sikhs, and actually more Sikhs are literate in Gurmukhi than in Urdu, more particularly so in the Punjab States

Comparison with other Provinces

185 The table in the margin shows the number of literates *per mille* among those aged over 5 years in this Province and some other provinces and states of India The proportion of literacy is higher in this Province than in the contiguous provinces and states, such as the North-West Frontier Province, Rajputana Agency, Jammu and Kashmir State and the United Provinces The proportion of literates in the Presidencies is, however, very much greater, Madras having a proportion of literates almost twice as large as the Punjab The proportions for provinces with a large urban population like Delhi and Ajmer-Merwara are also higher

PROVINCE	Literates aged 5 and over *per mille* of the population aged 5 and over	
	Males	Females
1	2	3
Punjab	95	15
Delhi	226	72
N W F Province	80	12
United Provinces	94	11
Rajputana	76	6
Jammu and Kashmir State	70	6
Hyderabad State	85	12
Central Provinces and Berar	110	11
Central India Agency	92	9
Bihar and Orissa	95	8
Ajmer Merwara	203	35
Bombay	167	29
Madras	188	30
Bengal	180	32
Assam	152	23
Burma	560	165

SUBSIDIARY TABLE II.

Literacy by Age, Sex and Locality

District or State and Natural Division.	Number per mille who are Literate										
	All ages 5 and over			5—10		10—15		15—20		20 and over.	
	Total.	Males.	Females.	Males.	Females.	Males.	Females.	Males.	Females.	Males.	Females.
1	2	3	4	5	6	7	8	9	10	11	12
PUNJAB	**59**	**95**	**15**	**37**	**8**	**63**	**16**	**131**	**26**	**113**	**15**
I.—Indo-Gangetic Plain West	*61*	*96*	*17*	*23*	*9*	*63*	*17*	*149*	*27*	*113*	*18*
1. Hissar	40	68	8	17	3	41	8	90	8	80	8
2. *Loharu State*	16	33	3	7	1	13	1	35	6	44	3
3. Rohtak	41	73	4	20	2	49	4	90	6	87	4
4. *Dujana State*	24	45	2	9	1	34	1	63	4	69	
5. Gurgaon	40	66	6	20	3	46	6	91	9	82	6
6. *Pataudi State*	58	102	8	26	4	65	7	134	13	128	8
7. Karnal	39	64	6	17	3	41	6	78	9	79	7
8. Jullundur	65	104	17	36	7	85	19	187	24	115	17
9. *Kapurthala State*	42	66	12	21	7	49	14	101	22	78	[illegible]
10. Ludhiana	118	190	31	62	21	140	37	230	53	204	28
11. *Malerkotla State*	65	108	11	30	6	67	11	127	15	124	11
12. Ferozepore	56	93	15	29	10	67	18	[illegible]	23	113	14
13. *Faridkot State*	57	95	8	18	3	41	7	112	14	123	8
14. *Patiala State*	49	82	7	13	3	33	6	98	[illegible]	109	8
15. *Jind State*	29	45	5	9	1	22	4	83	9	68	6
16. *Nabha State*	56	91	13	22	3	48	13	100	19	116	11
17. Lahore	114	160	48	49	20	101	61	209	60	195	49
18. Amritsar	79	129	27	36	14	84	36	165	46	140	27
19. Gujranwala	64	94	25	35	14	74	28	131	41	107	24
20. Sheikhupura	47	73	11	21	5	51	[illegible]	104	30	90	11
II.—Himalayan	*43*	*91*	*8*	*21*	*5*	*45*	*9*	*104*	*13*	*111*	*8*
21. *Sirmoor State*	27	60	7	[illegible]	6	25	11	60	12	73	6
22. Simla	226	339	107	137	70	231	144	302	[illegible]	310	110
23. *Simla Hill States*	42	75	5	17	3	35	5	81	7	90	6
24. *Bilaspur State*	29	52	2	9		19	1	49	3	64	3
25. Kangra	54	103	9	27	5	63	9	132	15	125	8
26. *Mandi State*	45	95	7	18	5	36	8	104	12	126	7
27. *Suket State*	22	41	2	11	2	21	3	35	4	51	2
28. *Chamba State*	36	64	6	9	4	22	6	80	8	83	6
III.—Sub-Himalayan	*65*	*101*	*17*	*33*	*9*	*77*	*19*	*137*	*31*	*130*	*17*
29. Ambala	78	129	23	33	13	78	23	160	24	112	23
30. *Kalsia State*	43	71	12	17	5	39	12	82	22	80	11
31. Hoshiarpur	67	114	12	40	7	96	11	195	23	123	12
32. Gurdaspur	61	[illegible]	13	27	6	63	13	121	4	91	12
33. Sialkot	49	73	14	25	6	59	17	132	25	84	12
34. Gujrat	59	93	15	25	8	61	15	130	30	113	14
35. Jhelum	74	123	20	45	11	103	25	202	[illegible]	125	[illegible]
36. Rawalpindi	114	179	36	65	20	134	39	209	67	202	37
37. Attock	47	76	15	30	7	49	16	110	26	93	13
IV.—North-West Dry Area	*51*	*81*	*13*	*22*	*6*	*63*	*11*	*129*	*21*	*99*	*12*
38. Montgomery	49	78	12	18	8	47	11	103	—	97	13
39. Shahpur	65	95	26	22	13	72	31	140	53	115	24
40. Mianwali	43	79	7	17	4	45	6	121	11	99	7
41. Lyallpur	65	107	19	37	7	96	1	165	37	131	20
42. Jhang	53	83	20	27	20	63	22	128	33	109	29
43. Multan	59	95	19	22	4	54	10	133	17	123	18
44. *Bahawalpur State*	27	45	4	11	2	23	4	63	8	64	4
45. Muzaffargarh	37	63	4	12	2	39	4	80	7	73	4
46. Dera Ghazi Khan	37	62	5	13	3	22	8	99	12	78	5
Cities	230	298	108	109	84	216	114	345	143	318	109
Selected Towns	206	289	72	115	44	278	79	355	103	318	71
Total Cities and Selected Towns	215	297	95	111	58	218	101	349	131	316	95

SUBSIDIARY TABLE III

Literacy by Religion, Sex and Locality

(Aged 5 and over)

District or State and Natural Division	A.—Number *per mille* who are Literate										B.—Number of Literates in certain Vernaculars per 1,000 Total Literates				
	Hindu		Sikh		Jain		Muslim		Christian		Hindu		Sikh		Jain
	Males	Females	Males	Females	Males	Females	Males	Females	Males	Females	Males	Females	Males	Females	Males
1	2	3	4	5	6	7	8	9	10	11	12	13	14	15	16
PUNJAB	**147**	**21**	**126**	**26**	**494**	**78**	**55**	**8**	**123**	**75**	**869**	**948**	**906**	**993**	**747**
I.—Indo-Gangetic Plain West	*[illegible]*	*15*	*103*	*16*	*[illegible]*	*69*	*66*	*13*	*116*	*79*	*849*	*912*	*[illegible]*	*956*	*701*
1 Hissar	77	5	70	5	570	46	34	3	215	220	716	895	923	1,000	606
2 *Loharu State*	20	2	1,000		871	667	44	4		1,000	733	503	1,000		1,000
3 Rohtak	49	3	313	85	475	55	66	6	5	30	789	818	1,000	1,000	972
4 *Dujana State*	41	1	1,000				61	4	1,000	1,000	822	1,000	1,000		
Gurgaon	76	6	226	70	608	78	44	3	337	255	898	985	1,000	1,000	863
6 *Pataudi State*	96	6			891	97	100	13	1,000	1,000	973	1,000			992
7 Karnal	66	5	81	13	41	35	53	8	153	134	711	890	911	1,000	431
8 Jullundur	241	51	85	13	333	80	81	10	411	167	98[illegible]	593	990	1,000	985
9 *Kapurthala State*	104	41	71	12	444		36	5	37	14	967	990	991	985	1,000
10 Ludhiana	281	8	226	26	446	100	79	21	271	401	978	991	510	1,000	916
11 *Maler Kotla State*	171	14	77	8	670	30	76	9	224	61	793	882	897	978	705
12 Ferozepore	226	17	84	14	586	158	40	6	419	171	910	975	982	984	958
13 *Faridkot State*	303	27	80	7	500	68	36	2	24	16	798	984	987	1,000	974
14 *Patiala State*	121	7	61	9	416	21	42	5	209	174	690	939	809	907	495
15 *Jind State*	47	3	65	16	267	41	32	3	624	577	871	954	912	969	816
16 *Nabha State*	118	9	53	13	631	92	42	17	111	33	975	993	999	1,000	573
17 Lahore	297	85	105	20	694	191	124	37	220	161	970	991	986	999	970
18 Amritsar	207	51	106	22	286	100	70	21	60	72	997	961	995	998	940
19 Gujranwala	304	88	136	30	652	141	55	12	17	10	982	998	981	1,000	1,000
20 Sheikhupura	251	68	127	22	583	135	30	2	7	4	912	551	976	999	1,000
II.—Himalayan	*[illegible]*	*7*	*259*	*62*	*[illegible]*	*123*	*51*	*12*	*661*	*696*	*573*	*971*	*910*	*981*	*760*
21 *Sirmoor State*	37	7	145	10	875	615	69	9	524	381	870	970	950	1,000	920
22 Simla	273	55	576	324	1,000		245	102	734	781	970	927	970	983	1,000
23 *Simla Hill States*	74	5	152	30	698	94	72	9	972	632	976	962	962	952	563
24 *Bilaspur State*	31	2	211	10			20		1,000		918	1,000	1,000	1,000	
25 Kangra	107	8	318	51	514		58	9	195	530	926	987	989	1,000	1,000
26 *Mandi State*	65	6	408	145			91	12	762	711	610	959	931	971	
27 *Suket State*	40	[illegible]	733				121				877	964	800		
28 *Chamba State*	65	5	550	725			48	6	435	370	553	910	911	1,000	
III.—Sub-Himalayan	*105*	*29*	*[illegible]*	*45*	*470*	*124*	*66*	*6*	*159*	*53*	*959*	*969*	*990*	*999*	*928*
29 Ambala	127	20	115	15	594	147	80	10	121	458	915	988	997	1,000	997
30 *Kalsia State*	84	16	98	20	491	20	40	3	182	266	723	1,000	989	1,000	750
31 Hoshiarpur	147	17	103	21	518	154	70	4	30	42	978	997	998	999	882
32 Gurdaspur	132	24	82	11	750	1,000	61	7	12	20	997	998	999	1,000	1,000
33 Sialkot	95	18	95	23	205	133	63	8	97	38	956	928	998	1,000	1,000
34 Gujrat	311	67	428	98		84	47	3	85	78	967	997	993	999	
35 Jhelum	447	110	573	177	571	80	60	6	507	421	992	982	998	1,000	1,000
36 Rawalpindi	485	110	492	204	477	35	102	6	734	595	951	880	983	1,000	996
37 Attock	377	83	499	142	1,000		41	5	705	565	891	978	923	992	1,000
IV.—North West Dry Area	*300*	*49*	*175*	*51*	*504*	*52*	*37*	*3*	*64*	*34*	*831*	*986*	*965*	*997*	*900*
38 Montgomery	2[illegible]0	43	146	32	801		33	1	53	28	810	992	936	999	947
39 Shahpur	3[illegible]3	93	383	247	714	200	48	5	13	11	920	994	994	1,000	900
40 Mianwali	403	42	449	93	727	125	10	1	314	231	974	998	990	950	1,000
41 Lyallpur	324	66	163	27	517	87	50	7	28	13	888	994	991	997	990
42 Jhang	330	78	267	196			30	6	91	12	873	977	962	975	
43 Multan	310	18	226	43	454	71	41	2	224	118	740	990	924	997	940
44 *Bahawalpur State*	140	14	71	6	800	250	20	1	202	205	803	951	1,000	1,000	1,000
45 Muzaffargarh	350	22	155	44			23	1	207	100	732	966	922	1,000	
46 Dera Ghazi Khan	148	15	170	60	360	98	28	1	500	333	808	981	1,000	1,000	1,000
Cities: Lahore	305	163	438	176	900	275	265	116	912	520	975	998	993	1,000	1,000
Cities: Amritsar	291	99	309	101	368	136	166	80	335	418	962	916	989	997	892
Cities: Multan	337	54	503	157	443	74	130	14	983	971	838	998	982	1,000	930
Towns: Rawalpindi	543	24	553	161	478	15	148	31	750	906	949	1,000	967	998	991
Towns: Sialkot	145	91	110	96	118	118	104	3	945	241	1,00	1,000	1,000	1,000	1,000
Towns: Jullundur	304	131	531	183	238	75	161	41	432	403	974	995	999	838	990
Towns: Ambala	291	81	426	171	560	109	210	53	803	998	964	987	993	1,000	995
Towns: Ferozepore	320	113	407	251	500	160	180	45	715	317	958	963	975	992	984

SUBSIDIARY TABLE III —*concluded.*

Literacy by Religion, Sex and Locality

(*Aged 5 and over.*)

District or State. Natural Division.	B—Number of Literates [illegible] in Vernaculars per 1,000 Total Literate.					C—Number of Persons [illegible] per 1,000 Total Literate.									
	Jain.	Muslim.		Christian.		Hindu.		Sikh.		Jain.		Muslim.		Christian.	
	Females.	Males.	Females.	Males.	Females.	Males.	Females.	Males.	Females.	Males.	Females.	Males.	Females.	Males.	Females.
1	17	18	19	20	21	22	23	24	25	26	27	28	29	30	31
PUNJAB	**926**	**961**	**951**	**436**	**635**	**812**	**230**	**466**	**113**	**490**	**230**	**736**	**690**	**303**	**420**
I.—Indo-Gangetic Plain West	*911*	*968*	*915*	*510*	*775*	*811*	*293*	*364*	*117*	*464*	*219*	*730*	*678*	*353*	*490*
1. Hissar	943	990	908	725	640	341	13	394	[illegible]	436	127	696	799	567	170
2. *Loharu State*	1,000	1,000	1,000			30	63			409		333	600		
3. Rohtak	790	993	959	942	930	644	157	767	118	434	64	783	942	663	790
4. *Dujana State*		1,000	1,000	1,000	1,000	104		1,000				329	111	1,000	1,000
5. Gurgaon	916	1,000	997	951	643	511	211	661	143	483	17	844	848	218	432
6. *Pataudi State*	1,000	1,000	1,000			44				171		372	43		
7. Karnal	770	955	952	912	913	402	227	513	177	318	393	877	893	719	946
8. Jullundur	977	990	991	730	737	606	290	509	86	700	233	884	874	161	196
9. *Kapurthala State*		992	831	873	814	544	15	378	123			752	378	812	814
10. Ludhiana	1,000	996	937	994	970	671	431	280	114	677	95	733	697	130	64
11. *Malerkotla State*	957	947	919	900	333	231	91	100	11	694	67	567	473	133	
12. Ferozepore	1,000	962	906	292	329	414	160	361	61	694	57	713	649	221	403
13. *Faridkot State*	1,000	994	1,000	809		397	123	338	120	870	487	901	976	800	
14. *Patiala State*	792	973	963	413	47	169	90	137	59	909	69	380	164	104	84
15. *Jind State*	933	933	931	907	111	338	117	312	136	430	133	708	842	139	111
16. *Nabha State*	1,000	913	159	730		391	132	309	114	404	273	843	117	730	
17. Lahore	909	990	989	434	783	751	510	613	347	819	703	841	738	392	603
18. Amritsar	890	900	921	[illegible]	989	677	639	591	69	479	131	948	630	360	378
19. Gujranwala	1,000	962	959	974	697	639	154	693	116	831	269	773	719	739	772
20. Sheikhupura	1,000	947	907	891	732	590	64	393	93	714	400	784	487	709	496
II.—Himalayan	*846*	*970*	*790*	*319*	*351*	*395*	*73*	*439*	*139*	*831*		*741*	*419*	*911*	*771*
21. *Sirmoor State*	1,000	97	1,000	636	730	46	[illegible]	117	11	697		631	294	643	378
22. Simla		999	93	798	173	813	162	489	130	1,000		769	419	11	120
23. *Simla Hill States*	[illegible]	941	1,000	614	121	233	69	364		439		594	439	836	34
24. Bilaspur		1,000		1,000		274	61	314				800		1,000	
25. Kangra		943	946	710	869	480	64	859	196	832		973	898	600	432
26. *Mandi State*		951	947	339	69	292	94	561	[illegible]			723	369	313	91
27. *Suket State*		846				64		100				179			
28. *Chamba State*		771	84	1,000	909	161	14	392	164			431	125	700	845
III.—Sub-Himalayan	*959*	*[illegible]*	*913*	*[illegible]*	*45*	*359*	*811*	*[illegible]*	*695*	*[illegible]*	*891*	*65*	*691*	*593*	*313*
29. Ambala	915	999	907	164	298	670	131	460	79	390	193	733	977	[illegible]	902
30. *Kalsia State*	1,000	[illegible]	1,000	1,000	1,000	112	[illegible]	379	42	673		676	433	1,000	1,000
31. Hoshiarpur	1,000	994	909	1,000	994	676	74	549	50	423	69	946	798	973	679
32. Gurdaspur		996	954	939	754	410	109	539	71	1,000		831	11	729	869
33. Sialkot	991	994	973	394	973	429	333	534	213	932	694	829	813	271	330
34. Gujrat	1,000	1,000	996	960	992	641	197	793	22			691	471	661	765
35. Jhelum	1,000	1,000	959	334	391	697	183	472	111	973		[illegible]	607	331	841
36. Rawalpindi	1,000	1,000	974	85	1,000	334	797	841	192	378		677	544	[illegible]	169
37. Attock		961	977	731	371	599	69	431	179	1,000		733	837	[illegible]	[illegible]
IV.—North-West Dry Area	*951*	*996*	*971*	*69*	*836*	*[illegible]*	*159*	*436*	*113*	*512*	*433*	*777*	*648*	*495*	*821*
38. Montgomery		967	[illegible]	[illegible]	901	400	9	31	99	[illegible]		334	679	379	797
39. Shahpur	1,000	972	994	907	831	671	63	493	116	609		719	448	675	619
40. Mianwali	1,000	977	1,000	[illegible]	313	673	110	627	94	1,000	1,000	939	949	907	63
41. Lyallpur	900	994	930	930	971	499	202	[illegible]	75	433	500	769	409	611	71
42. Jhang		973	973	1,000	1,000	333	347	331	197			963	[illegible]	909	500
43. Multan	1,000	993	991	491	[illegible]	498	237	373	171	369	[illegible]	730	854	444	734
44. *Bahawalpur State*	1,000	953	1,000	700	[illegible]	499	21	371	117	1,000		676	291	644	632
45. Muzaffargarh		953	977	1,000	1,000	441	104	[illegible]	157			[illegible]	733	917	973
46. Dera Ghazi Khan	1,000	999	956	1,000	1,000	811	187	712	199	81	[illegible]	[illegible]	71		
Cities — Lahore	1,000	941	[illegible]	363	331	631	[illegible]	979	[illegible]	993	722	837	902	351	633
Cities — Amritsar	967	834	913	407	[illegible]	664	716	601	23	500	[illegible]	769	[illegible]	734	334
Cities — Multan	1,000	1,000	994	393	1	579	731	423	213	393	574	[illegible]	69	347	797
Towns — Rawalpindi	1,000	923	954	73	[illegible]	[illegible]	393	496	366	25		431	371	87	71
Towns — Sialkot	1,000	994	1,000	210	947	813	413	319	236	812	144	91	679	159	237
Towns — Jullundur	[illegible]	977	979	913	731	[illegible]	491	791	85	600	[illegible]	913	[illegible]	41	[illegible]
Towns — Ambala	1,000	969	979	99	310	309	226	[illegible]	11	601	213	691	331	33	376
Towns — Ferozepore	1,000	994	900	176	234	614	762	843	39	751	11	34	631	143	77

SUBSIDIARY TABLE V

Literacy by Caste. 1921 and 1931

Serial No.	Caste.	Number per 1,000 aged 7 years and over who are literate. 1931.			Number per 1,000 of the total strength each sex who are literate. 1931.			Number per 1,000 aged 7 years and over who are literate. 1921.			Number per 1,000 of the total strength of each sex who are literate. 1921.		
		Total.	Males.	Females.	Total.	Males.	Females.	Total.	Males.	Females.	Total.	Males.	Females.
1	2	3	4	5	6	7	8	9	10	11	12	13	14
1	Aggarwal	284	490	34	209	371	16	224	406	17	144	280	7
2	Ahir	15	30	2	12	21	1	25	49	1	14	25	1
3	Arain	35	66	8	17	29	3	60	113	9	29	52	1
4	Arora	227	364	64	172	294	29	250	433	29	142	253	10
5	Awan	36	60	6	20	36	1	43	90	3	23	43	
6	Bawaria	13	21	4	2	3		6	11		1	1	
	Biloch	14	24	2	9	16	1	13	23	1	6	12	
8	Brahman	164	268	34	123	208	17	261	433	20	174	312	7
9	Chamar	8	14	1	5	9		4	7		1	2	
10	Chhimba	35	65	6	23	37	4	30	52	2	19	34	
11	Chuhra	8	13	3	2	4		10	14	4	3	4	
12	Dagi and Koli	5	9	1	5	8		4	7		3	5	
13	Dhobi	22	35	5	11	19	2	16	22	6	6	10	
14	Faqir	35	59	4	21	37	2	18	26		6	11	1
15	Gujjar	20	34	3	11	19	1	27	47	2	10	17	
16	Harni	17	28		3	6		34	56				
17	Jat	34	55	7	19	31	3	41	76	3	19	34	1
18	Jhiwar	25	42	4	13	21	2	22	39	2	12	22	
19	Julaha	19	33	3	11	20	1	16	28	1	6	10	
20	Kamboh	37	61	9	15	26	2	46	80	6	15	27	1
21	Kashmiri	84	140	22	39	64	11	213	400	22	97	167	7
22	Khatri	294	439	114	231	373	60	789	1,277	86	485	876	37
23	Kumhar	13	21	2	5	9	1	11	21	1	4	7	
24	Lohar	30	51	5	17	29	2	31	55	3	20	36	1
25	Machhi	10	17	2	4	7	1	11	19	1	3	6	
26	Meo	13	[illegible]		6	12		6	11		2	4	
27	Mirasi	23	41	3	20	38	1	16	28	1	9	17	1
28	Mochi	11	20	2	6	9	1	8	14		2	4	
29	Musalli	4	6	1	1	2		2	3		1	1	
30	Nai	29	48	4	16	27	2	25	50	1	13	4	1
31	Pakhiwara	27	45	4	17	31	1	41	73				
32	Pathan	90	160	20	57	94	13	210	306	21	115	212	7
33	Rajput	50	84	9	33	57	5	83	147	7	48	90	4
34	Saini	55	93	9	33	61	4	90	162	2	45	82	1
35	Sansi	11	17	3	22	40	3	3	6		115	178	35
36	Sayad	133	216	33	97	161	23	274	483	26	164	297	4
37	Sheikh	121	190	43	87	136	25	325	545	43	225	343	12
38	Sunar	117	194	21	43	100	13	84	150	6	35	65	2
39	Tarkhan	43	70	9	23	35	5	54	95	3	17	30	1
40	Teli	14	24	3	7	13	1	14	24	1	4	9	

SUBSIDIARY TABLE VI.

Progress of Literacy since 1881

District or State and Natural Division	Number of literate *per mille*																							
	All ages												10—15				15—20				20 and over			
	Males						Females						Males		Females		Males		Females		Males		Females	
	1931	1921	1911	1901	1891	1881	1931	1921	1911	1901	1891	1881	1931	1921	1931	1921	1931	1921	1931	1921	1931	1921	1931	1921
1	2	3	4	5	6	7	8	9	10	11	12	13	14	15	16	17	18	19	20	21	22	23	24	25
PUNJAB	81	64	62	64	71	61	13	8	6	3	2	1	68	53	16	12	131	96	26	17	118	94	15	9
I.—Indo-Gangetic Plain West	*84*	*64*	*62*	*59*	*67*	*60*	*14*	*8*	*6*	*3*	*2*	*1*	*63*	*51*	*17*	*12*	*128*	*92*	*27*	*17*	*118*	*94*	*16*	*9*
1 Hissar	58	49	46	50	50	19	4	3	2	1	1		41	33	5	3	86	76	8	6	86	77	5	3
2 *Loharu State*	27	12	26	38	22	33	2	2	1	2	1	1	13	14	1	6	35	18	8	4	44	15	3	2
3 Rohtak	61	53	49	50	59	56	4	3	2	1	1		49	48	4	3	99	78	6	5	87	79	4	4
4 *Dujana State*	38	32	41	45	38	55	1	1	1	1	1		24	13	1		63	51	4	2	59	53	2	1
5 Gurgaon	58	51	42	49	56	52	5	3	2	1	1		46	45	6	4	91	69	9	7	82	80	6	4
6 *Pataudi State*	87	60	53	64	86	73	8	3	2	1		1	65	45	7	2	134	55	13	9	126	94	8	3
7 Karnal	55	42	41	43	52	47	5	3	2	1	1	1	41	25	6	4	78	55	9	6	79	65	7	4
8 Jullundur	90	76	63	64	80	68	15	11	6	3	3	2	85	87	18	20	167	137	34	28	115	101	17	12
9 *Kapurthala State*	57	59	66	55	65	51	10	6	5	3	2	1	49	56	14	9	101	87	22	12	75	83	12	8
10 Ludhiana	156	99	85	83	82	63	20	16	9	4	3	2	140	116	37	34	250	160	55	38	204	134	28	17
11 *Maler Kotla State*	91	67	79	69	58	44	9	4	6	2	1	1	57	53	11	7	127	77	15	6	134	95	11	6
12 Ferozepore	79	61	60	67	71	52	13	7	5	3	2	2	57	48	18	13	112	92	25	19	113	93	14	9
13 *Faridkot State*	82	60	67	58	54	37	7	4	1	2	1	1	44	25	7	3	112	77	14	10	123	99	8	5
14 *Patiala State*	79	61	62	42	59	61	6	5	4	1	1	1	33	35	6	5	88	71	12	10	108	94	8	6
15 *Jind State*	41	46	44	50	49	43	4	4	2	2	1		22	27	4	4	53	65	9	8	65	72	6	5
16 *Nabha State*	79	58	49	74	73	61	10	4	3	1	1		48	31	13	4	103	61	19	8	116	88	11	5
17 Lahore	138	100	95	74	81	73	39	23	25	7	6	4	101	81	51	36	209	148	69	49	188	139	48	27
18 Amritsar	103	99	72	74	77	68	22	8	8	5	4	3	84	50	26	15	165	93	46	17	140	105	27	10
19 Gujranwala	80	62	52	62	73	73	20	12	5	4	2	2	74	62	28	19	131	98	44	27	107	82	24	13
20 Sheikhupura	63	46					9	4					51	30	12	6	104	62	20	12	90	72	11	5
II.—Himalayan	*79*	*74*	*61*	*67*	*71*	*58*	*7*	*7*	*5*	*4*	*4*	*2*	*48*	*56*	*9*	*11*	*106*	*92*	*13*	*12*	*111*	*104*	*8*	*8*
21 *Sirmoor State*	53	49	47	61	67	44	6	4	1	3	2	1	25	21	11	6	60	44	12	8	75	72	6	4
22 Simla	268	211	236	222	220	105	92	156	131	85	75	58	231	214	104	244	302	255	132	242	310	227	110	162
23 *Simla Hill States*	66	56	48	11	47	34	5	3	3	3	3	2	38	30	5	3	84	63	7	5	90	80	6	4
24 *Bilaspur State*	46	62	32	21	46	16	2	3	1		2		19	34	1	3	49	68	3	4	68	89	3	3
25 Kangra	89	85	74	84	81	68	7	6	3	3	2	1	63	73	9	10	132	117	15	11	125	120	8	6
26 *Mandi State*	65	76	32	47	66	38	6	3	2	1	2		36	51	8	6	104	80	12	4	126	117	7	4
27 *Suket State*	36	48	43	40	25	56	2	3	1		1	2	21	27	3	4	38	42	4	8	51	69	2	3
28 *Chamba State*	56	41	31	38	18	38	5	3	1	2	2	1	22	25	6	3	60	30	8	3	85	59	6	3
III.—Sub-Himalayan	*89*	*73*	*65*	*68*	*73*	*59*	*15*	*9*	*7*	*4*	*3*	*1*	*77*	*70*	*19*	*14*	*157*	*117*	*31*	*20*	*120*	*103*	*17*	*11*
29 Ambala	104	85	81	75	74	56	10	11	7	4	3	2	76	71	23	20	160	114	34	27	142	117	23	16
30 *Kalsia State*	61	58	50	68	69	47	10	4	3	3	1		39	38	12	4	82	74	22	6	90	84	11	6
31 Hoshiarpur	98	82	69	73	79	69	10	7	5	2	1	1	96	95	14	12	106	144	23	17	123	108	12	8
32 Gurdaspur	69	58	50	51	58	56	10	8	4	2	2	1	63	61	13	14	121	98	24	20	94	81	12	9
33 Sialkot	61	55	53	52	66	55	11	8	5	3	3	2	59	54	17	13	122	99	25	19	84	76	12	8
34 Gujrat	79	60	54	61	60	49	12	7	4	3	2	1	61	59	18	10	130	96	30	15	113	85	14	8
35 Jhelum	105	85	79	82	75	55	17	8	6	4	2	1	103	86	25	14	203	153	42	23	135	122	18	9
36 Rawalpindi	152	120	101	92	96	75	31	19	20	9	6	3	134	92	38	28	260	176	57	35	202	169	37	23
37 Attock	61	57	54				12	6	5				49	46	16	8	110	81	26	12	93	89	15	7
IV.—North-West Dry Area	*69*	*53*	*60*	*69*	*81*	*70*	*10*	*6*	*4*	*3*	*2*	*1*	*53*	*41*	*14*	*9*	*119*	*85*	*23*	*13*	*99*	*81*	*12*	*7*
38 Montgomery	65	51	57	60	74	63	10	6	5	4	2	1	47	33	11	8	105	70	22	15	97	82	13	7
39 Shahpur	83	58	66	72	82	64	22	10	8	7	3	1	72	51	31	17	140	91	53	23	115	85	24	12
40 Mianwali	66	52	60	67			6	2	2	3			48	35	8	2	121	73	14	5	98	83	7	2
41 Lyallpur	89	52	52	15			10	6	4	1			86	49	18	9	105	96	37	12	121	76	20	7
42 Jhang	71	73	71	97	88	84	17	8	4	5	2	1	63	53	22	12	128	113	33	19	100	114	20	9
43 Multan	82	63	86	101	98	93	8	7	5	4	3	2	54	45	10	10	133	95	17	15	123	95	10	8
44 *Bahawalpur State*	38	27	37	51	64	51	3	2	2		1	1	25	17	4	2	63	40	5	3	56	42	4	2
45 Muzaffargarh	54	52	67	65	81	75	3	4	2	2	1	2	30	36	4	5	80	83	7	8	83	78	4	4
46 Dera Ghazi Khan	53	57	48	67	84	62	4	4	1	2	1	1	32	41	8	10	99	98	12	10	76	85	5	4

NOTE.—In the Columns giving the figures of 1881 and 1891, persons over 15 years of age, who were returned as "learning" on those occasions have been treated as literate.

SUBSIDIARY TABLE VII

Absolute figures of Literacy at certain Ages with 000's omitted

Age-group	Total Population			Total Literate			Total Literate in English		
	Persons	Males	Females	Persons	Males	Females	Persons	Males	Females.
1	2	3	4	5	6	7	8	9	10
PUNJAB									
5—10	3,765	2,025	1,740	70	56	14	7	6	1
10—15	3,428	1,889	1,539	144	119	25	22	20	2
15—20	2,657	1,457	1,200	221	190	31	54	50	4
20 and over	14,160	7,906	6,254	987	894	93	185	173	12

SUBSIDIARY TABLE VIII —*concluded*

Showing the growth in the number of Educational Institutions, Scholars and Expenditure from 1889—90 to 1930-31 from returns of the Educational Department

Class of Institution		1892 1893				1893 1894				1894 1895			
		Institutions		Scholars		Institutions		Scholars		Institutions		Scholars	
1		Males 14	Females 15	Males 16	Females 17	Males 18	Females 19	Males 20	Females 21	Males 22	Females 23	Males 24	Females 25
Collegiate Education	Arts Colleges	8		661		9		870		9		1,003	
	Professional Colleges	1		158		1		189		1		211	
School Education General	Secondary Schools	271	27	48,812	1,898	283	28	51 328	2,048	290	29	52,632	2,161
	Primary Schools	1,762	325	83,381	10,414	1,787	322	85 611	10,774	2,446	333	108,426	10,980
School Education Special	Training Schools	6		321		6		278		6		342	
	All Others	8		1,050		7		1 100		8		1,366	
Private Institutions	Advanced	660		7,677		585		7 957		493		6,745	
	Elementary	5,151	1,025	84,210	12,517	5,275	1,023	87,188	14,082	4 109	918	62,660	12,235
	Total	*7,867*	*1,377*	*226,270*	*24,829*	*7,953*	*1,373*	*234,521*	*26,904*	*7,362*	*1,280*	*233,385*	*25,376*
Expenditure on Education		Rs. 28,07,953				Rs 28,81,125				Rs 27,70,430			
		1898-1899				1899 1900				1900-1901			
Collegiate Education	Arts Colleges	10		1,250		11		1,272		13		1,251	
	Professional Colleges	1		200	8	1		175	13	1		167	11
School Education General	Secondary Schools	330	33	61 697	2,550	348	35	64,541	2 665	372	34	65 392	2,675
	Primary Schools	2,350	321	102,458	11,070	2,339	308	104,349	11,271	2,367	315	105,352	12,068
School Education Special	Training Schools	6		322		6		344		6		322	
	All Others	10	3	1 718	173	13	3	1,940	189	13	2	2,013	154
Private Institutions	Advanced	449		6,687		418		6,192	6	378		6,541	
	Elementary	4,111	515	64,335	8,629	3,905	480	60,811	8,551	3,505	473	54,456	8,762
	Total	*7,276*	*872*	*238,667*	*22,430*	*7,041*	*826*	*239,624*	*22,695*	*6,655*	*824*	*235,494*	*23,670*
Expenditure on Education		Rs 32,20 666				Rs 33 23,282				Rs 33,02 046			
		1904 1905				1905 1906				1906 1907			
Collegiate Education	Arts Colleges	15		1,378		10		1,306		10		1,598	
	Professional Colleges	3	1	605	24	3	1	524	34	3	2	629	39
School Education General	Secondary Schools	338	36	64 785	3,003	288	36	59,506	2 956	290	39	64,359	3,056
	Primary Schools	2,514	364	112,410	13,814	2,930	459	127,057	16,770	3,161	542	141,345	20,201
School Education Special	Training Schools	5	1	363	40	5	1	422	53	5	1	401	2,521
	All Others	17	8	2,179	438	17	12	2,179	567	18	13	72	674
Private Institutions	Advanced	306	1	4,950	124	226		3,907	36	248	3	4,006	168
	Elementary	3,682	635	59 086	11,764	2,845	565	47,633	11,707	2,772	688	48,095	13,073
	Total	*6,880*	*1,046*	*245,756*	*29,207*	*6,324*	*1,074*	*242,624*	*32,123*	*6,497*	*1,288*	*262,954*	*37,283*
Expenditure on Education		Rs. 43,37,615				Rs 49,65,576				Rs 51 96,890			
		1910 1911				1911 1912				1912 1913			
Collegiate Education	Arts Colleges	11		2,270		11		2,659		9		2,770	3
	Professional Colleges	5	2	667	42	6	2	860	30	6	1	840	35
School Education General	Secondary Schools	307	50	87,277	5,168	312	52	93 326	6 092	317	56	93,885	7 100
	Primary Schools	3,321	599	164,081	26,174	3,417	637	179,410	29,269	3,689	709	197,230	32,118
School Education Special	Training Schools	6	6	382	55	7	6	452	48	20	8	672	84
	All Others	24	12	2,755	747	24	19	2,785	1,236	25	5	2,617	408
Private Institutions	Advanced	166		3,817	97	176		4,486	59	186	1	3,877	90
	Elementary	2,053	716	38,386	15,022	1,867	875	43 226	17,175	2,384	908	50,498	18 174
	Total	*5 893*	*1,385*	*299,635*	*47,305*	*5,820*	*1 591*	*327,204*	*53,909*	*6,636*	*1,688*	*352,389*	*58,102*
Expenditure on Education		Rs 60,57 056				Rs. 68,64,909				Rs. 84,20 780			
		1916 1917				1917 1918				1918-1919			
Collegiate Education	Arts Colleges	10	1	4 214	22	11	1	4,593	28	12	1	4 540	30
	Professional Colleges	6	1	1,115	39	6	1	1 332	38	6	1	1 461	29
School Education General	Secondary Schools	422	75	111,541	10,970	434	80	112 050	11,286	462	89	116 460	13 745
	Primary Schools	4,918	935	244,796	43,055	5,084	954	242,335	43,254	5,172	951	246,771	42,919
School Education Special	Training Schools	16	13	912	224	13	14	804	290	18	11	911	205
	All Others	40	5	3,564	591	38	6	3 402	632	39	5	3,854	613
Private Institutions	Advanced	175		3 313	67	167	1	2,740	65	149	2	2,444	23
	Elementary	1,868	872	37,581	14,734	1,671	760	33,743	12,247	1,380	667	31 502	11 603
	Total	*7,455*	*1,902*	*407,036*	*69,702*	*7,424*	*1,817*	*400,999*	*67,840*	*7,238*	*1,727*	*407,943*	*69 957*
Expenditure on Education		Rs 1,08 63,320				Rs 1,14,72,852				Rs 1,24 02,186			
		1922 1923				1923 1924.				1924 1925			
Collegiate Education	Arts Colleges	16	2	4,856	71	17	2	5 527	96	21	2	6,721	110
	Professional Colleges	7	2	1 442	35	7	2	1,641	30	7	1	1 714	27
School Education General	Secondary Schools	1,095	90	247,013	13,522	1,306	92	284,696	14,027	1,658	100	337 799	15 416
	Primary Schools	5,738	1,046	350,434	50,974	5 670	1,016	351,446	50 426	5 562	1 039	353 258	51,152
School Education Special	Training Schools	23	12	2 116	418	25	13	2,213	438	25	12	2,184	379
	All Others	663	5	21,365	525	1,554	8	44 720	546	2 402	6	65,041	566
Private Institutions	Advanced Elementary	2,573	1,623	57,631	26,576	2,713	1,816	56,504	29 596	2 661	1,715	56,128	28 254
	Total	*10,115*	*2,680*	*684,857*	*92,121*	*11,300*	*2,949*	*746,747*	*95,159*	*12 336*	*2 875*	*823,745*	*95,904*
Expenditure on Education		Rs 2,20,38,296				Rs 2,15,53,875				Rs 2,34,05 266			
		1928 1929				1929 30				1930-31			
Collegiate Education	Arts Colleges	32	2	10,691	128	33	2	11,806	161	32	2	12 052	205
	Professional Colleges	8	1	1,908	39	8	1	1,971	34	8	1	1 868	28
School Education General	Secondary Schools	3,363	132	573 078	25,681	3 654	151	622,074	31,968	3 778	163	657,946	36,634
	Primary Schools	5,520	1,409	363,490	73,937	5,584	1,528	374,733	81 907	5,700	1,638	399 046	90,187
School Education Special	Training Schools	42	16	4,172	628	43	18	4 251	761	35	19	3,422	840
	All Others	2,246	46	59,694	1,619	2,247	37	58,061	1,489	2,044	36	55,232	1,525
Private Institutions	Advanced Elementary	2,770	2,512	56,380	49,306	3,309	2,853	70,068	54,076	3,528	3,170	70,242	56,595
	Total	*13,981*	*4,118*	*1,069,413*	*151,338*	*14,878*	*4,590*	*1,142,964*	*170,396*	*15,125*	*5,029*	*1,199,808*	*186 014*
Expenditure on Education		Rs 3,07,81,835				Rs 3 14,73,203				Rs 3,28,40,628			

SUBSIDIARY TABLE IX.

Showing the number of Schools and Scholars by Tahsil and District according to the returns as supplied by the Director Public Instruction, Punjab, for the year 1930-31

District or Tahsil.	Schools.		Scholars.		Average number of Scholars per School.
	Males.	Females.	Males.	Females.	
1	2	3	4	5	6
HISSAR	465	43	25,585	1,605	54
Hissar	111	14	6,277	603	56
Hansi	90	7	5,494	279	80
Bhiwani	79	11	4,832	430	80
Fatehabad	77	6	3,081	146	39
Sirsa	108	4	5,801	168	52
ROHTAK	415	55	38,634	1,831	82
Rohtak	114	15	10,860	722	88
Jhajjar	144	17	13,700	461	85
Gohana	70	9	5,350	306	73
Sonepat	87	13	7,490	221	76
GURGAON	307	22	25,041	1,032	79
Gurgaon	59	5	4,327	178	81
Ferozepur-Jhirka	63	3	4 151	71	63
Nuh	51	2	3,903	78	75
Palwal	39	6	2,933	318	87
Rewari	60	4	5,707	170	71
Ballabgarh	45	2	3,046	119	68
KARNAL	528	40	27,834	1,478	51
Karnal	172	14	9 139	622	42
Panipat	118	10	5,842	472	48
Kaithal	143	9	7 1[illegible]4	393	49
Thanesar	95	7	5,029	[illegible]21	58
AMBALA	300	46	38,014	3,810	94
Ambala	78	18	8,236	1,182	112
Kharar	114	12	10,231	[illegible]	87
Jagadhri	57	4	5,195	282	99
Naraingarh	55	3	5,167	592	92
Rupar	59	9	5,165	516	90
SIMLA	59	11	4,155	601	69
Simla	29	11	2,933	601	99
Kot Khai	30		1,222		44
KANGRA	603	50	41,818	2,415	80
Kangra	85	11	5,909	493	69
Dehra	69	9	7,377	413	81
Nurpur	51	6	5,234	450	88
Hamirpur	101	3	9,612	229	94
Palampur	107	13	7,683	432	68
Kulu	73	6	4,021	19	79
HOSHIARPUR	444	78	54,230	4,839	113
Hoshiarpur	125	28	17,883	2,282	131
Dasuya	88	14	12,073	885	137
Garhshankar	114	18	13,977	783	112
Una	117	16	10,834	679	84
JULLUNDUR	430	80	49,578	5,347	110
Jullundur	132	36	19,317	3,032	133
Nawanshahr	95	8	8,115	877	101
Phillaur	69	10	9,271	716	101
Nakodar	121	13	11,949	922	94
LUDHIANA	370	65	33,305	5,377	99
Ludhiana	136	39	11,227	2,936	101
Jagraon	129	24	[illegible] 711	1,021	61
Samrala	104	8	[illegible]	507	77
FEROZEPORE	410	84	37,308	6,251	83
Ferozepore	81	79	7,953	119	97
Zira	81	13	5,720	643	100
Moga	97	23	8,939	[illegible]047	97
Muktsar	97	13	[illegible]	713	75
Fazilka	94	10	7 437	467	74
LAHORE	412	60	55,826	11,653	155
Lahore	214	44	34,047	10,833	173
Chunian	109	1	7,715	334	73
Kasur	94	14	9,543	793	91
AMRITSAR	516	118	68,867	10,833	110
Amritsar	[illegible]	80	34,433	8,811	127
Tarn Taran	[illegible]	27	[illegible]	1,399	87
Ajnala	190	11	9 444	424	92
GURDASPUR	428	67	44,821	4,143	99
Gurdaspur	113	21	12,061	1,297	94
Batala	114	19	15,979	1,732	111
Pathankot	81	11	6,219	591	81
Shakargarh	109	16	11,315	522	95
SIALKOT	364	104	47,891	7,836	113
Sialkot	83	23	13,313	3,906	148
Pasrur	83	21	10,809	[illegible]	107
Narowal	94	21	11,097	1,303	108
Daska	112	30	11,973	1,430	94
GUJRANWALA	330	71	38,557	5,712	103
Gujranwala	136	36	13,815	3,440	100
Wazirabad	112	23	13,313	1,401	108
Hafizabad	84	12	8,329	12	67
SHEIKHUPURA	366	38	31,136	2,838	83
Sheikhupura	137	24	[illegible]	1,613	90
Nankana Sahib	132	7	10,617	372	81
Shahdara	97	6	[illegible]	313	76
GUJRAT	322	64	38,849	3,700	107
Gujrat	103	23	14,219	1,975	139
Kharian	114	15	14,737	1,018	108
Phalia	105	14	9,893	778	88
SHAHPUR	451	73	40,862	5,139	87
Shahpur	77	12	6,878	917	87
Khushab	128	1	10,912	1,174	82
Bhalwal	106	17	10,931	1,149	91
Sargodha	142	22	13,021	1,833	98
JHELUM	369	63	34,678	3,857	105
Jhelum	190	17	12,351	1,278	117
Pind Dadan Khan	80	20	9,830	798	80
Chakwal	150	25	12,097	1,783	103
RAWALPINDI	330	73	43,144	6,408	118
Rawalpindi	113	37	16,901	4,276	142
Gujar Khan	94	19	[illegible]	1,183	128
Murree	63	8	3,306	313	77
Kahuta	73	10	7 762	491	99
ATTOCK	377	116	27,030	5,031	85
Attock	94	[illegible]	7,229	1,895	74
Pindigheb	140	40	7,808	1,802	42
Talagang	69	17	5,847	861	75
Fatehjang	74	33	5,803	1,370	64
MIANWALI	297	35	28,322	1,985	91
Mianwali	125	20	12,729	1,102	95
Bhakkar	127	11	11,008	[illegible]	81
Isa Khel	45	4	4,587	62	99
MONTGOMERY	449	39	47,890	2,540	102
Montgomery	150	14	18,298	1,114	111
Okara	104	11	10,895	537	106
Dipalpur	90	7	10,271	342	111
Pakpattan	95	7	8,123	197	84
LYALLPUR	583	75	61,104	8,030	101
Lyallpur	171	30	19,119	2,999	108
Samundri	128	19	[illegible]	530	90
Toba Tek Singh	134	17	[illegible]	[illegible]	110
Jaranwala	127	12	[illegible]	[illegible]	93
JHANG	365	70	35,030	4,808	91
Jhang	163	39	[illegible]	2,701	91
Chiniot	119	10	10,436	932	83
Shorkot	84	21	[illegible]	[illegible]	85
MULTAN	448	58	46,909	4,235	103
Multan	116	[illegible]	13,395	2,795	131
Shujabad	71	6	6,566	390	90
Lodhran	59	6	3,693	291	83
Mailsi	37	2	3,472	123	97
Khanewal	77	10	9,311	343	104
Kabirwala	6	4	2,534	297	67
MUZAFFARGARH	378	50	28,588	2,782	68
Muzaffargarh	125	11	8,533	829	63
Alipur	80	14	8,270	772	71
Kot Adu	63	17	5,843	409	64
Leiah	101	17	7,079	901	67
DERA GHAZI KHAN	431	51	38,810	3,330	82
Dera Ghazi Khan	139	5	10,634	1,332	70
Sanghar	139	26	6,313	1,314	46
Rajanpur	75	7	4,154	285	43
Jampur	86	3	5,287	473	61

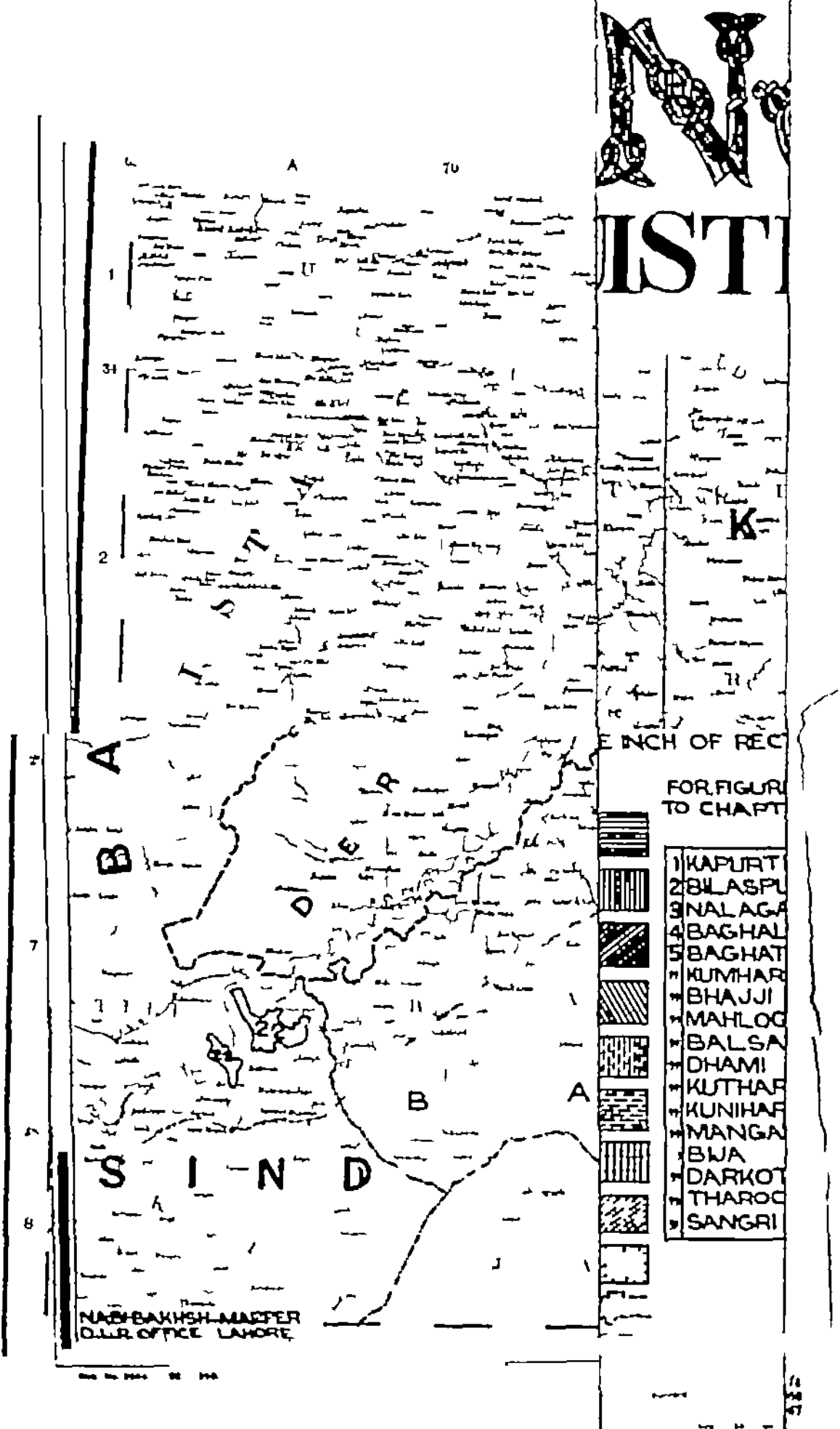
N
ISTI
70
1
31
2
7
8
K
E INCH OF REC
FOR FIGUR
TO CHAPT
1 KAPURT
2 BILASPU
3 NALAGA
4 BAGHAL
5 BAGHAT
KUMHAR
BHAJJI
MAHLOG
BALSA
DHAMI
KUTHAR
KUNIHAR
MANGA
BIJA
DARKOT
THAROC
SANGRI
B A
D E R
A J I S T A
S I N D
B A
NABI BAKHSH MAPPER
D.L.R. OFFICE LAHORE

CHAPTER X.

LANGUAGE

186 General 187 Scheme of Classification of languages 188 The Linguistic families 189 Indo-European languages 190 Tibeto-Chinese languages 191 Linguistic division. 192 Punjabi. 193 Lahnda or Western Punjabi 194 Hindustani 195 Western Pahari 196 Rajasthani 197 Pashto 198 Balochi 199 English 200 Tibeto Chinese languages 201 Kashmiri 202 Sindhi 203 Nepali 204 Minor languages Odki 205 Persian 206 Bhili 207 Bengali 208 Gujarati 209 Marhatti. 210 Tamil and Telugu 211 Arabic 212 Central Pahari 213 Other minor languages 214 Bilingualism 215 Literary activity in different languages

Reference to Statistics

Imperial Table XV gives the absolute figures, Part A containing the mother tongue of persons living in the Province and Part II showing the number of persons who habitually use some other language as subsidiary to their mother tongue

Subsidiary Table I gives the distribution of the population by mother tongue for the whole Province according to the censuses of 1931 and 1921, languages being arranged according to the main heads in Sir George Grierson's Scheme An additional column, showing for each language the number of speakers *per mille* of the population according to the 1931 Census is inserted in this table

Subsidiary Table II (a) gives the total number of speakers of each of the eight important languages, returned in the Province as mother tongues, and the number of persons using each of these languages purely as their mother tongue per 10 000 of the population for each natural division district and state

Subsidiary Table II (b) gives the number per 10 000 of the speakers of each mother tongue, who speaks some other language in addition to it for each natural division, district and state

Subsidiary Table III shows the number of books published annually in each language from 1922 to 1931

General.

186 The instructions to enumerators with respect to the return of language were as follows —

" *Column* 14 (*Language*) —Enter each person's mother-tongue In the case of infants and deaf-mutes the language of the mother should be entered

"*Column* 15 (*Subsidiary language*) —Enter the language or language habitually spoken by each person in addition to his mother-tongue in daily intercourse "

No column was provided for subsidiary languages at last census The instructions about the entry of mother-tongue are the same as those issued in 1921 except that they were supplemented by a direction that Urdu and Hindi should be recorded as Hindustani It is quite impossible to draw a definite line between Urdu and Hindi as spoken In fact the discrimination between the two had been given up in other provinces at previous censuses because it was held that the distinction could not be drawn, depending as it did on a choice of vocabulary rather than any clearly defined linguistic test

At this census the return of language was one of those things, in which many people, particularly in towns, took a keen interest Below are reproduced the contents of a handbill distributed far and wide on the eve of the preliminary enumeration

REMEMBER ! •

CENSUS OPERATIONS HAVE BEGUN

Question !	*You Should Answer*
Religion	Vedic Dharm
Sect	Arya Samajist
Caste	Nil
Race	Aryan
Language	Arya Bhasha (Hindi)

The Census Committee, Arya Samaj, Wachhowali, Lahore

No doubt this sort of propaganda had a certain amount of effect, particularly on the figures of urban areas The District Officers of several districts have mentioned in their reports on the census enumeration that numerous persons in some admittedly Punjabi-speaking urban areas, both Hindus and

Muslims, insisted upon returning Hindi or Urdu as their mother tongue Efforts were made by the enumerating agency to explain to them that under the instructions Urdu and Hindi would be recorded in the census schedule as Hindustani and therefore it was no use returning either as mother tongue in place of Punjabi In a town in the Gujranwala District I myself had to remonstrate with certain persons who were in possession of the above-quoted handbill and wanted to return Hindi in place of Punjabi as their mother tongue In Lyallpur Town a Muslim barrister interviewed me while the preliminary enumeration was in progress and enquired whether he could return Urdu as his mother tongue, because the language as spoken by him contained many Arabic and Persian words, and was therefore more akin to Urdu than Punjabi I pointed out that Punjabi did not cease to be Punjabi even if it became polished in the manner described. I wonder whether my advice found favour with him at the time of actual enumeration. There is no doubt in my mind that many persons returned Urdu or Hindi as their mother tongue in place of Punjabi, and thus the figures of Hindustani have been unduly swollen at the expense of Punjabi

The difficulties in the way of a correct return of languages have been referred to in all the previous census reports. The stumbling block is the uncertainty on the part of the speakers themselves, as to the name of the language or dialect spoken. I cannot do better than quote the remarks of Sir Edward Maclagan in his Report on the 1891 Census, which still hold good.

> The chief difficulty lies in the matter of names. The orders to enumerators were that the mother tongue of each person should be entered under the name applied to it by that person, and supervising officers were severely cautioned against substituting names of their own. But the peasant as little knows that he is talking Punjabi or Hindi as M. Jourdain knew he was talking prose and it would be very difficult to get any definite answer from him without a certain degree of prompting. The question is whether such prompting should be officially recognised, or whether the official notification of the name under which the language of the district is to be returned is not a greater evil than that which it is intended to cure. That such official notifications are given out by local officers in spite of all instructions is obvious. In Karnal for instance Hindi and Urdu were under orders entered as Hindustani, in Rajanpur the common dialect of the people was under orders entered as Jatki and the large prevalence of entries of Marwari in Karnal, Hindi in Loharu and Punjabi and Hindi in Bahawalpur which will be noticed later show clearly enough that the enumerators were working under some general orders on the subject. Mr Younghusband, Deputy Commissioner Dera Ghazi Khan, writes strongly in favour of some system by which, when different words are applied to the same language one should by authority be selected and the people asked Is your mother tongue such and such language and if not, what is it? I think myself that in following such a prescription we should be ill of the medicine as we were before of the disease, but am not myself prepared to recommend any way out of the difficulty other than that of omitting the language returns altogether as being untrustworthy and unnecessary

In this connection the following remarks of Mr Rose in the 1901 Census Report will also be of much interest.

> It was, however clearly the best and safest course to record in the actual Census, the dialects as returned by the people themselves, leaving their final classification to a linguistic expert. But there are two great obstacles to a complete record on this simple basis. In the first place a man will seldom admit that his language is jangli, or if he is at all educated, Punjabi, just as few people in England will plead guilty to a provincial accent. It is always the people a little further on, a little deeper in the hills,—whose speech is jangli or pahari— of the desert or of the mountains. In the next place every official is more or less of a linguistic expert himself and quite ready to inform you how each dialect should be classified, with the result that all detail, as it were, disappears, and many minor but distinct dialects are not fully returned.

I am disposed to agree with Sir Edward Maclagan that the return of language should be omitted altogether and more attention paid instead to the entries of age literacy or occupation. The figures of the language table are so much affected by the difficulties of classification that the results are in some places very difficult to explain. We shall however endeavour to elucidate them as far as possible

Scheme of Classification of Languages.

187 The scheme of classification of languages is almost the same as that adopted at the last three censuses, being based on the "Linguistic Survey of India" by Sir George Grierson. The revised classification as far as applicable to this Province is reproduced in Subsidiary Table I at the end of this Chapter together with the figures of the present and the last census. The only important change that has now been made in this classification is the substitution of Hindustani for Urdu and Hindi.

The Linguistic Families

188 All the languages of the Punjab belong almost entirely to the Aryan branch of the Indo-European family There are 28,302,000 persons who return these languages as their mother tongue, or in other words these are spoken by 996 out of every 1,000 people of this Province If to this were added the speakers of European sub families the number of speakers of Indo-European languages would rise to 997 *per mille* of the population Of the remaining 3 *per mille* of the population, 2 *per mille* speak the languages of Tibeto Chinese family and the remainder all the other languages such as Odki (unclassed Gypsy family), Arabic (Semitic family), and Tamil and Telugu (Dravidian family)

Indo-European Languages

189 The chief languages of this family belong to the Aryan sub-family and fall almost entirely in the category of the Indo-Aryan branch These are the mother-tongues of 990 *per mille* of the population, while the languages coming under the Eastern group of the Eranian branch, *viz*, Bilochi and Pashto, are spoken by 2 and 3 *per mille*, respectively The Dardic branch, to which belongs Kashmiri, is the mother-tongue of the remaining 1 *per mille* Taking up the sub-branches of the Indo-Aryan branch we find that Lahnda belonging to the Western group of the outer sub-branch is spoken by 259 *per mille* of the people, while of the languages falling under the Central group of the inner sub-branch, Hindustani is spoken by 140, Rajasthani by 22 and Punjabi by 509 *per mille*, the Western Pahari of the Pahari groups of this (inner) sub-branch being spoken by 59 *per mille* The only language, spoken by about 5,000 persons and falling under unclassed gypsy languages of India, is Odki

Tibeto Chinese Languages

190 The only other languages spoken by any considerable number of people are those belonging to the Himalayan sub-branch of Burman-Tibeto sub-family of the Tibeto-Chinese family Such languages are Tibetan spoken by about 5,000 persons and unspecified Bhotia spoken by about 4,000 persons These two languages belong to the Tibetan group of this sub-branch while Lahuli and Kanauri belonging to its pronominalized Himalayan group are spoken by 27,000 and 26,000 persons, respectively The total number of speakers of the Tibeto Chinese languages, as already noticed, forms only 2 *per mille* of the total population The proportion of speakers of languages other than Indo-European and Tibeto Chinese is thus only 1 *per mille*

We can now take up the individual distribution of the most important languages The Linguistic Map in the beginning of this Chapter shows by means of rectangles the number of persons speaking the different languages in each district and state of the Province, and gives a fair idea of the linguistic distribution Languages spoken by less than 5 per cent of the population in each area have been omitted The Map also shows bilingualism by means of double hatching, or in other words by the hatching representing a subsidiary language being placed over the hatching representing the mother-tongue

Linguistic Division

191 The chief languages of the Province are Hindustani, Rajasthani, Punjabi, Lahnda, Western Pahari, Balochi and Pashto Of these, Hindustani is spoken in the south-east of the Province, and on its southern border passing through Gurgaon, Hissar and Ferozepore it comes into contact with Rajasthani Punjabi is spoken in most of the Sub-Himalayan and central districts, Lahnda (Western Punjabi) in the bulk of the North-West Dry Area, and Western Pahari in the Himalayan Natural Division Balochi is in vogue in the western parts of Dera Ghazi Khan, while speakers of Pashto are found in the trans-Indus portion of Mianwali and some riparian villages of Attock

There are no sharp divisions separating one linguistic area from another, but where physical features of the country undergo an abrupt change the border

SUBSIDIARY TABLE II.—PART I

Distribution by language of the population of each district

District or State and Natural Division.	Punjabi as mother tongue.		Lahnda as mother tongue.		Hindustani as mother tongue.		Western Pahari as mother tongue.		Rajasthani as mother tongue		Pashto as mother tongue.		Baluchi mother-tongue		Kashmiri as mother-tongue.	
	Numbers per 10,000 of the total population who speak															
	Total.	As mother tongue only	Total.	As mother tongue only	Total.	As mother tongue only	Total.	As mother tongue only	Total.	As mother tongue only	Total.	As mother tongue only	Total.	As mother tongue only	Total.	As mother tongue only
1	2	3	4	5	6	7	8	9	10	11	12	13	14	15	16	17
PUNJAB	5,094	5,040	2,880	2,866	1,400	1,378	503	500	215	210	22	22	21	18	8	8
I.—Indo-Gangetic Plain West	6,697	6,619	200	200	2,591	2,550	27	26	445	425	3	3			12	3
1 Hissar	4,442	4,430			3,401	3,399			2,131	2,117						
2 *Loharu State*	7	2			9,997	9,992										
3 Rohtak	7	2			9,991	9,991			1							
4 *Dujana State*	5	2			9,993	9,993										
5 Gurgaon	12	2			7,822	7,822			2,134	2,128						
6 *Pataudi State*	1	1			9,999	9,995										
7 Karnal	183	179			9,803	9,8[illegible]1			2							
8 Jullundur	9,938	9,943			27	15					1				1	
9 *Kapurthala State*	9,941	9,971			14	12										
10 Ludhiana	9,[illegible]	9,822			165	134	1	1	2		2	1			17	4
11 *Maler Kotla State*	9,967	9,962			22	19										
12 Ferozepore	9,079	9,019			404	299			429	81	13	10			8	7
13 *Faridkot State*	9,493	9,466			299	132			22	14						
14 *Patiala State*	8,399	8,457			294	281	226	223	939	919	1					
15 *Jind State*	2,024	2,047			7,922	7,912	1	1	7		1					
16 *Nabha State*	7,069	7,059			2,902	2,834			7							
17 Lahore	8,712	8,672	3	1	813	303	4	2	6	4	27	11	1	1	42	2
18 Amritsar	9,907	9,701			101	31	3		9	3	4	2			4	21
19 Gujranwala	7,823	7,816	2,132	2,127	27	16	2		1	1	12	6			9	4
20 Sheikhupura	8,431	8,442	1,441	1,445	77	33			2	1	10	6			4	2
II.—Himalayan	452	437			374	169	9,065	8,953	2	2	6	6			22	16
21 *Sirmoor State*	790	786			1,451	1,43[illegible]	7,339	7,231	16	1	2	2			7	7
22 Simla	1,413	1,0[illegible]			1,474	1,248	8,114	8,220	11	3	29	27			209	69
23 *Simla Hill States*	1,072	1,032			[illegible]	26	7,993	7,9[illegible]	1		9	8			2	2
24 *Bilaspur State*	1,069	1,0[illegible]					8,923	8,9[illegible]			1					
25 Kangra	164	131			16	13	9,4[illegible]	9,400	2						7	6
26 *Mandi State*	164	133			9		[illegible]	9,673	1	1	8	7			22	29
27 *Suket State*	133	127			2	1	9,811	9,813			1	1				
28 *Chamba State*	14	72			3	3	9,877	9,8[illegible]			2	1			69	10
III.—Sub-Himalayan	6,137	6,107	2,926	2,9[illegible]	313	311	7	4	5	1	44	32			4	3
29 Ambala	3,341	3,357			6,313	6,328	17	11	17	10	8	8			1	1
30 *Kalsia State*	1,763	1,738			8,227	8,219			4	4	1					
31 Hoshiarpur	9,979	9,979			16	11	2	1	1		1	1	1			
32 Gurdaspur	9,951	9,951			34	[illegible]	[illegible]7	11			4	2			9	4
33 Sialkot	9,946	9,943			19	15			1	1	8	4			7	3
34 Gujrat	6,[illegible]	6,77[illegible]	3,06[illegible]	3,06[illegible]	4	16	1				12	3			4	2
35 Jhelum	1,0[illegible]4	942	[illegible]	8,533	27	17					16	9			2	1
36 Rawalpindi	430	406	9,197	9,163	229	213	7	6			22	20			14	9
37 Attock	302	1[illegible]1	9,371	9,317	25	22					318	291	2		1	
IV.—North-West Dry Area	2,51[illegible]	2,513	7,167	7,047	91	84	7	7	66	54	72	62	65	65		[illegible]
38 Montgomery	4,297	4,2[illegible]	5,335	5,331	172	134	45	41	6[illegible]	[illegible]	63	57	1	1	1	1
39 Shahpur	2,[illegible]12	2,993	[illegible]	6,9[illegible]	112	93	1	1			60	45			1	
40 Mianwali	17	16	9,126	9,098	11	8			1		644	612	2	2	1	
41 Lyallpur	9,076	8,973	1,790	1,795	[illegible]	65			1		11	7			1	
42 Jhang	490	4[illegible]7	9,453	9,453	8	7	3	2			11	7			2	1
43 Multan	1,129	1,124	8,823	8,827	164	1[illegible]		—	17	13	61	56	16	16		
44 *Bahawalpur State*	733	746	[illegible]832	8,627	177	162			312	2[illegible]	19	16	12	6		
45 Muzaffargarh	64	4[illegible]	9,844	9,872	22	21	1	1			14	11				
46 Dera Ghazi Khan		4	9,773	7,651	2	1	..		30	2	30	19	1,16[illegible]	911		

SUBSIDIARY TABLE II.—PART II

Distribution by language of the population of each district (Subsidiary Languages.)

District or State and Natural Division	Number per 10,000 of the speakers of each mother tongue who speak a subsidiary language														
	Punjabi as mother tongue					*Lahnda as mother tongue*				*Hindustani as mother tongue*					
	With Hindustani as Subsidiary	With Western Pahari as Subsidiary	With Rajasthani as Subsidiary	With Pashto as Subsidiary	With Kashmiri as Subsidiary	With Hindustani as Subsidiary	With Rajasthani as Subsidiary	With Pashto as Subsidiary	With Balochi as Subsidiary	With Punjabi as Subsidiary	With Lahnda as Subsidiary	With Western Pahari as Subsidiary	With Rajasthani as Subsidiary	With Pashto as Subsidiary	With Kashmiri as Subsidiary
1	2	3	4	5	6	7	8	9	10	11	12	13	14	15	16
PUNJAB	83	2			5	3		9	78	*174*	3	*1*	*1*		
I.—INDO GANGETIC PLAIN WEST	*112*				*8*	*2*		*11*		*161*	*1*		*1*		
1 Hissar	18		8							4			1		
2 *Loharu State*	7,300														
3 Rohtak	5,010														
4 *Dujana State*	667														
5 Gurgaon	7,249					10,000									
6 *Pataudi State*															
7 Karnal	710									1			1		
8 Jullundur	10		1							3,185					
9 *Kapurthala State*	13									418					
10 Ludhiana	151					10,000				1,508		1		1	
11 *Maler Kotla State*	4									3,895		75			
12 Ferozepore	10					270				545	22		20	1	
13 *Faridkot State*	28									5,420					
14 *Patiala State*	84									1,120					
15 *Jind State*	33									28					
16 *Nabha State*										169					
17 Lahore	529	3			44	1,142		6,207	22	3,617	7	9	15	1	5
18 Amritsar	8	1			8					1,979	4				
19 Gujranwala	9									4,101					
20 Sheikhupura	9									2,895					
II.—HIMALAYAN	*247*	*313*			*1*	*2,500*				*225*		*104*	*2*		
21 *Sirmoor State*	59	1								19		3	3		
22 Simla	2,756	149								1,044		503			
23 *Simla Hill States*	98	77								546		33			
24 *Bilaspur State*		13													
25 Kangra	98	703			4					281		305			
26 *Mandi State*	143	600								937		313			
27 *Suket State*	231	270										3,846			
28 *Chamba State*	40	4,080				5,000				833					
III.—SUB HIMALAYAN	*48*							*19*		*112*		*1*			*1*
29 Ambala	115					10,000				28		1			
30 *Kalsia State*	29		1							3					
31 Hoshiarpur										3,118					
32 Gurdaspur	4									4,155		12			
33 Sialkot										1,047					
34 Gujrat	93				1			2		3,891					
35 Jhelum	1,119	3			7			5		3,606		62		21	
36 Rawalpindi	683	8			1	1		3		527	1	22		1	23
37 Attock	1,010							58		1,661				55	
IV.—NORTH WEST DRY AREA	*21*					*3*	*1*	*5*	*110*	*1,009*	*112*		*1*	‘	–
38 Montgomery	16			2		8				858	63			24	
39 Shahpur	34									1,815	1				
40 Mianwali	887							14		1,812	206			23	
41 Lyallpur	3			1		1		2		2,305	20		1	3	
42 Jhang	1									1,090				19	
43 Multan	43					3		2		147	165		3	9	
44 *Bahawalpur State*	98			1		2	3			619	178				
45 Muzaffargarh	254					12		1		420	233		15	15	
46 Dera Ghazi Khan							–	16	1,262		6,748				

SUBSIDIARY TABLE II.—PART II.—*concluded.*

Distribution by language of the population of each district (Subsidiary Languages.)

District or State and Natural Division.	Number per 10,000 of the speakers of each mother-tongue who speak a subsidiary language.														
	Western Pahari as mother-tongue.		*Brajbhakha as mother-tongue.*			*Pashto as mother-tongue.*				*Biloch as mother-tongue.*		*Kashmiri as mother-tongue.*			
	With Punjabi as subsidiary	With Hindustani as subsidiary	With Punjabi as subsidiary	With Lahnda as subsidiary	With Hindustani as subsidiary	With Punjabi as subsidiary	With Lahnda as subsidiary	With Hindustani as subsidiary	With Western Pahari as subsidiary	With Lahnda as subsidiary	With Hindustani as subsidiary	With Punjabi as subsidiary	With Hindustani as subsidiary	With Western Pahari as subsidiary	With Lahnda as subsidiary
1	17	18	19	20	21	22	23	24	25	26	27	28	29	30	31
PUNJAB	23	40	124	51	62	1,722	285	257	2	1,726	12	4,316	1,422	871	11
I.—Indo-Gangetic Plain West	*161*	*49*	*111*		*66*	*4,000*	*1*	*1,451*	*2*	*616*	*65*	*5,008*	*1,475*	*5*	*14*
1 Hissar		5,714	13		100	1,800		4,730							
2. *Loharu State*	—														
3. Rohtak					8,333			[illegible]							
4. *Dujana State*															
5. Gurgaon		2,000			5			6,923							—
6. *Pataudi State*															
7 Karnal	—	7,000			1,639	278		6,790				2,837			
8 Jullundur	526		3,333			2,030		2,774				4,008			
9 *Kapurthala State*															
10. Ludhiana	2,129	638	3,169		373	2,222		2,118			10,000	3,622	2,000		
11 *Maler Kotla State*						10,000									
12. Ferozepore	4,591	1,330	352		18	934						677			
13. *Faridkot State*			6,040			10,000									
14. *Patiala State*	7	1	214			2,451		3,333							
15. *Jind State*	1,422		130			4,607									
16. *Nabha State*	3,333					3,333									—
17 Lahore	2,908	1,800	2,708		711	4,721	2	2,220	4	325		7,624	2,879	5	34
18. Amritsar	6,301	[illegible]479	6,075		432	4,624		1,463				6,633	301		
19. Gujranwala	8,331		2,731		446	8,402		141		[illegible],000		4,838	293		—
20. Sheikhupura	5,000		6,216			4,216		79		10,000		2,701	37		
II.—Himalayan	*5*	*37*	*43*		*749*	*812*		*905*	*43*			*363*	*2,050*	*3,106*	*3*
21 *Sirmoor State*		4			133			1,383							
22. Simla	167	1,333			8,000	288		740				25	7,837		9
23. *Simla Hill States*	21	87	1,170		1,765	190		983	37				482		
24. *Bilaspur State*								8,000	1,667						
25. Kangra	4				60	379		1,222	222			601	181	436	—
26. *Mandi State*	4					114		592	59			316	20	632	
27 *Suket State*	1														
28. *Chamba State*	1	25				2,341		643				43		8,036	
III.—Sub-Himalayan	*2,276*	*856*	*639*		*218*	*2,432*	*1*	*179*		*3,611*	*3,262*	*3,459*	*237*	*80*	*4*
29 Ambala	1,251	2,271	363		[illegible]511	1,012		[illegible]076				789	1,711		
30. *Kalsia State*								10,000					10,000		
31 Hoshiarpur	1,493		2,173			1,333		467			7,000	6,216			
32. Gurdaspur	2,698	226	2,915		6,250	4,093		1,103				4,73[illegible]	377	11	
33. Sialkot			161			930		963				451			
34 Gujrat	6,000	333				7,067		679				4,342	121		
35 Jhelum			3,333			4,732		144		8,000		6,334	67		63
36 Rawalpindi	101	67				3,571	1	406				2,063	887	67	
37 Attock		1,000				2,[illegible]19		21		7,905		6,357	2[illegible]		
IV North-West Dry Area	*211*	*111*	*377*	*750*	*29*	*676*	*661*	*73*	*2*	*1,331*	*1*	*2,176*	*47*		*44*
38. Montgomery	123	11	443	38	21	300	372	4	13	2,087		1,714			
39 Shahpur	4,500	167	4,[illegible]			2,217	2	276		3,457		2,349			
40. Mianwali	—		1,250		417	73	784	4		402		1,52[illegible]	417		633
41 Lyallpur	770		3,598	47	312	2,[illegible]16	497	170		2,500		2,311	315		
42. Jhang	257	45				4,513		91		1,250		3,163			
43. Multan		1	170	1,634	160	1,917	704	183		87	22				
44. *Bahawalpur State*			170	891	2	1,010	333	130		4,607					
45. Muzaffargarh	—	642	16		205	119	1,597	272				10,000			
Dera Ghazi Khan				2,563			4,697			1,539					

SECTION 2.—HINDUS.

Distribution of Hindus in the Punjab

220. The blue portion of the rectangles in the Social Map represents Hindus and the light-blue Ad-Dharmis and Hindu depressed classes It will be seen that Hindus are most numerous in the Himalayan Natural Division, constituting 9,325 of every 10,000 of the total population In the Indo-Gangetic Plain their proportion is 3,504, in the Sub-Himalayan 2,235 and in the North-West Dry Area 1,280 In the margin are given the absolute figures of the number of Hindus in the Punjab and in each Natural Division for 1921 and 1931 and the percentage of increase or decrease at this census is compared with the increase per cent in the total population of all religions

Locality	Actual number of Hindus with 000's omitted		Increase or decrease per cent	Increase per cent in total population of all religions
	1931	1921	1921—31	
1	2	3	4	5
Punjab	*8,600*	*8,800*	*—2·3*	*13·5*
Indo-Gangetic Plain	4,510	4,736	—4·8	11·4
Himalayan	1,708	1,642	+4·0	5·4
Sub-Himalayan	1,446	1,557	—7·2	11·9
North West Dry Area	937	865	+8·4	21·5

It will be seen that Hindus in the Province have decreased, as also their proportion in the total population They have, however, shown actual increase in the Himalayan Division and in the North-West Dry Area In the other two Divisions the Hindu population has decreased, more particularly in the Indo-Gangetic Plain A direct cause of the decrease is that over 4 lakhs of persons, belonging to the backward classes, returned their religion as Ad-Dharm, but even supposing that all of them had returned themselves as Hindus (though quite a considerable number of them would beyond doubt have been claimed by Sikhism) the Hindus as a whole would not have shown the same amount of increase as the other main religions

Causes of Decreasing Number of Hindus

221 The decrease in the number of Hindus requires careful examination Some of the main causes for the decrease in the Hindu population at every census have been noted in the general remarks preceding this section What we are here concerned with is to determine whether Hindus are really suffering from any peculiar handicap which keeps down their number and does not let them grow at the same rate as some of the other communities in the Punjab do Pandit Hari Kishan Kaul in his Report on the 1911 Census enumerated the causes, which in his opinion were responsible for a smaller rate of growth among Hindus as compared with other religions In addition to the causes peculiar to the decade 1901—11, such as the earthquake of 1905 in Kangra the famine in Hissar District and the outbreak of plague, which was alleged to have caused a greater number of deaths in urban areas where a greater proportion of Hindus lived, he laid particular stress on " (*i*) restriction of fecundity by enforced widowhood, (*ii*) the evil effects of early marriage on prolificness, (*iii*) loss of vitality in consequence of the occupations and habits of the Hindus in towns, (*iv*) and the difference in food " Of these four causes, which might be regarded as more or less permanent in their nature, the first was examined in detail in the Chapter on Civil Condition, and here it will suffice to say that the number of widows of child-bearing ages (15—40) among Hindus is 37 *per mille* of all females as compared with 22 among Muslims and 19 among Sikhs. There is thus no doubt that the number of widows among Hindus is comparatively large and would have a somewhat adverse effect on their population but the number of children in each community ought to depend on the number of married females of child-bearing ages and their proportion is higher among

Hindus than among Muslims or Christians. Among Hindus out of every 1 000 women aged, 15—40 855 are married as against 862 among Sikhs, 798 among Jains, 838 among Muslims and 800 among Christians Thus one factor is more than counteracted by the other and we shall examine the other three causes and see whether they can account for the decrease.

Child Marriage and its Effect on Fecundity

222 The true extent of child marriage and its effect on prolificness could not be gauged at past censuses as the Age and Civil Condition tables used to have many defects on account of the plumping on figures at certain ages, which were never smoothed. This defect was admitted in the Census Reports of the past with regard to entries about age in particular Nor was it possible to know the number of children born to women married at different ages. At the present census a special enquiry was held with a view to obtain more reliable fertility statistics, and the results of that enquiry are given in the form of six tables five of which have been printed and discussed in Chapter VI (Civil Condition) This enquiry as explained there, was as a rule made in typical areas in the various districts and states, and all the families with the husband and wife alive were examined. A record of more than 60 000 Hindu families was made as also that of 25 000 Sikh and 75 000 Muslim families and some Christian and Ad Dharmi families. A reference may be made to the discussion in paragraph 114 of Chapter VI where the conclusion has been recorded that Hindus including Sikhs were actually more prolific than Muslims or Christians, but had a smaller survival rate The prevailing custom of early marriage cannot be held responsible for this result, as will be seen from an extract from Fertility Table III reproduced in the margin The curious fact brought out by these figures is that among both Hindus and Muslims the rate of survival is highest among children whose mothers were below 12 when married. The date of marriage for the purpose of this enquiry was reckoned from the time the wife came to live with her husband which generally coincides with the appearance of the first signs of puberty The high survival rate can either be taken at its face value and looked upon as a result of some physiologically sound reason of which we are hitherto unaware or we may assume that only the physically strong women have survived early labours to be included in our enquiry and have transmitted some of their hardy qualities to their progeny These doubts however will be dispelled by table in the margin which shows the number of Hindu females with different durations of marriage per 1 000 females married at each of the specified age-periods.

Age of wife at marriage.	Hindu. Average number of children born per 100 women.	Hindu. Number of survivors per 1,000 children born.	Muslim. Average number of children born per 100 women.	Muslim. Number of survivors per 1,000 children born.	Sikh. Average number of children born per 100 women.	Sikh. Number of survivors per 1,000 children born.
0—12	374	741	316	754	[illegible]	718
13—14	360	721	342	702	373	702
15—19	383	702	372	716	405	718
20—29	[illegible]	711	402	722	472	712
30 and over	[illegible]	727	431	749	421	748

Duration of marriage per 1,000 Hindu women married at each age-period.

Age of wife at marriage 1	0—4 2	5—9 3	10—14 4	15 and over 5
0—12	82	114	196	607
13—14	92	177	218	513
15—19	96	137	190	[illegible]
20—29	97	103	274	[illegible]
30 and over	44	82	218	641

It is evident that of 1 000 women married below the age of twelve 607 have had at the time of the enquiry a duration of marriage of 15 years and over This proportion is the highest except in the case of those who were married when 30 and above The data for the latter are of course not reliable because if they were married when over 30 many of them must now be over 60 which is the period of life when the people in this Province are prone to return a wrong age Moreover, the actual number of cases is very small, and most of them probably concern widows who have remarried their deceased husbands' brothers and would as often as not return the duration since their first marriage as well as all the children they have borne

It may be argued that women with the longest duration of marriage at the present moment must comprise a large proportion of those who were married when very young, as they alone could have to their credit the longest durations in married state In this connection it may be pointed out that the duration of 15 years and over is in no way excessive, and women married at higher ages had an equal opportunity of completing this duration The figures in the margin show the number of Hindu women in our enquiry who had completed different durations of marriage, their total being assumed as 10,000 It will be seen that the predominating duration is 15 years and over, which claims more than half the women married at different ages If we reduce the number of all marriages with this duration to 1,000, we find that it comprises wives married at different ages as shown in the margin The figures for the other prevailing religions have been inserted for the sake of comparison

Number per 10,000 Hindu wives who have duration of marriage

Years	0—4	5—9	10—14	15 & over
1	2	3	4	5
Number	812	1,535	2,040	5,613

Number per mille of women married for 15 years or more who were married at —

Religion	0—12	13—14	15—19	20—29	30 & over
1	2	3	4	5	6
Hindu	214	213	407	133	3
Muslim	174	167	414	212	33
Sikh	180	183	459	159	19

No further discussion on these lines is necessary, as the subject has been fully dealt with in Chapter VI, but it may be useful to mention that the number of child-wives with the longest duration of marriage would be even larger but for the fact that many of them have been excluded from our enquiry owing to the death of their husbands

Effect of Residence in Towns

223 Subsidiary Table IV to this Chapter gives the proportion of followers of different religions living in towns A comparison of this table with the corresponding table of 1921 shows that Hindus now constitute 37 64 per cent of the urban population as compared to 40 21 per cent in 1921 The proportion for rural areas, which contain nearly nine-tenths of the total population, shows even a greater decrease, *i e*, from 34 46 per cent to 29 13 per cent The proportion that Hindus constitute per 10,000 of the rural and urban population in each Natural Division is reproduced in the marginal table We find that there is an actual increase, though only slight, in the proportion of Hindus in the urban population of the Himalayan Division and North-West Dry Area The proportion of Hindus in the rural population has been reduced everywhere, indicating that the cause for decrease in the number of Hindus is not to any large extent " the loss of vitality in consequence of their habits as the residents of towns "

Number of Hindus per 10,000 of

Natural Division	Urban Population		Rural Population.	
	1931	1921	1931	1921
1	2	3	4	5
Punjab	*3,764*	*4,021*	*2 913*	*3 446*
Indo-Gangetic Plain	3 797	4,156	3 445	4,134
Himalayan	7,451	7,178	9,388	9,526
Sub Himalayan	3,224	3,482	2,117	2,584
North West Dry Area	3,891	3,793	1,032	1,236

It has been observed in the past, and the point was stressed in the 1911 Census Report, that towns had a higher death-rate than villages and therefore tests, carried out by Dr Chalmers Watson, Pell quotes him from " The Declining Birth-rate to the effect that a purely meat diet produces sterility more or less complete in animals This would tend to show that the stinginess of the town-dwellers in the matter of diet does not militate against fecundity

Present Condition of the Hindus.

225 We will now proceed to examine whether the Hindu community as at present constituted is vitally inferior to others According to Sundburg, well-known authority on age statistics, the progressive population must have 400 persons per 1,000 in age-group 0—15 500 (or about one-half of the total population) in age-group 15—50 and 100 in age-group 50 and over (see page 133 of the India Report of 1921) Applying this test to the figures of Hindus we find that they point to progressiveness Any community with a lesser number in the younger age-periods and a greater number in the older age-periods is stationary if persons aged 0-15 are 33 per cent, and actually regressive if they are less

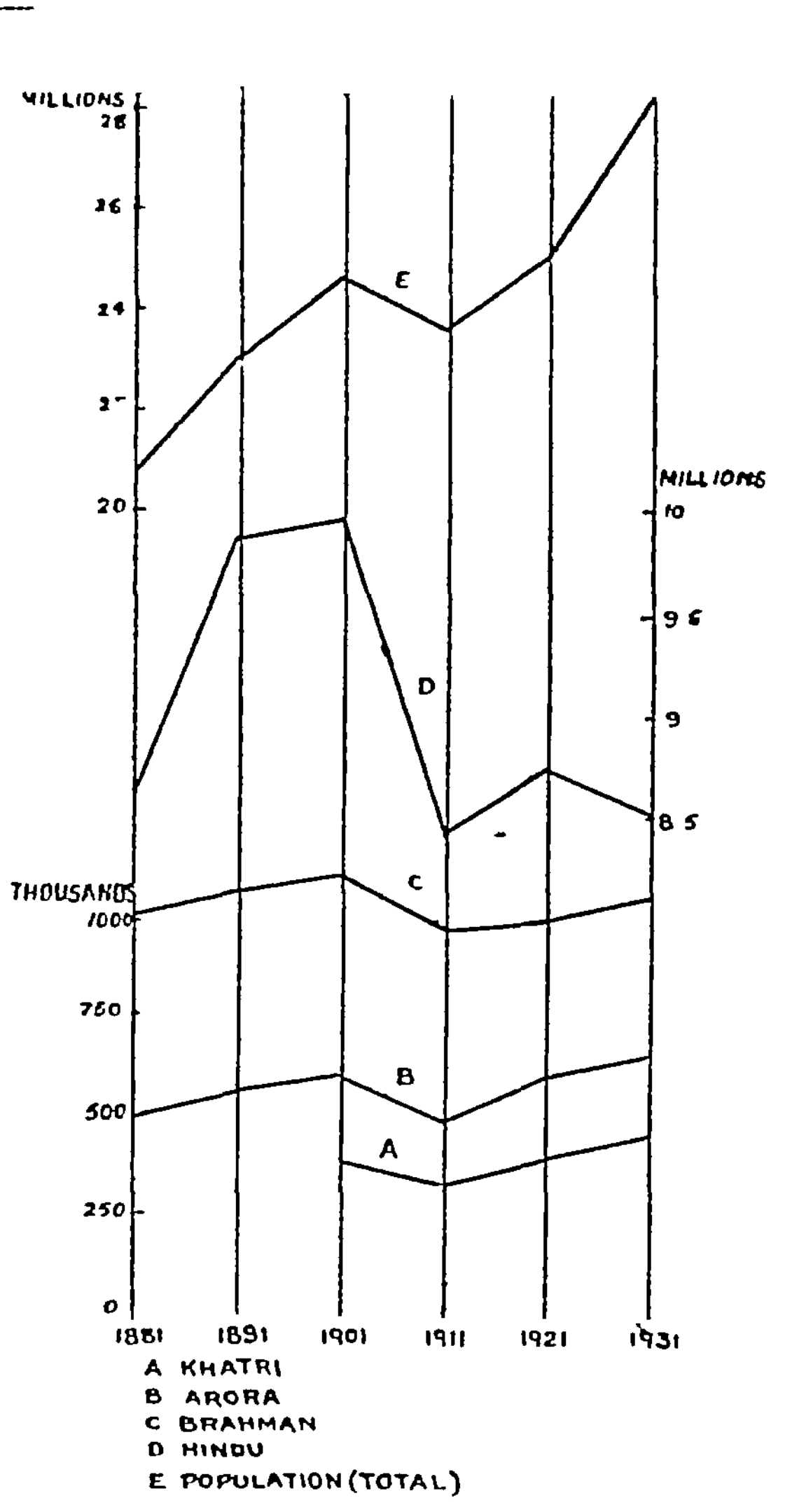

Brahman, Khatri and Arora

226 We should not rest satisfied only with the application of a mere formula, as done in the last paragraph, but will study the figures of certain main castes of Hindus, Brahman, Khatri and Arora, which at present form 122, 54 and 77 *per mille* of the total Hindu popuation, respectively The graph in the margin depicts the growth of these castes from 1881 to the present day The figures will be found in Imperial Table XVIII, and except for a big drop in 1911, which is also reflected in the curves of the total population, the three castes have shown a steady increase in numbers though not at the same rate as the total population This was not to be expected for the various causes already alluded to The increase in the strength of these three castes during the last decade may be examined in greater detail The present figures are given in Table XVII, and the increase per cent for the decade in the Province as well as for each Natural Division is given in the margin for the total strength of these castes as well as for persons of these castes professing Hindu religion. The figures for Hindu Brahman are almost exactly the same as those

Increase or decrease per cent. in population of certain castes

Locality 1	Brahman 2		Khatri 3		Arora. 4	
	Total	Hindu	Total	Hindu	Total.	Hindu
Punjab	*+6 1*	*+6 0*	*+13 2*	*+17 3*	*+8 4*	*+11 2*
Indo-Gangetic Plain	+5 9	+5·6	+21 7	+19 9	+11 5	+9 2
Himalayan	+7 9	+7 9	+1·7	+1 3	—2 7	—10 4
Sub-Himalayan	+3 6	+3 8	—4 0	+8 7	—15 9	—1 0
North West Dry Area	+11 4	+11 3	+26 8	+2 73	+11 1	+12 9

for total Brahman, as very few Brahmans belong to any other religion unlike Khatris and Aroras, a considerable number of whom, particularly Aroras, are Sikhs. The reason for the decrease in the Hindu Arora in the Himalayan Division being greater than the decrease in the total Arora is that some Aroras, who formerly returned themselves as Hindus, have now returned themselves as Sikhs and omitted to return their caste. Khatris show a decrease of 4 per cent. in the Sub-Himalayan Division, while Hindu Khatris are making a steady progress a similar progress among Sikh Khatris has been concealed by an omission to return the caste.

Hindu Rajputs and Jats. 227 The figures of Hindu Rajputs and Jats, who number 577,374 and 992,309 respectively in the Province have not been discussed along with the figures of the three castes dealt with in the last paragraph Rajputs now include an ever increasing number of some occupational castes except perhaps in Hoshiarpur and Kangra, and many Hindu Jats have returned themselves as Sikhs except in Gurgaon, Hissar and Rohtak. The figures of these tribes in the above-mentioned localities are shown in the margin, and the figures of the Karnal Jats have also been added It will be seen that Jats have increased in Gurgaon by a higher rate than the total population. In Hissar too the increase is fairly high while Jats have decreased in Karnal no doubt due to the bad climate and malaria prevalent in rural areas. The small rise in Rohtak can only be explained by the population having outgrown the means of subsistence and the emigration during the last decade to canal colonies, which have attracted Hindu Jats of the eastern Punjab for the first time.

Caste and District. 1	Per 1,000 of Hindus 1931. 2	Percentage increase or decrease. 3	Percentage increase of total population. 4
Hindu Rajput.			
Kangra	300	+5·8	+4·6
Hoshiarpur	87	+3·8	+11·3
Hindu Jat.			
Gurgaon	96	+9·7	+8·8
Hissar	207	+7·6	+16·1
Rohtak	276	+1·7	+4·3
Karnal	117	−3·9	+2·9

Decrease Among Hindu Occupational Castes. 228 In addition to the large number of conversions to Sikhism from amongst the Hindu agricultural castes and depressed classes, numerous persons belonging to *occupational castes have obviously gone over to the Sikh religion.* Fuller details will be found in Chapter XII on Castes and Tribes, and here it will suffice to mention that several *dhobis* (washermen) *darzis* (tailors) carpenters, masons and goldsmiths, who formerly returned themselves as Hindus, have now returned themselves as Sikhs for in no other way can we explain the defect among Hindu members of these particular castes when accompanied by an almost equal increase among Sikhs.

Conclusion. From what has been said above we can draw the following conclusions —

(a) An increasing number of Hindus belonging to agricultural occupational and depressed classes have returned their religion as Sikh or Ad Dharmi.

(b) So far as the natural increase is concerned Hindus are almost as progressive as the other communities in the Province

(c) If the Hindu, Sikh Jain, Buddhist and Ad Dharmi or in other words the units within which all the variations take place are grouped together the increase in their number since 1921 is consistent with the rate of increase that could be expected under the circumstances

(d) In the future a still further reduction in the number of Hindus due to further desertions may be expected unless the lower middle agricultural tribes and members of occupational castes and untouchables can be induced to stay in the Hindu fold.

220 The Hindu sects can be grouped under six main heads*—(1) Old Sects, (2) Reformers, (3) Sects essentially of low castes, (4) Miscellaneous Sects (5) Sects analogous to other religions, and (6) Unspecified The sects falling under the first group can be further sub-divided into (*a*) Orthodox Hindus, (*b*) Religious orders, (*c*) Saint worshippers, and (*d*) Sects worshipping Muslim saints in addition to their own gods, while the sects comprised by the group "Miscellaneous Sects" can be sub-divided into (*i*) Minor Sects and (*ii*) Castes returned as sects Hindu Sects

The sects included in each group are noted below —

1 Old Sects

(*a*) *Orthodox Hindus*
Sanatan Dharm*

(*b*) *Religious Orders*
Bairagi
Udasi
Faqir
Sanyasi
Jogi
Gorakh Panthi

(*c*) (*i*) *Saint Worshippers*
Dadu Panthi
Guga Pir
Kalu Panthi
Namabansi
Pabuji
Panjpiria
Rai Dasia
Ram Raya
Sewak Darya
(*ii*) Those who worship Muslim saints in addition to their own gods
Sarwaria and Shamsis

2 Reformers

Arya, Brahmo, Dev Dharm, Nanak Panthi and Radhaswami

3 Sects of Low Castes

Balmiki, Lal Begi, Ram Dasia and Bala Shahi

4 Miscellaneous

(*a*) *Minor*—The less numerous and unimportant entries are included under Miscellaneous

(*b*) *Castes returned as sects*—Sansi and Od

5 Sects Analogous to other Religions

Jain, Budh, Nirmdhari, Kesdhari, Sehjdhari Ad-Dharm etc

6 Unspecified

The absolute strength of each group together with its sects is noted below for the censuses of 1921 and 1931, as also the percentage of variation Strength of Hindu Groups

Variation in the Strength of Hindu Sects

Sects	1921	1931	Variation per cent
1	2	3	4
All Sects	8,799,651	[illegible]	−2·3
1 Old Sects	7,614,435	7,600,641	− ·2
(a) Orthodox Hindus	7,385,195	7,567,735	+ 2·5
Sanatan Dharm	[illegible]	[illegible]	[illegible]
(b) Religious Orders	[illegible]	5,232	−76·6
Bairagi	4,407	[illegible]	[illegible]
Udasi	[illegible]	[illegible]	[illegible]
Faqir	[illegible]	[illegible]	[illegible]
Sanyasi	1,381	[illegible]	[illegible]
Jogi	[illegible]	[illegible]	[illegible]
Gorakh Panthi	[illegible]	[illegible]	[illegible]
(c) (i) Saint Worshippers	[illegible]	[illegible]	−81·3
Dadu Panthi	[illegible]	[illegible]	[illegible]
Guga Pir	[illegible]	[illegible]	[illegible]
Kabir Panthi	[illegible]	[illegible]	[illegible]
Kalu Panthi	[illegible]	[illegible]	[illegible]
Namabansi	[illegible]	[illegible]	[illegible]
Pabuji	[illegible]	[illegible]	[illegible]
Panjpiria	[illegible]	[illegible]	[illegible]
Rai Dasia	[illegible]	[illegible]	[illegible]
Ram Raya	[illegible]	[illegible]	[illegible]
Sewak Darya	[illegible]	[illegible]	[illegible]
(ii) Sects worshipping Muslim saints in addition to their own gods	[illegible]	[illegible]	[illegible]
Sarwaria	[illegible]	[illegible]	[illegible]
Shamsi	[illegible]	[illegible]	[illegible]
2 Reformers	[illegible]	[illegible]	[illegible]
Arya	[illegible]	[illegible]	[illegible]
Brahmo	[illegible]	[illegible]	[illegible]
Dev Dharm	[illegible]	[illegible]	[illegible]
Nanak Panthi	[illegible]	[illegible]	[illegible]
Radhaswami	[illegible]	[illegible]	[illegible]
3 Sects of low castes	[illegible]	[illegible]	[illegible]
Balmiki	[illegible]	[illegible]	[illegible]
Lal Begi	[illegible]	[illegible]	[illegible]
Ram Dasia	[illegible]	[illegible]	[illegible]
Bala Shahi	[illegible]	[illegible]	[illegible]
4 Miscellaneous			
(a) Minor	[illegible]	[illegible]	[illegible]
(b) Castes returned as sects	[illegible]	[illegible]	[illegible]
5 Sects analogous to other religions	[illegible]	[illegible]	[illegible]
6 Unspecified	[illegible]	[illegible]	[illegible]

*[illegible] 1911 [illegible]

Ram Daiji (Hissar, 15 males and 18 females.)

Ram Daiji is the name of a Hindu deity and the persons returned as members of this sect really belong to Sanatan Dharm

Singi Kat. (Hissar, 10 males and 13 females)

Singi Kat is the profession of certain persons who extract blood from sick persons with the aid of *singi*, a small horn-shaped instrument made of horn and iron The persons entered as members of this sect are really Sanatan Dharmis

Dhawal Pal and Dharm Premi.

Dhawal Pal and Dharam Premi are two different names for the Brahmanic Hindus and Vedic Dharmis, respectively The members of these sects are found only in the Sialkot District, their total number being less than 500

Bishkarman (Ludhiana, 29 males and 14 females.)

The followers of Bishkarman, a Brahman, who married a woman of another caste, are usually *Lohars* and *Tarkhans* They have a temple of their own on the Phagwara-Nawanshahr road in the Jullundur District, but in practice they are Sanatan Dharmis

Ram Shahi (Bahawalpur State 58 males and 45 females)

The founder of this sect is reported to be one Ram Pir, but the date of its origin is not traceable Their particular beliefs and tenets are analogous to Hinduism They pray like Hindus, and their religious books are in Shastri, Urdu or Gurmukhi In their dress and mode of life they are just like other Hindus They do not eat bacon and they bury their dead Rama Pir's shrine is in the Jodhpur State, and a fair is held there during the months of *Bhadon* and *Magh* and draws thousands of members of this sect from the various parts of India

Gabhar Ghambir (Ambala, 15 males and 22 females)

Swami Bishan Dass, who is over 70 years old, is the founder of this sect His disciples believe in the doctrines of the ten Gurus of Sikhs, and are also known as Nanak Panthis The following places are held sacred by them —

(1) Rupar (Ambala District), (2) Sirhind Basi (Patiala State), (3) Machhiwara (Ludhiana District), (4) Badla (Patiala State), and (5) Chak No 389 G B (Lyallpur District)

The name of this sect, which is one of the names of the Almighty, literally meaning "Deep, Profound," has been derived from a *shabad* (hymn) contained in the Granth Sahib (the holy book of Sikhs)

Kanthiwal (Karnal, 51 males and 42 females)

They are really Jhiwars, and the founder of the sect was Baba Kalu, a Jhiwar who lived in the time of Akbar the Great The successor of Baba Kalu pays a half-yearly visit to the members of the sect, and gives them a *kanthi* (necklet) to wear They have a temple in Bhalwal and another in Patangarh, both in Karnal District, and usually follow Hindu religion and observe the same fairs and festivals as other Hindus Their peculiarity is a worship of wells

SECTION 3.—SIKHS.

General.

231 The followers of Sikhism at the present census number 4,071,624, of whom 2,270,946 are males and 1,800,678 females, giving a proportion of 793 females per 1,000 males During the last decade Sikhs have increased by 964,328 or by 31 1 per cent The principal figures for important units are given in the margin A glance at the Social Map in the beginning of this Report will show that Sikhs reside chiefly in the central Punjab, being most numerous in the territory which is marked

Locality	Absolute figures of Sikhs (1931)			
	Persons	Males	Females.	Proportion of females per 1 000 males
1	2	3	4	5
Punjab	*4,071,624*	*2,270,946*	*1,800,678*	*793*
British Territory	3,064,144	1,703,584	1,360,560	799
Punjab States Agency	996,626	561,238	435,388	776
Other Punjab States	10,854	6,124	4,730	772

out roughly by a circle in the map below

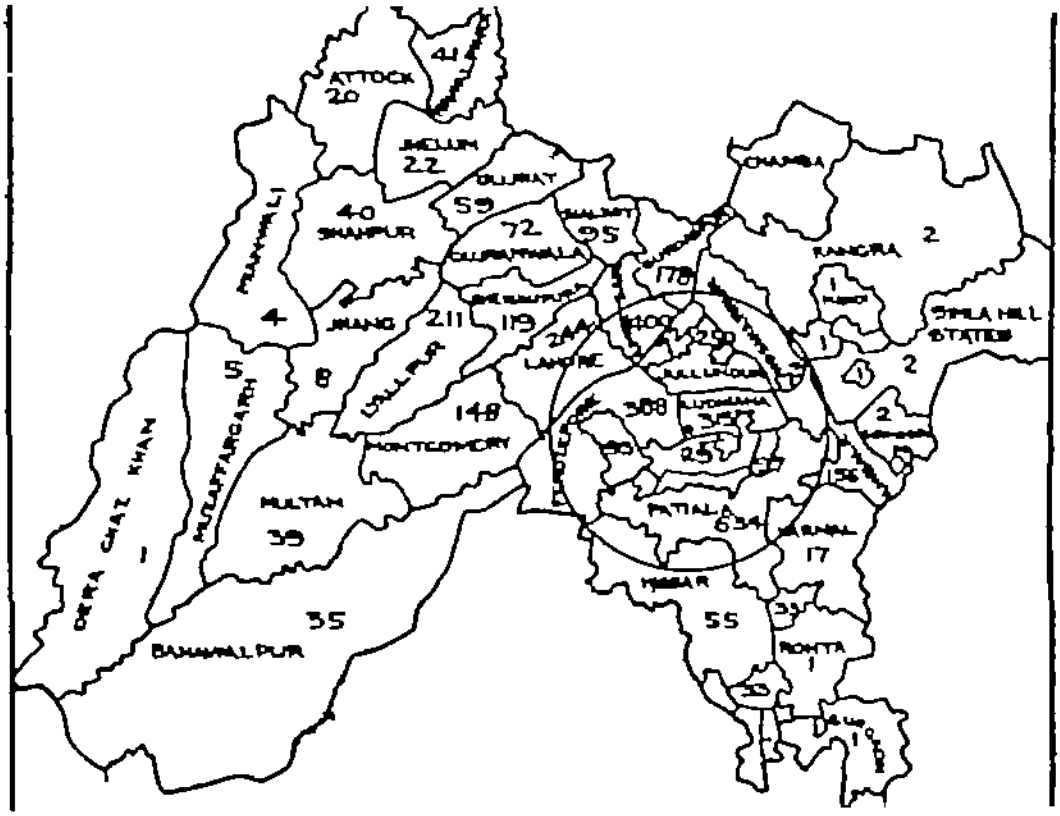
41
ATTOCK
20
JHELUM
22
GUJRAT
59
40
SHAHPUR
72
GUJRANWALA
95
SIALKOT
CHAMBA
KANGRA
2
178
MIANWALI
4
JHANG
211
SHEIKHUPURA
119
244
LAHORE
400
299
JULLUNDUR
1
MANDI
SIMLA HILL STATES
1
2
5
8
LYALLPUR
148
MONTGOMERY
368
LUDHIANA
2
257
156
DERA GHAZI KHAN
MUZAFFARGARH
MULTAN
39
1
PATIALA
634
KARNAL
17
HISSAR
55
35
BAHAWALPUR
ROHTAK
1
GURGAON
1

Actual number of Sikhs in thousands—Census 1931

This circle embraces among other tracts the *Majha* which comprises the Kasur and Chunian Tahsils of Lahore District and the Tarn Taran and Amritsar Tahsils of Amritsar District. The predominantly Sikh tahsils of Garhshankar and Hoshiarpur in the Hoshiarpur District are also included Una and Dasuya Tahsils with a smaller proportion of Sikhs being left out Further south the Rupar sub-division of Ambala and parts of Kaithal sub-division and Thanesar Tahsil of Karnal District fall within it and also nearly the whole of the Patiala State and the major portion of the Sirsa Tahsil of Hissar District. The heart of the circle covers the whole of Ludhiana and Jullundur Districts, the States of Kapurthala, Maler Kotla, Faridkot and Nabha and a considerable portion of the Ferozepore District The figures of the Sikh population are given in the map in thousands for all districts and states. The Sikhs number approximately 2½ millions within and 1½ millions outside the circle and their proportion diminishes with the distance from the circle

Variation in Number of Sikhs at Past Censuses.

232 The population of Sikhs has been growing at each census except during the decade 1881—01 and in 1881 was considerably less than half of what it is now The table in the margin shows their number percentage increase and proportion per 10 000 of the total population at each of the past censuses. The numerical strength rose markedly during the decade 1901—11 but the increase during the last decade is unprecedented

Census.	Absolute figures for Sikhs.	Percentage increase	Proportion per 10,000.
1		3	4
1881	1,706,909*		822
1891	1,849,371	8 4	809
1901	2,102,813	13 7	863
1911	2,881,495	37·0	1,211
1921	3,107,296	7·8	1,234
1931	4,071,624	31·0	1,429

* Include figures for Delhi.

Below are given some quotations from the Census Reports of the past, which graphically describe certain phases of the Sikh community bearing on the rise and fall in its population at various periods

The following extracts appear at page 140 of the Punjab Census Report of 1881 —

In 1853 Sir Richard Temple wrote, as Secretary to the Government —

"The Sikh faith and ecclesiastical polity is rapidly going where the Sikh political ascendancy has already gone Of the two elements in the old Khalsa, namely, the followers of Nanak the first prophet, and the followers of Guru Gobind, the second great religious leader, the former will hold their ground, and the latter will lose it The Sikhs of Nanak, a comparatively small body of peaceful habits and old family, will perhaps cling to the faith of their fathers but the Sikhs of Gobind who are of more recent origin, who are more specially styled the Singhs or Lions, and who embraced the faith as being the religion of warfare and conquest, no longer regard the Khalsa now that the prestige has departed from it These men joined in thousands, and they now depart in equal number They rejoin the ranks of Hinduism whence they originally came and they bring up their children as Hindus The sacred tank at Amritsar is less thronged than formerly, and the attendance at the annual festival is diminishing yearly The initiatory ceremony for adult persons is now rarely performed."

In the Administration Report of 1856-57 the same writer says after speaking of the small number of Sikh recruits that offered themselves till the fall of Delhi proclaimed our triumph

"Sikhism itself, too, which had previously fallen off so much, seems again to be slightly on the increase. During the past year the baptismal initiations at the Amritsar temple have been more numerous than during the preceding year Sikhism is not dormant"

And Colonel MacMahon, Commissioner of Amritsar, writes as follows in his Census Report —

"The large decrease in the number of Sikhs since 1868 is not surprising Sikhs decline in number, in years of peace There was a serious decline, I believe, after the conquest of the Punjab down to 1857, when the demand for Sikhs for our army during the mutiny for a time gave a great stimulus to the growth of Sikhism. The idea prevails, not only with the officers of native regiments, but also among the classes from which Sikh converts are obtained, that Sikhs made better soldiers than Punjabi Hindus, and hence whenever the warlike spirit revives, Sikhism in this part of the Punjab also revives All the members of the same family do not always become Sikhs and those who have acquired a taste for the soothing influence of tobacco abstain from taking the *pahul* Hence in times of peace there is a tendency for Sikhism to decline."

The following passage occurs in the Punjab Census Report of 1891 (p 96) —

"There is reason to believe that the marked preference shown for Sikhs in many branches of Government service, the hardy nature of the castes from which they are mainly drawn, and the recent extension of a kind of patriotic antiquarianism among the more educated of them, has not been without its influence in strengthening their power and preventing the disruption of the Sikh community which one has so often seen predicted"

The next decade found the Sikh population rising at the expense of Hindus, and the following remarks are met with in the Punjab Census Report of 1901 (p 122)

"The number of Sikhs in these Provinces,* according to the present returns, is 2,130,987 as against 1,870,481 in 1891, an increase of 260,506, or 13 9 per cent If these figures are at all accurate, Sikhism has made a marked advance since 1891, possibly at the expense of Hinduism, for the Hindus only show an increase of 2 4 per cent"

The phenomenal increase continued even during the very unhealthy decade preceding the census of 1911, when the total population of the Province showed an actual decrease After remarking about the absence of separate vital record for Sikhs, the 1911 Report with regard to the increase in their number said —

"Nevertheless the rate of increase is much too high for the natural development of population, under the unhygienic conditions which prevailed during the decade. The gain seems to have occurred mainly by accretions from the Hindus It has not been possible to ascertain the number of people who have taken the *pahul* during the last ten years, but the Singh Sabhas have been very active in enforcing the tenets of Guru Gobind Singh on all followers of Guru Nanak, whether Sikhs or Hindus, and they have been assisted greatly in their efforts by the fact that only *Keshdhari* Sikhs are enlisted in the army"

In the 1921 Report the following remarks of Mr Garrett, I E S, who acted during a portion of the war period as a Recruiting officer, appear at page 179 —

"My experience during 1917 and 1918 in Ludhiana and the adjacent territories was that there were a large number of families of the Hindu zamindar class of which those members who had enlisted in the Army had as a matter of course, become Sikhs Those who in the ordinary course of events would have stayed at home did not do so When, as a result of the intensive recruiting at the later stages of the War the latter were induced to join up they too became Sikhs"

---

* The area that now constitutes approximately the whole of the Punjab and N W F Province

Apart from the facts set forth in the extracts quoted above the number of Sikhs since 1911 has greatly risen on account of the changed instructions about the definition of Sikhism. Prior to that year only those were recorded as Sikhs, who according to the tenets of the tenth Guru Gobind Singh grew long hair and abstained from smoking, but since then any one is recorded as a Sikh who returns himself as such whether or not he practises those tenets

The Sect Table XVI A printed in Part III of this Volume gives the numbers of Kesdharis or those who take *pahul* and wear *kes* (long hair) and Sehjdharis or those who do not take *pahul* or grow *kes* These figures are for facility of reference reproduced in the margin for this as well as the last census.

Particulars. 1	Kesdhari. 2	Sehjdhari. 3	Unspecified. 4
1921	2,872,798	228,366	8,143
1931	3,587,839	281,903	191,893
Variation	715,041	53,537	183,750
Variation per cent	24·9	23·4	2,256·6

Sikh Growth due to Absorption of Hindus.

233 It is obvious from the remarks of the Census Reports of the past that the number of Sikhs varies greatly from time to time on account of the comparatively easy conversion from Hinduism. It is not essential for a Sikh to be born a Sikh and any one can be initiated into the religion by *pakul*, a process fully described in the Census Report of 1881 (p 136) This view is borne out by the figures in the margin, which show the absolute increase at each census in the total number of Sikhs as well as the increase or decrease among Hindus The figures of Sikhs have risen at each census while those of Hindus have shown a decrease at the censuses of 1911 and 1931 At both these censuses the decrease among Hindus was accompanied by a marked increase among Sikhs, though there were also other causes responsible for reduction in the Hindu population such as plague during the decade 1901—11 and the treatment of Ad Dharm as a separate religion on the present occasion. The big rise in the Sikh population during the last decade is obviously not due to natural increase alone If any fresh evidence on this point is needed, we have only to apply the test of survivorship to the Sikh population of 1921 and thus determine approximately the amount of gain due to the absorption of non-Sikh (primarily Hindu) population From the figures in the margin we find that 542,596 persons were so absorbed The calculations are based on the assumption that the proportion of survivors (persons now aged over 10 years) of the 1921 Sikh population would be the same as that for the total population Any excess in the present Sikh population aged over 10 years would therefore, be due to absorption from other communities as Sikhs are not likely to gain in numerical strength through any other cause much less through immigration as among them the number of emigrants is larger than that of immigrants. The estimate of absorption

ABSOLUTE INCREASE OR DECREASE.

Year 1	Hindu. 2	Sikh. 3
1921-31	—190,931	+954,338
1911-21	+285,911	+228,901
1901 11	—1,541,463	+779,082
1891-01	+98,341	+210,017
1881-91	+990,666	+172,831

Particulars. 1	All Religions. 2	Sikh. 3
1. Actual population of 1921	25,101,514	3,107,296
2. Population aged over 10 years of 1931	20,245,375	2,943,466
3. Calculated Sikh population aged over 10 years (Survivors of 1921)		2,507,588
4. Absorption among Sikhs aged over 10 years		435,878
5. Enumerated Population under 10 years of 1931	8,243,492	1,128,169
6. Calculated Sikh population under 10 years		1,021,449
7. Absorption among Sikhs under 10 years		106,718
Total estimated absorption (by adding items 4 and 7).		542,596

in the population under 10 is made on the assumption that the children under 10 among Sikhs would bear the same ratio to the calculated surviving Sikh population, aged 10 years and over, as the children of all religions under 10 have to the total population aged over 10 years in 1931

In the general remarks in the beginning of this Chapter it has been pointed out how certain castes were being more easily absorbed than others by Sikhism, and having regard to what has been said in this paragraph we can safely foretell that at no distant future most of the Hindu agricultural and artisan classes residing in the areas, included in the circle in the map on page 304 as the stronghold of Sikhs, will go over to Sikhism The only castes of Hindus which stand firm are Brahman and Khatri, though many members of the latter have become Sikhs

Percentage Increase of Sikhs in Smaller Units

234 The map below shows the percentage of increase in the number of Sikhs in each district and state over the figures of the last census

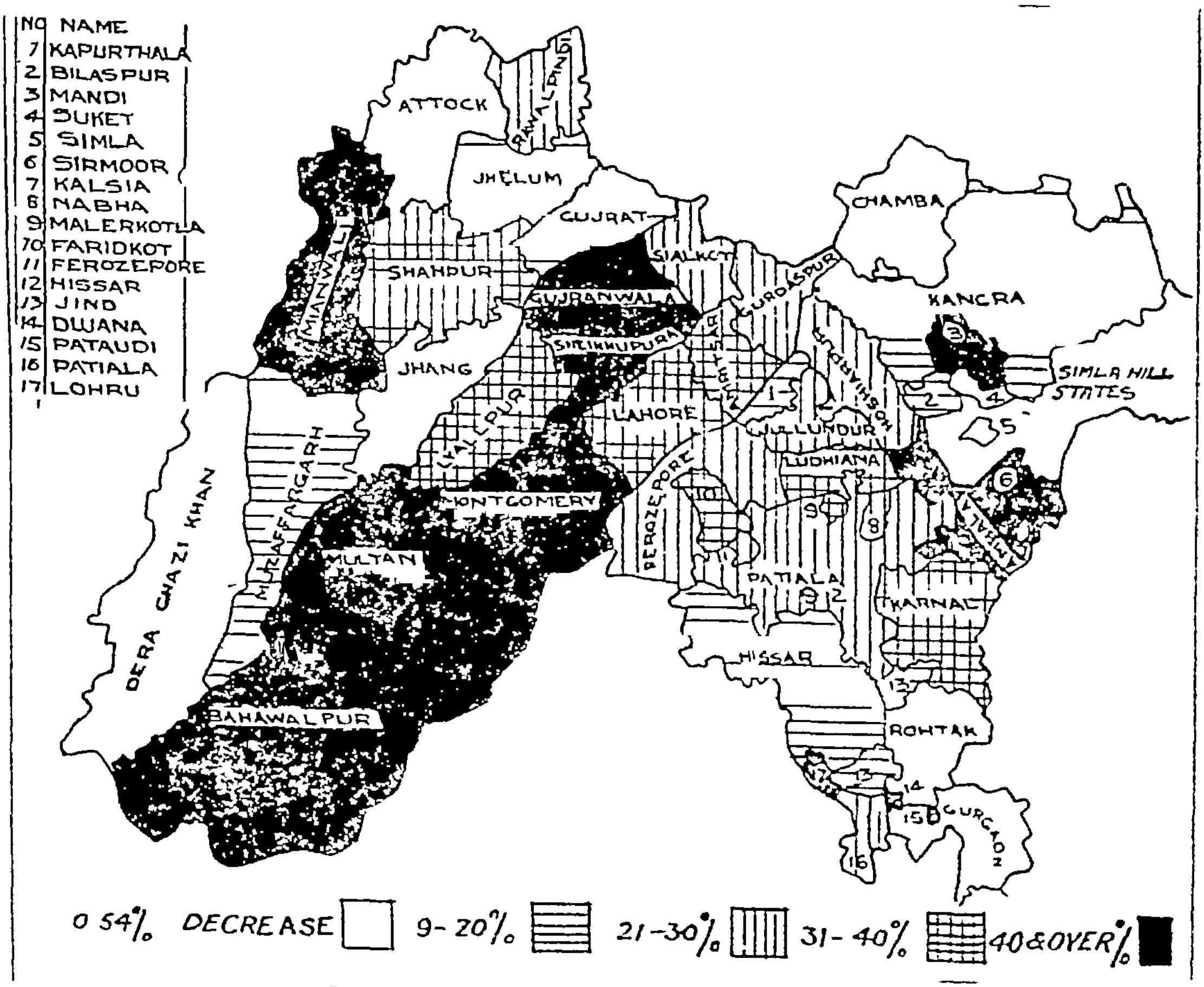
NO NAME
1 KAPURTHALA
2 BILASPUR
3 MANDI
4 SUKET
5 SIMLA
6 SIRMOOR
7 KALSIA
8 NABHA
9 MALERKOTLA
10 FARIDKOT
11 FEROZEPORE
12 HISSAR
13 JIND
14 DUJANA
15 PATAUDI
16 PATIALA
17 LOHRU
ATTOCK
RAWALPINDI
JHELUM
GUJRAT
CHAMBA
SIALKOT
GURDASPUR
KANGRA
SHAHPUR
MIANWALI
GUJRANWALA
SHEIKHUPURA
AMRITSAR
HOSHIARPUR
SIMLA HILL STATES
JHANG
LYALLPUR
LAHORE
JULLUNDUR
LUDHIANA
AMBALA
DERA GHAZI KHAN
MUZAFFARGARH
MONTGOMERY
FEROZEPORE
MULTAN
PATIALA
KARNAL
HISSAR
BAHAWALPUR
ROHTAK
GURGAON
0 54% DECREASE ☐
9-20% ▤
21-30% ▥
31-40% ▦
40&OVER% ■

Increase per cent among Sikhs during 1921—31

The high percentage of increase in the canal colonies is undoubtedly due both to inter-district migration and absorption of lower castes of Hinduism while in places like Mianwali, Karnal and Sirmoor, where Sikh population is very meagre, the results are evidently due to mere absorption In such places the percentage of increase does not truly represent any real increase This applies even with greater force to places like Pataudi, Dujana and Loharu In Ambala, Ludhiana, Amritsar, Lahore and Jullundur the increase is entirely due to accretions from other castes as well as to the large natural increase In the Mandi State the increase has resulted from migration owing to the numerous labourers attracted by the Hydro-Electric project at Jogindarnagar In certain districts Sikhs have actually decreased but there is nothing surprising about this as in districts such as Dera Ghazi Khan, Attock, Jhang, Rohtak and Gurgaon and Simla Hill States Sikhs are very few and the reduction in their number might be due to any cause, migration or absorption by Hinduism. It is on the whole noticeable from the map that Sikhs have in many areas increased at a much greater rate than the total population. The marginal table compares the increase per cent. among Sikhs with that among all religions in British districts.

District.	*Increase (+) or Decrease (−) per cent. during the decade, 1921-31.* All Religions.	Sikh.	District.	*Increase (+) or Decrease (−) per cent. during the decade, 1921-31.* All Religions.	Sikh.
1	2	3	1	2	3
Hissar	+10·1	+20·9	Gujranwala	+18·1	+40·9
Rohtak	+4·3	−1·0	Sheikhupura	+19·6	+44·0
Gurgaon	+8·6	−45·9	Gujrat	+11·9	+19·7
Karnal	+2·9	+37·9	Shahpur	+14·1	+32·0
Ambala	+9·0	+30·4	Jhelum	+13·4	+19·3
Simla	−10·8	−30·2	Rawalpindi	+11·4	+30·1
Kangra	+4·6	+15·0	Attock	+14·0	−1·4
Hoshiarpur	+11·3	+30·2	Mianwali	+14·9	+41·7
Jullundur	+14·7	+21·1	Montgomery	+43·8	+65·1
Ludhiana	+10·8	+22·7	Lyallpur	+14·0	+31·4
Ferozepore	+6·3	+29·2	Jhang	+18·8	−9·6
Lahore	+22·0	+25·7	Multan	+22·1	+112·6
Amritsar	+20·2	+39·4	Muzaffargarh	+4·9	+8·6
Gurdaspur	+13·9	+29·7	Dera Ghazi Khan	+5·0	−18·8
Sialkot	+11·6	+26·7			

To give some further idea about the gain of Sikhism I quote in the margin the figures of certain castes for 1921 and 1931 It may be pointed out that these figures furnish no more than a mere indication as except in the case of higher castes such as Jat and Rajput, converts to Sikhism do not as a rule return any caste, being content with the entry of Sikh in the column of caste. This desire to return no caste is actuated by the feeling that it is better not to return a low caste, and as a matter of fact many members of low castes such as Chuhra and Chamar adopt Sikhism in order to escape the *inferiority complex* In regard to Sikhs the instructions to enumerators were that they should not be pressed to return their caste

Statement showing the increase or decrease among certain Sikh castes.

Caste.	1931.	1921.	Increase (+) or decrease (—).	Percentage of variation.
1	2	3	4	5
Arora	114,329	121,096	−6,767	−5·6
Chamar	158,753	163,290	−4,537	−2·8
Chuhra	169,247	42,476	+126,771	+298·5
Jat	2,134,596	1,823,456	+311,140	+17·1
Rajput	53,029	30,808	+22,221	+72·1
Saini	86,688	53,777	+32,911	+61·2
Tarkhan	158,103	139,768	+18,335	+13·1

The figures of variation in the numerical strength of castes can be best studied over a long period, as owing to wrong classification or different interpretation of instructions the results of two successive censuses may not serve as an index to actual facts. The table below shows for each of the last six censuses the variations in the population figures of certain castes, which claim both Hindus and Sikhs among their members.

Caste and religion.		1881	1891.	1901.	1911.	1921.	1931.
1		2	3	4	5	6	7
Jat	(Hindu)	1,445,374	1,497,177	1,559,574	1,070,943	1,046,356	991,309
	(Sikh)	1,122,673	1,116,417	1,389,877	1,617,522	1,822,841	2,133,152
Tarkhan (Carpenter)	(Hindu)	13,079	213,541	222,934	182,303	161,833	148,737
	(Sikh)	113,067	131,110	116,904	150,447	139,327	159,416
Lohar (Blacksmith)	(Hindu)	101,190	110,339	110,816	82,294	83,363	74,443
	(Sikh)	24,361	23,247	30,453	24,903	29,425	16,460
Chuhra (Scavenger)	(Hindu)	612,134	659,871	934,632	777,421	693,393	374,224
	(Sikh)	40,891	41,321	21,673	49,907	40,345	152,341
Darzi (Tailor)	(Hindu)	8,074	10,318	8,440	7,457	8,178	9,823
	(Sikh)	196	640	718	1,404	1,887	3,030
Chamar (Shoemaker)	(Hindu)	931,913	1,029,335	1,040,093	979,499	968,894	684,943
	(Sikh)	100,616	106,328	75,733	164,170	161,992	153,717

The figures bear out the remarks recorded above Among Jats the number of Hindus has gone on decreasing since 1901 except for a small increase in 1921 The Sikh Jats have on the other hand been ever on the increase Among occupational castes such as Tarkhan and Lohar, Hindus have been decreasing since 1901 while the number of Sikhs has been rapidly growing, though of late it has had a downward tendency This is merely due to the failure on the part of Sikh artisans to return any caste at all or to claim Ramgarhia as their caste instead of the traditional caste Tarkhan Many of these artisans were evidently absorbed from Hinduism The number of Chuhras among Hindus has been declining seriously since the 1911 census, and it hasbeen on the increase among Sikhs except in 1901 and 1921 the increase at this census being very much greater thanbefore But for the new Ad-Dharmi movement many more Chamars and Chuhras would have returned themselves as Sikhs

Strength of Sikh Sects

235 The statement in the margin shows the numerical strength of the different sects returned in the Province under the two main divisions "Kesdhari" and "Sehjdhari" The bulk of Sikh population i e 88 1 per cent of the total is Kesdhari only 6 9 per cent being Sehjdhari The districts with the largest number of the latter are Hoshiarpur (35 916), Montgomery (31,530), and Jullundur (27,805) The remaining 5 per cent of the Sikh population is made up of "sects analogous to other religions" or 'miscellaneous sects' such as Guru Bhag Singh (724) Nirmala (268), Nam Dev (267), Narankari (282), Baba Budhi (231) Kabir Panthi (114), Bedi Sodhi (76), Baba Kalu (52), Sadu (44) Baba Bindu (41) and Gulab Dasi (2) Among Kesdharis the Tat-Khalsas, Hazuris and Nanak Panthis occupy a prominent position For a description of the different sects or their practices or tenets distinguishing them from each other the reader is referred to the Census Reports of 1891 and 1911, in which the subject has been fully discussed The only noticeable feature brought out by the present census is that the strength of minor sects is very much on the decrease owing to a general tendency of modern times to do away with subsects in the interests of the community as a whole

Sect 1	Kesdhari 2	Sehjdhari 3
Gobind Singh	23,673	
Hazuri	192,880	2 337
Kuka Namdhari	13,008	
Mazhabi	15 866	870
Nihang	4 105	
Nanak Panthi	26,075	1,202
Panj Piria	62	
Ramdasi	11,041	839
Ram Rai	1,207	17
Sarwaria	11,817	1 813
Tat Khalsa	147	
Udasi	16	369
Miscellaneous	6,059	7
Unspecified	3,280 317	274 440
Total	3 588 829	281 903

Variation in Sects

The variation since 1921 in sects with the greatest number of followers is given in the marginal table Kesdharis have increased from 2,873,788 to 3,588,829, or by 24 8 per cent and Sehjdharis from 228,366 to 281,903, or by 23 4 per cent The orthodox sects such as "Gobind Singh" and "Hazuri" are on the decrease, but sects like Nanak Panthi and Mazhabi, the latter chiefly returned by Chuhras, Chamars, Sansis and Bawarias, show a large increase The increase in the figures of "Unspecified" is due to the lack of return of sect on the part of persons who were formerly recorded as belonging to a particular sect Sects like Udasi and Panj Piria would see to be losing popularity, as also the sect analogous to Islam, namely Sarwaria

Sect 1	1921 2	1931 3	Variation per cent 4
KESDHARI			
Gobind Singh	42,678	23,673	−44 5
Hazuri	246,367	192,880	−21 7
Kuka Namdhari	4,037	13,008	+223 7
Mazhabi	2,291	15,866	+592 5
Nihang	3,013	4,105	+7·2
Nanak Panthi	22,486	26,075	+16 0
Panj Piria	4,592	62	−98 6
Ramdasi	10,608	11,041	+13 0
Ram Rai	605	1,207	+99 5
Sarwaria	14,256	11,817	−17 1
Tat Khalsa	531,279	147	−100 0
Udasi	776	16	−97 9
Unspecified	1,989,940	3,280,317	+64 8
SEHJDHARI			
Hazuri	1,613	2,337	+44 9
Nanak Panthi	13,961	1,202	−91 4
Radhaswami	378		−100·0
Ramdasi	209	839	+301 4
Sarwaria	2,382	1,813	−23 9
Udasi	66	369	+459 1
Unspecified	209,757	274,440	+30·8

SECTION 4.—AD DHARMIS

General. 930. The circumstances leading to the return of Ad Dharmi religion have been described in the general section of this Chapter. The figures of Ad Dharmis for certain districts have been given in paragraph 919 above. The absolute figures by districts and states are given in Imperial Table XVI and the figures by tahsils in Provincial Table II both appearing in Part II of this Volume. The Ad Dharmis however do not comprise all the Hindu depressed classes as numerous members of these classes have returned themselves as Hindus and abstained from claiming the new religion. The figures for all the depressed classes of Hindus are not available as at this census some limit had to be placed for reasons of economy on the number of castes to be sorted. The figures for the most numerous castes are, however, available, and the total strength of depressed classes belonging to these castes inclusive of Ad Dharmis is given in Appendix I at the end of this Chapter. The table in the margin gives the figures of Ad Dharmis and the Hindu depressed classes* separately as far as available for each district and state. It is evident from the table that Ad Dharmis in most places form only a fraction of the Hindu depressed classes and except in Jullundur and Hoshiarpur which are their strongholds, and Sheikhupura and Lyallpur colonies, Ad Dharmis nowhere outnumber the other depressed classes. In Montgomery the number of the two is about equal. It is obvious, therefore that the number of persons who returned themselves as Ad Dharmis in each area was governed by the peculiar circumstances of the locality. In areas like Hissar Rohtak and Karnal where depressed classes are found in large numbers the propaganda on behalf of Ad Dharmis appears to have been ineffective as these districts are far removed from the centre of Ad Dharmi movement. Moreover the Hindu land-owning classes of those tracts wield a strong influence against religious disruption. The number of Ad Dharmis on the other hand is large in the colony districts, where menial classes are fully alive to their interests. A lot of propaganda work was done by the leaders of Ad Dharmis specially in the Lyallpur District. At the same time the Sikh land-owners in some districts particularly Lyallpur Ludhiana and Ambala used all their resource to make Chuhras and Chamars return themselves as Sikhs and not as Ad Dharmis and but for this the number of Ad Dharmis in those districts would have been considerably larger.

District or State.	Ad-Dharmi.	Hindu Depressed Classes.	District or State.	Ad-Dharmi.	Hindu Depressed Classes.
1	2	3	1	2	3
Hissar	9	95,414	Montgomery	16,119	16,207
Rohtak		96,254	Lyallpur	50,718	14,181
Gurgaon		[illegible]	Jhang	66	1,079
Karnal	8,011	108,149	Multan	4,927	10,978
Ambala	98	93,246	Muzaffargarh		2,649
Simla		7,221	D. G. Khan		2,144
Kangra	20,883	[illegible]	Dujana State		3,225
Hoshiarpur	111,829	38,812	Pataudi State		3,077
Jullundur	112,560	21,236	Kalsia State	262	8,484
Ludhiana	17,770	20,236	Simla Hill States.		[illegible]
Ferozepore	36,282	40,846	Loharu State		2,363
Lahore	1,006	50,176	Sirmoor State		43,384
Amritsar	164	31,082	Bilaspur State		16,974
Gurdaspur	6,545	12,558	Mandi State		42,136
Sialkot	76	24,800	Suket State		14,675
Gujranwala	2	4,365	Kapurthala State	16,174	1,697
Sheikhupura	11,741	10,725	Maler Kotla State		8,082
Gujrat	1,010	2,371	Faridkot State	1,884	3,433
Shahpur	1,501	6,096	Chamba State	837	8,846
Jhelum		832	Patiala State	[illegible],452	118,101
Rawalpindi		3,211	Jind State		22,784
Attock		480	Nabha State	6	26,737
Mianwali		575	Bahawalpur State	4,417	25,477

---

*Bawaria, Chamar, Chuhra, Dagi and Koli, Dumna, Megh, Od, Ramdasia, Sansi and Sarera.

In the margin are given figures since 1881 for some of the most numerous depressed classes, who have been returned as belonging to more than one religion The Bawarias at the present moment are equally divided between Hindus and Sikhs, while most of the Sansis returned their religion as Sansi but were thrown into the Hindu religion at the time of sorting The proportion of Chamars in the Ad-Dharmi figures is very much greater than that of Chuhras The fickleness of both in the matter of faith is, however, well illustrated by their oscillation between Hinduism and Sikhism at different censuses A considerable number of Ramdasias, who would have otherwise returned themselves as Sikhs, returned themselves as Ad-Dharmis at this census A further discussion on the subject of depressed classes will be found in Appendix III at the end of this volume

Caste and Religion. 1		1931 2	1921 3	1911 4	1901 5	1891 6	1881 7
Bawaria	(Hindu)	16,045	26,517	26,847	27,633	24,401	20,163
"	(Sikh)	15,858	9,005	6,002	1,275	1,635	1,478
"	(Ad Dharmi)	56					
Chamar	(Hindu)	684,963	968,298	909,409	1,089 003	1,029,335	931,915
"	(Sikh)	155,717	161,862	164,110	75,753	106,328	100,014
"	(Ad Dharmi)	256,349					
Chuhra	(Hindu)	368,224	693,393	777,821	934,653	859,671	613,434
"	(Sikh)	157,341	40,345	49,937	21,673	90,321	40,501
"	(Ad Dharmi)	86,548					
Ramdasi	(Hindu)	12,235					
"	(Sikh)	67,080					
"	(Ad Dharmi)	47,169					
Sansi	(Hindu)	26,665	17,000	22,022	23,658	18,246	17,990
"	(Sikh)	1,238	77				
"	(Ad Dharmi)	384					

SECTION 5.—MUSLIMS.

General.

237 The Muslims according to the present census number 13,332,460 (7,241,612 males and 6,090,848 females) in British Territory, as against 11,444,321 (6,195,738 males and 5,248,583 females) in 1921, which means an increase of 16 5 per cent In the Punjab States their number is 1,597,436 (874,771 males and 722,665 females) as against 1,369,062 (751,819 males and 617,243 females) at last census, or an increase of 16 7 per cent The proportion of Muslims in British Territory and Punjab States to the total population is 56 5 per cent and 32 5 per cent, respectively, while in the Province it is 52 per cent The Muslim population has never shown a decrease at any of the past censuses During the last fifty years their proportion in the total population has risen from 48 to 52 per cent indicating that the increase among them has been at a greater rate than that among the rest of the population

The map below shows the percentage of variation in each district and state since 1921

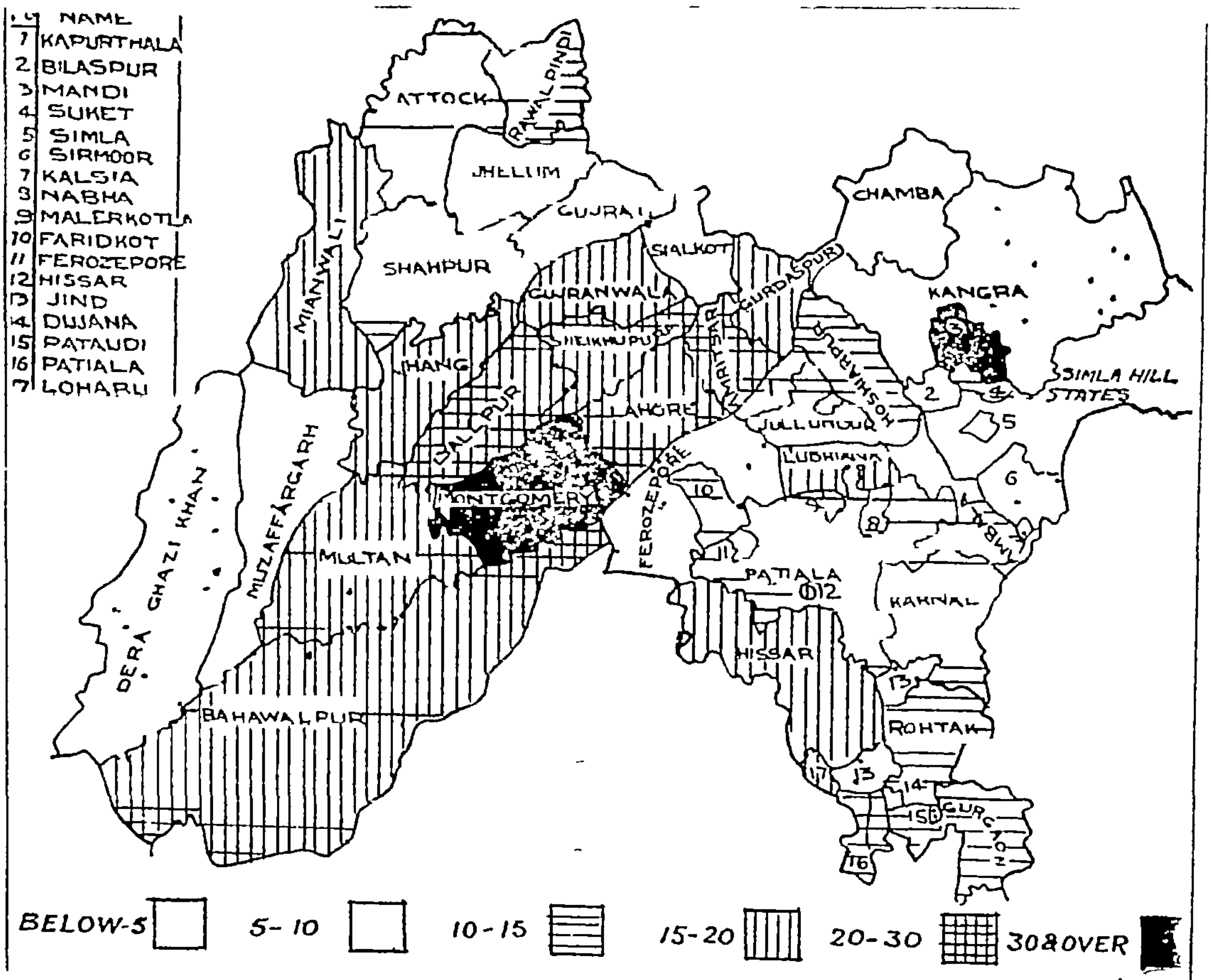
NAME
1 KAPURTHALA
2 BILASPUR
3 MANDI
4 SUKET
5 SIMLA
6 SIRMOOR
7 KALSIA
8 NABHA
9 MALERKOTLA
10 FARIDKOT
11 FEROZEPORE
12 HISSAR
13 JIND
14 DUJANA
15 PATAUDI
16 PATIALA
17 LOHARU
ATTOCK
RAWALPINDI
JHELUM
GUJRAT
SHAHPUR
MIANWALI
SIALKOT
GURDASPUR
CHAMBA
KANGRA
GUJRANWALA
SHEIKHUPURA
AMRITSAR
HOSHIARPUR
JHANG
LYALLPUR
LAHORE
SIMLA HILL STATES
JULLUNDUR
LUDHIANA
MONTGOMERY
FEROZEPORE
DERA GHAZI KHAN
MUZAFFARGARH
MULTAN
PATIALA
KARNAL
AMBALA
HISSAR
ROHTAK
BAHAWALPUR
GURGAON
BELOW-5
5-10
10-15
15-20
20-30
30&OVER

Increase percentage in Muslim population 1921—1930

The increase is greatest in Montgomery District, but here the total population has also increased by over 40 per cent. The same is the case with Multan and Bahawalpur where the percentage increase is next highest. The increase in Sheikhupura, Lyallpur Lahore and Amritsar has been fairly big. Hissar Ludhiana, Gujranwala, Jhang and Mianwali come next, followed by the north-western districts of Gujrat, Shahpur Jhelum, Rawalpindi and Attock, the south-eastern districts of Gurgaon Rohtak and Karnal, and Ambala and Hoshiarpur There has been only a small increase in Dera Ghazi Khan, Kangra and Bilaspur and the least in Muzaffargarh and the rest of the Himalayan Natural Division.

The map below shows at a glance the difference between the

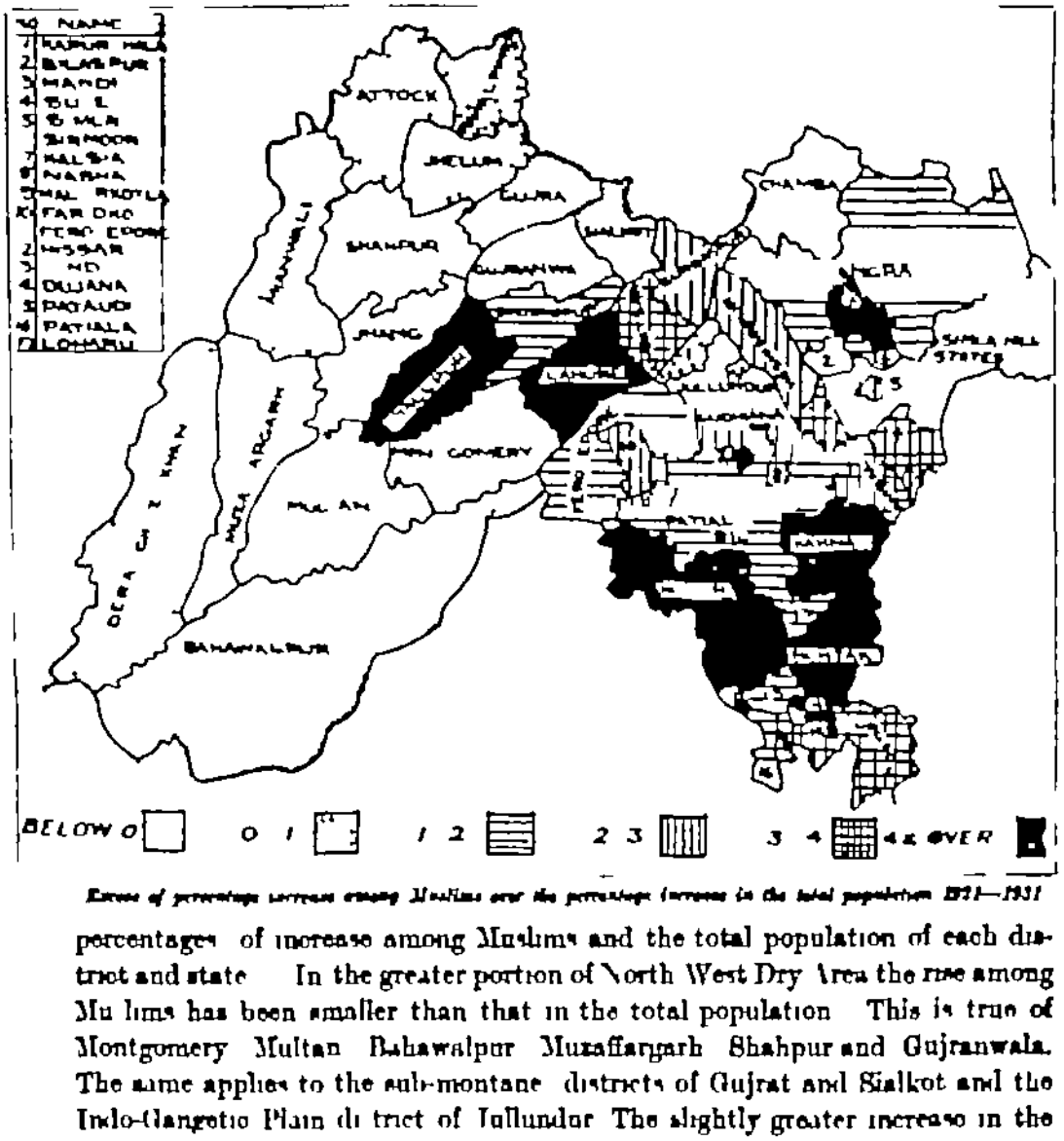
NO NAME
1 KAPURTHALA
2 BILASPUR
3 MANDI
4 SUKET
5 SIMLA
SIRMOOR
7 KALSIA
8 NABHA
9 MALERKOTLA
10 FARIDKOT
FEROZEPORE
12 HISSAR
13 JIND
14 LUDHIANA
15 PATAUDI
16 PATIALA
17 LOHARU
ATTOCK
JHELUM
GUJRAT
CHAMBA
SIALKOT
SHAHPUR
GUJRANWALA
KANGRA
MIANWALI
JHANG
SIMLA HILL STATES
LYALLPUR
LAHORE
MONTGOMERY
MULTAN
MUZAFFARGARH
DERA GHAZI KHAN
BAHAWALPUR
PATIALA
KARNAL
ROHTAK
BELOW 0
0 1
1 2
2 3
3 4
4 & OVER

Excess of percentage increase among Muslims over the percentage increase in the total population 1921—1931

percentages of increase among Muslims and the total population of each district and state In the greater portion of North West Dry Area the rise among Muslims has been smaller than that in the total population This is true of Montgomery Multan Bahawalpur Muzaffargarh Shahpur and Gujranwala. The same applies to the sub-montane districts of Gujrat and Sialkot and the Indo-Gangetic Plain district of Jullundur The slightly greater increase in the extreme western districts, from Rawalpindi to Dera Ghazi Khan is only 1 per cent above the increase in the total population The only other people of this part of the Province are Hindu traders who do not show the same increase as the Muslim gain is in some of these district no doubt partly due to the demobilization of a considerable number of Muslim soldiers during the last decade The next higher rise is in Sheikhupura, Ferozepore, Patiala and Jind The increase in the first-named is partly due to the immigration of tenants, field labourers, etc which is still going on from districts such as Jullundur and Sialkot The increase in Lyallpur is due to the recent extension of colonization, and in Lahore to natural causes and immigration to the city The higher percentage increase in south-eastern districts is due to comparatively smaller increase in the rural population which is predominantly Hindu owing to the increasing pressure on resources or unhealthiness The large percentage increase in Mandi is of course mainly due to the influx of labourers at Jogindarnagar

---

*The figures of total population for 1921 for this map and the map on the last page have been taken from Imperial Table II which gives adjusted figures after accounting for changes in area the figures of Muslims, taken from Imperial Table VI of 1921, have not been similarly adjusted except in Sheikhupura where alone the transfer of area and population was considerable. The population of Muslims in this district for 1921 has been estimated to be 204,256 males and 144,421 females.

The increase among Muslims has been examined above in more ways than one Two important causes which have apparently contributed to a proportionately greater rise in their population in the past, are the comparative healthiness of the tracts in which the bulk of their population resides, and the great economic development which has taken place in those areas

Muslim Sects. 238 The sects of Muslims have been grouped in Table XVI-A (in Part III of this Volume) under four main heads *viz* (1) Shias (2) Sunnis (3) Reformers and (4) "Sects analogous to other religions"

The provincial figures are given in the margin for facility of reference It will be seen that over 95 per cent of the Muslim population in the whole Province is Sunni and more than half of the remainder is Shia The group 'Reformers' forms only 1 6 per cent of the total, *Ahmadis* and *Ahl-i-Hadis* being 4 and 1 2 per cent, respectively

Sects 1	Strength 2	Sects 1	Strength 2
Shia	338,770	**Reformers**	241,418
Sunni	14,276,642	Ahl i Quran	440
		Ahmadi	55,908
Hanfi	24,289	Ahl i Hadis	182,544
Miscellaneous	697	Mawahid	806
Qadri	123		
Shafi	1,230	Sects analogous to other religions	1,030
Unspecified	14,250,303	Sects Unspecified	73,057

Variation. The figures for the main sects are compared in the margin for the censuses of 1921 and 1931 It is evident that the proportionate increase among Sunnis is about the same as that in the total population The Shias have increased by 32 per cent, while Ahmadis have nearly doubled and Ahl-i-Hadis trebled during the last decade Sects analogous to other religions show an increase but their figure is negligible

Sects 1	1921 2	1931 3	Increase 4
All Sects	*12,813,383*	*14,929,896*	*16 5*
Sunnis	12,406,701	14,276,642	14 5
Shias	256,629	338,770	32 0
Ahl i Hadis	60,327	182,544	202 6
Ahmadi	28,816	55,908	94·0

SECTION 6.—CHRISTIANS.

General. 239 The total number of Christians in the Province is 419,353 as against 332,939 at last census, an increase of 26 per cent Of these, Europeans and allied races number 20,099 or 4 8 per cent, Anglo-Indians 3,625 or 0 9 per cent, and Indian Christians 395,629 or 94 3 per cent Europeans and Anglo-Indians have decreased during the last decade by 8 4 and 19 4 per cent, respectively, while Indian Christians show an increase of 29 per cent, a rate only exceeded by the percentage of rise among Sikhs The causes of variation are discussed in paragraph 315 of the next Chapter on Castes, Tribes and Races

SUBSIDIARY TABLE I.

General Distribution of the Population by Religion at each of the last six censuses with variation per cent

RELIGION AND LOCALITY	Actual number in 1931.	Proportion per 10,000 of population in						Variation per cent. Increase (+), Decrease (−).					Percentage of net variation. 1881-1931.
		1931	1921	1911	1901	1891	1881*	1921 to 1931.	1911 to 1921.	1901 to 1911.	1891 to 1901	1881 to 1891.	
1	2	3	4	5	6	7	8	9	10	11	12	13	14
USLIM	*11,929,3[illegible]*	*[illegible]*	*[illegible]*	*[illegible]07*	*4,961*	*4,735*	*4,744*	*+16·6*	*+8·5*	*+0·5*	*+15·6*	*+6·5*	*+61·2*
Indo-Gangetic Plain West	6,112,815	1,784	1,7[illegible]	1,690	1,600	1,604	1,606	+17·6	+8·[illegible]	−0·4	+8·7	+9·9	+30·3
Himalayan	82,711	[illegible]	31	31	31	32	34	+6·6	+4·3	−3·0	+4·9	+3·2	+17·1
Sub-Himalayan	4,070,166	1,407	1,429	1,48[illegible]	1,536	1,637	1,692	+11·6	+1·0	−5·1	−·9	+7·8	+11·2
North-West Dry Area	3,725,604	2,010	1,912	1,8[illegible]	1,694	1,251	1,224	+19·2	+6·8	+16·0	+33·0	+12·6	+123·6
INDU	*[illegible]*	*3,015*	*3,566*	*3,579*	*4,177*	*4,405*	*4,351*	*−5·3*	*+3·4*	*−15·3*	*+5·7*	*+10·7*	*−5·5*
Indo Gangetic Plain West	4,006,034	1,[illegible]	1,867	1,904	2,273	2,479	2,300	−4·2	+4·6	−18·2	+2·9	+12·8	−0·4
Himalayan	1,707,059	[illegible]	654	685	[illegible]	[illegible]	703	+4·0	+0·7	+[illegible]·0	+2·6	+6·6	+17·1
Sub-Himalayan	1,446,244	507	630	[illegible]	[illegible]	969	1,041	−7·2	−[illegible]·0	−[illegible]	−9·8	+4·5	−32·1
North-West Dry Area	937,834	[illegible]	315	322	300	[illegible]	242	+9·6	+13·1	−12·6	+40·1	+10·[illegible]	+57·0
IKH	*4,071,624*	*1,439*	*1,225*	*1,211*	*[illegible]*	*[illegible]*	*[illegible]*	*+31·0*	*+7·6*	*+37·0*	*+13·7*	*+8·4*	*+133·1*
Indo-Gangetic Plain West	2,816,785	960	871	837	[illegible]	[illegible]	670	+23·8	+9·8	+21·1	+12·6	+2·6	+103·6
Himalayan	3,918	1	1	1	1	1	1	+17·6	−3·6	+102·6	−0·6	+53·6	+233·9
Sub Himalayan	733,169	264	227	226	144	101	137	+32·0	+0·9	+61·3	−5·0	+29·7	+161·9
North West Dry Area	492,723	173	137	122	80	22	14	+43·8	+8·2	+151·4	+165·7	+79·6	+1,003·6
HRISTIAN	*419,223*	*146*	*123*	*83*	*37*	*21*	*11*	*+36·0*	*+70·6*	*+391·3*	*+37·1*	*+75·9*	*+1,234·6*
Indo-Gangetic Plain West	198,061	70	60	22	8	7	6	+41·4	+190·8	+163·7	+40·0	+34·6	+1,[illegible]
Himalayan	2,596	1	1	2	2	1	2	−43·2	+1·6	+20·6	−4·4	−7·0	−22·7
Sub-Himalayan	132,800	47	47	39	12	12	5	+13·1	+26·6	+200·1	+11·4	+105·3	+1,178·6
North West Dry Area	86,166	30	21	16	6	1	1	+ 1·1	+60·6	+200·1	+325·6	+6·0	+3,961·6
D-DHARMI	*418,789*	*147*											
Indo-Gangetic Plain West	199,711	70											
Himalayan	21,420	8											
Sub-Himalayan	110,790	42											
North West Dry Area	77,868	27											
AIN	*43,1[illegible]*	*15*	*16*	*17*	*17*	*16*	*20*	*+4·4*	*−2·9*	*−0·7*	*+9·7*	*+7·1*	*+18*
Indo-Gangetic Plain West	34,9[illegible]	12	13	15	16	17	18	+3·9	−2·9	−7·6	+9·8	+4·6	−4·7
Himalayan	291							−18·3	−0	−25·9	+21·8	−27·6	−48·7
Sub-Himalayan	7,299	3	3	3	3	3	3	+6·3	+2·6	−6·0	+3·7	+31·1	+39·5
North West Dry Area	741							+27·4	−4·4	+77·1	+721·4	−87·1	+125·2
UDDHIST	*7,753*	*3*	*2*	*3*	*3*	*3*	*2*	*+31·7*	*−33·7*	*+10·8*	*+11·3*	*+91·6*	*+133·6*
Indo-Gangetic Plain West	23							−87·6	+39·4	+4,300·0		−100·0	+2,200·0
Himalayan	7,705	3	2	3	3	3	2	+31·8	−22·0	+8·6	+11·1	+91·9	+137·1
Sub-Himalayan	22							+173·0	−27·3	+83·3			
North West Dry Area	3							+80·0	−93·1				
OROASTRIAN	*693*							*+8·[illegible]*	*−9·2*	*+[illegible]·7*	*+31·6*	*−11·9*	*+37·6*
Indo-Gangetic Plain West	314							−1·3	−5·9	+ 1·1	+11·6	+87·6	+135·9
Himalayan	3							−92·5	+122·2	+157·1	−46·2	+225·0	−25·0
Sub-Himalayan	75							−31·5	−37·0	+29·9	+83·9	−42·0	−42·0
North West Dry Area	176							+[illegible]00·0	−10·7	+31·5	+245·7	−80·0	+181·4
EW	*13*							*−31·6*	*−33·6*	*+35·[illegible]*	*−30·6*		*−77·2*
Indo-Gangetic Plain West	5							−61·3	−33·3	−27·6	−22·5	−18·4	−80·0
Himalayan	1								−66·7		−100·0		
Sub-Himalayan	7							+600·0	−91·1	+ 10·0	−84·6	+1,000·0	+600·0
North West Dry Area									−50·0		−100·0	−85·7	−100·0

While calculating the proportions for this census, figures of Old Delhi District have been included in the Punjab.

SUBSIDIARY TABLE II—*concluded*

Distribution by districts or states of the main Religions at each of the last six censuses.

District or State and Natural Division	Proportion per 10,000 of the population who are														
	Jain.			Muslim.						Christian.					
	1901	1891	1881	1931	1921	1911	1901	1891	1881	1931	1921	1911	1901	1891	1881
1	17	18	19	20	21	22	23	24	25	26	27	28	29	30	31
PUNJAB	19	20	21	5,240	5,106	5,107	4,961	4,730	4,758	148	133	83	37	21	14
I.—Indo-Gangetic Plain West.	*23*	*34*	*36*	*3,9 2*	*3,800*	*3,781*	*3,756*	*3,655*	*3,650*	*151*	*133*	*81*	*34*	*31*	*22*
1. Hissar	77	73	83	2,8_1	2,644	2,718	2,804	2,093	2,730	12	13	3	2	3	1
2. *Loharu State*	9		8	1,236	1,273	1,291	1,299	1,000	1,103						
3. Rohtak	81	81	90	1,711	1,619	1,690	1,484	1,448	1,426	60	130	6	1	1	1
4. *Dujana State*				2,078	2,206	2,089	2,306	2,233	2,290						
5. Gurgaon	82	66	79	2,274	2,197	2,378	2,350	2,138	2,084	40	19	12	4	2	1
6. *Pataudi State*	47	63	45	1,679	1,601	1,706	1,618	1,600	1,841	2		5			4
7. Karnal	84	80	73	3,046	2,847	2,81_	2,793	2,811	2,890	17	41	12	13	2	1
8. Jullundur	11	8	9	4,446	4,457	4,45_	4,466	4,436	4,442	46	58	30	19	18	21
9. *Kapurthala State*	7	6	8	5,634	5,641	5,673	5,673	5,691	5,600	31	29	4	1		1
10. Ludhiana	33	31	33	3,009	3,400	3,404	3,393	3,404	3,407	37	28	17	14	6	5
11. *Malerkotla State*	175	168	166	3,7_	3,687	3,647	3,613	3,616	3,468	16	5	2	–		
12. Ferozepore	11	16	1_	4,486	4,394	4,342	4,477	4,367	4,774	61	49	36	20	20	26
13. *Faridkot State*	33	36	36	3,037	2,973	2,818	2,8_	2,966	3,092	10	7		1	1	
14. *Patiala State*	18	20	20	2,239	2,202	2,184	2,234	2,222	2,190	9	9	8		1	
15. *Jind State*	45	6	26	1,417	1,404	1,381	1,373	1,338	1,371	6	21	7	2		
16. *Nabha State*	16	14	14	1,906	1,927	1,849	1,965	1,924	1,910	–	2				1
17. Lahore	9	8	10	5,919	5,724	6,044	6,174	5,999	6,487	414	411	210	83	61	40
18. Amritsar	14	7	3	4,697	4,639	4,642	4,600	4,558	4,629	149	137	64	29	16	10
19. Gujranwala	12	10	9	7,092	7,108	6,740	7,029	6,969	7,237	671	429	179	36	24	3
20. Sheikhupura				6,401	6,323					707	418				
II. Himalayan	*5*	*5*	*3*	*413*	*445*	*439*	*433*	*443*	*439*	*31*	*26*	*26*	*29*	*22*	*36*
21. *Sirmoor State*	4	1	1	473	459	421	473	393	377	4	3	2	2	2	2
22. Simla	9	8	6	1,879	1,484	1,480	1,684	1,602	1,615	419	614	602	602	690	731
23. *Simla Hill States*	9	7	15	302	311	330	337	323	361	5	5	7	4		2
24. *Bilaspur State*				144	150	131	164	184	146	1					
25. Kangra	1	2	1	895	510	494	516	520	536	7	5	5	6	4	4
26. *Mandi State*				209	157	185	195	158	169	7				1	1
27. *Suket State*				125	121	107	122	92	132					1	
28. *Chamba State*				727	742	641	65_	608	5_	6	5	6	5	5	7
III.—Sub-Himalayan	*12*	*11*	*9*	*6,199*	*6,111*	*6,129*	*6,06*	*5,997*	*5,959*	*706*	*501*	*353*	*43*	*42*	*27*
29. Ambala	32	27	12	3,107	3,019	3,074	2,990	3,011	2,950	90	82	109	40	30	36
30. *Kalsia State*	27	31	2_	3,04	3,083	3,306	3,303	3,037	2,944	4	1	6			
31. Hoshiarpur	12	11	12	3,175	3,119	3,06	3,16_	3,_49	3,219	36	40	22	6	1	1
32. Gurdaspur	1	1	1	5,090	4,962	4,978	4,929	4,903	4,702	445	356	279	47	23	6
33. Sialkot	19	15	14	6,223	6,100	6,174	6,615	6,120	6,617	677	684	409	110	104	16
34. Gujrat				8,629	8,612	8,729	8,738	8,797	8,816	34	29	2	6	1	4
35. Jhelum	2	3	1	8,910	8,878	8,840	8,967	8,910	8,74	12	9	9	5	4	7
36. Rawalpindi	11	10	13	8,_70	8,5__	8,362	8,672	8,661	8,067	118	163	182	82	60	47
37. Attock				107	9,091	9,068				12	11	14			
IV.—North-West Dry Area.	*2*		*1*	*7,4_*	*_85*	*8,000*	*7,991*	*8,130*	*8,265*	*113*	*117*	*79*	*23*	*6*	*7*
38. Montgomery				6,97_	7,195	7,467	7,218	7,24_	7,719	17_	146	11	1	2	2
39. Shahpur			1	8,3_	8,350	8,330	8,449	8,482	8,487	137	166	125	2	2	1
40. Mianwali	1			8,677	8,623	8,767	8,734			9	10	5	1		
41. Lyallpur				6,24_	6,071	6,113	6,120			390	429	373	110		
42. Jhang				8,316	8,322	8,190	7,901	7,995	8,270	7	9	4	1	1	
43. Multan	2		1	8,0_6	8,21	8,167	8,025	7,991	7,997	84	67	30	26	20	34
44. *Bahawalpur State*			4	8,11	8,293	8,291	8,297	8,410	8,278	11	4	3	1		
45. Muzaffargarh			1	8,679	8,679	8,681	8,632	8,600	8,628	4	4	1	1	1	1
46. Dera Ghazi Khan	3			8,5_	8,_31	8,906	8,892	8,871	8,676	1	1	1	3	3	2

NOTE.—(1) Sheikhupura figures for 1911, 1901, 1891 and 1881 are included in the District of Lyallpur, Gujranwala, Lahore and Sialkot. Attock figures for 1901, 1891 and 1881 are included in Jhelum and Rawalpindi Districts. Mianwali and Lyallpur figures for 1891 and 1881 are not available.

(2) While calculating the proportions for the censuses of 1891 and 1881 for the whole Province and Indo-Gangetic Plain West, figures of Old Delhi District have been included in these units.

SUBSIDIARY TABLE III

Christians—Number and Variations (six Censuses)

District or State and Natural Division	Actual Number of Christians in 1931	1921	1911	1901	1891	1881	Variation per cent 1921 to 1931	1911 to 1921	1901 to 1911	1891 to 1901	1881 to 1891	1881 to 1931
1	2	3	4	5	6	7	8	9	10	11	12	13
PUNJAB	**419,353**	**332,941**	**195,284**	**64,477**	**46,771**	**26,156**	**+26·0**	**+70·5**	**+202·9**	**+37·9**	**+78·8**	**+1,894·8**
I.—Indo-Gangetic Plain West	*198,081*	*140,104*	*53,995*	*19,989*	*14,085*	*9,831*	*+41·4*	*+159·5*	*+170·1*	*+41·9*	*+43·3*	*+1,588·8*
1 Hissar	1,107	1,024	273	253	242	72	+8·1	+275·1	+7·9	+4·5	+236·1	+1,437·5
2 *Loharu State*	1											
3 Rohtak	4,807	10,033	1,173	586	129	90	−52·1	+755·3	+100·2	+354·3	+43·3	+235·2
4 *Dujana State*	5											
5 Gurgaon	1,463	1,316	1,169	816	236	133	+11·2	+12·6	+43·3	+245·8	+77·4	+111·8
6 *Pataudi State*	3		9			7		−100·0			−100·0	−57·1
7 Karnal	1,469	3,382	920	1,179	120	85	−56·6	+267·6	−22·0	+882·5	+41·2	+1,628·2
8 Jullundur	4,323	4,088	2,404	1,713	1,645	1,631	+5·7	+70·0	+40·3	+4·1	+·9	+165·1
9 *Kapurthala State*	983	1,100	107	39	8	35	−10·6	+928·0	+174·4	+387·5	−77·1	+2,708·6
10 Ludhiana	2,477	1,613	888	947	372	322	+53·6	+81·6	−6·2	+154·6	+15·5	+669·3
11 *Maler Kotla State*	135	37	14	12	15	3	+264·9	+164·3	+16·7	−20·0	+400·0	+4,400·0
12 Ferozepore	7,070	5,365	3,342	1,908	1,738	1,686	+31·8	+60·5	+75·2	+9·8	+3·1	+319·3
13 *Faridkot State*	167	107	6	11	13		+56·1	+1,683·3	−45·5	−15·4		
14 *Patiala State*	1,449	1,395	739	316	105	39	+3·9	+88·8	+133·9	+201·0	+169·2	+3,615·4
15 *Jind State*	210	637	187	80	7	3	−67·0	+240·6	+133·8	+1,042·9	+133·3	+6,900·0
16 *Nabha State*	66	41	5	7	10	18	+61·0	+720·0	−28·6	−30·0	−44·4	+266·7
17 Lahore	57,097	46,454	21,781	7,296	5,483	4,644	+22·9	+113·3	+198·5	+33·1	+18·1	+1,129·5
18 Amritsar	16,619	12,773	4,763	2,078	1,609	869	+30·1	+168·2	+129·2	+29·1	+85·2	+1,812·4
19 Gujranwala	49,364	27,308	16,215	2,748	2,353	194	+80·8	+68·4	+490·1	+16·8	+1,112·9	+25,345·4
20 Sheikhupura	49,266	23,431					+110·3					
II.—Himalayan	*2,586*	*4,471*	*4,400*	*3,415*	*3,571*	*3,840*	*−42·2*	*+1·6*	*+28·8*	*−4·4*	*−7·0*	*−32·7*
21 *Sirmoor State*	52	44	37	46	25	21	+18·2	+18·9	−19·6	+84·0	+19·0	+147·6
22 Simla	1,540	3,823	3,666	2,798	3,078	3,353	−59·7	+4·3	+31·0	−9·1	−8·2	−54·1
23 *Simla Hill States*	176	164	213	113	45	47	+7·3	−23·0	+88·5	+151·1	−4·3	+274·5
24 *Bilaspur State*	6	4	11	1			+50·0	−63·6	+1,000·0			
25 Kangra	576	363	386	385	343	327	+58·7	−6·0	+·3	+12·2	+4·9	+76·1
26 *Mandi State*	141	10	4	3	12	12	+1,310·0	+150·0	+33·3	−75·0		+1,075·0
27 *Suket State*	1		2		3			−100·0		−100·0		
28 *Chamba State*	94	63	81	70	65	80	+49·2	−22·2	+15·7	+7·7	−18·8	+17·5
III.—Sub-Himalayan	*132,500*	*117,172*	*92,524*	*29,930*	*26,867*	*10,363*	*+13·1*	*+26·6*	*+209·1*	*+11·4*	*+159·3*	*+1,178·6*
29 Ambala	7,141	5,679	7,483	4,362	5,204	3,773	+25·7	−24·1	+71·5	−16·2	+37·9	+89·3
30 *Kalsia State*	22	4	31		3	1	+450·0	−87·1		−100·0	+200·0	+2,100·0
31 Hoshiarpur	3,764	3,745	2,978	813	120	98	+0·5	+25·8	+266·3	+577·5	+22·4	+3,740·8
32 Gurdaspur	43,243	32,832	23,365	4,471	2,400	463	+31·7	+40·5	+422·6	+86·3	+418·4	+9,239·7
33 Sialkot	66,365	62,266	48,620	11,939	11,668	1,535	+6·6	+28·1	+307·2	+2·3	+660·1	+4,223·5
34 Gujrat	3,097	2,373	570	460	114	255	+30·5	+316·3	+23·9	+303·5	−55·3	+1,114·5
35 Jhelum	672	430	450	271	253	416	+56·3	−4·4	+66·1	+7·1	−39·2	+61·5
36 Rawalpindi	7,486	9,286	8,320	7,614	7,105	3,822	−19·4	+11·6	+9·3	+7·2	+85·9	+95·9
37 Attock	710	557	707				+27·5	−21·2				
IV.—North-West Dry Area	*86,186*	*71,192*	*44,365*	*11,143*	*2,249*	*2,122*	*+21·1*	*+60·5*	*+298·1*	*+395·5*	*+6·0*	*+3,961·5*
38 Montgomery	17,245	10,408	581	66	85	93	+65·7	+1,691·4	+780·3	−22·4	−8·6	+18,443·0
39 Shahpur	11,294	11,270	8,616	91	80	29	+0·2	+30·8	+9,368·1	+13·8	+175·9	+38,844·8
40 Mianwali	380	369	168	44			+3·0	+119·6	+281·8			
41 Lyallpur	45,518	42,004	32,023	8,672			+8·4	+31·2	+269·3			
42 Jhang	494	449	201	38	37	11	+10·0	+123·4	+428·9	+2·7	+236·4	+4,390·9
43 Multan	9,924	6,006	2,441	1,964	1,892	1,861	+65·2	+146·0	+24·3	+3·8	+1·7	+433·3
44 *Bahawalpur State*	1,054	283	199	83	11	13	+272·4	+42·2	+139·8	+654·5	−15·4	+8,007·7
45 Muzaffargarh	246	356	60	33	27	33	−30·9	+493·3	+81·8	+22·2	−18·2	+645·5
46 Dera Ghazi Khan	31	47	76	152	117	82	−34·0	−38·2	−50·0	+29·9	+42·7	−62·2

NOTE.—Sheikhupura figures for 1881, 1891, 1901 and 1911 are included in those of Gujranwala, Lyallpur and Sialkot Districts.
Attock figures of 1881, 1891 and 1901 are included in Jhelum and Rawalpindi Districts.
Mianwali and Lyallpur figures of 1881 and 1891 are not available.

SUBSIDIARY TABLE IV

Religions of urban and rural population

Natural Division	Number per 10,000 of urban population who are Hindu	Ad Dharmi	Sikh	Jain	Buddhist	Zoroastrian	Muslim	Christian	Number per 10,000 of rural population who are Hindu	Ad Dharmi	Sikh	Jain	Buddhist	Zoroastrian	Muslim	Christian
1	2	3	4	5	6	7	8	9	10	11	12	13	14	15	16	17
PUNJAB	3,764	55	726	72		1	5,191	190	2,918	160	1,523	7	3		5,247	141
Indo-Gangetic Plain West	3,797	70	791	87		1	5,097	157	3,445	172	2,467	15			3,747	153
II.—Himalayan	7,451		266	8			1,987	287	9,388	121	41	1	43		399	5
III.—Sub-Himalayan	3,224	27	734	89		1	5,578	347	2,117	204	1,216	2			6,273	188
IV.—North West Dry Area	3,891	42	541	11		2	5,391	121	1,032	112	686				8,053	117

CHAPTER XII

RACE, TRIBE AND CASTE.

246. General. 247 Classification of Castes. 248. Option to return any caste. 249 Castes of females. 250 Origin of the caste system. 251 Present numerical strength of castes and tribes. 252. Important castes. 253. Variation in caste figures during last decade. 254. Aggarwal. 255. Ahir. 256. Arain. 257 Arora. 258. Awan. 259. Bagaria. 260 Bawaria. 261. Baloch. 262. Brahman. 263. Chamars including Ramdasias and Hindu Mochis. 264. Chhimba. 265. Chuhra. 266 [illegible] 267 Dagi and Koli. 268. Dhiman Brahman. 269. Dumna. 270. Faqir 271. Ghirath. 272. Ghosi. 273. Gujar. 274 Harni. 275. Jat. 276. Hindu Sikh border. 277 Sikh Jat. 278. Muslim Jat. 279. Proportion of workers among Jats. 280. Jhinwar. 281. Julaha. 282 Kahar. 283. Kamboh. 284. Kashmiri. 285. Khatri. 286. Kumhar. 287. Lohar. 288. Machhi. 289. Mahtam. 290 Mali. 291. Megh. 292. Meo. 293. Mirasi. 294. Mochi. 295. Musalli. 296. Nai. 297 Od. 298. Pakhiwara. 299. Pathan. 300 Qassab. 301. Rajput. 302. Ramdasia. 303. Saini. 304 Sansi. 305. Sarera. 306 Sayad. 307. Sheikh. 308. Sunar. 309. Tank Kshatriya. 310 Tarkhan. 311 Teli. 312. No Caste entry. 313. Representation of castes in services. 314. Strength and distribution. 315. Comparison with the past returns.

Reference to Statistics. The statistics relating to Race, Tribe and Caste will be found in five Imperial and two Provincial Tables. The chief of these is Table XVII, which shows by sex and religion the number in each of the 58 selected castes for each district and state of the Province, the other tables being as mentioned below.

Table XI gives the occupation of selected castes, tribes or races for four main divisions of the Punjab separately, namely, the eastern Punjab, central Punjab hills, central Punjab plains and western Punjab.

Table XIV gives the literacy by selected castes, for the same local divisions as Imperial Table XI. The table distinguishes Hindus, Muslims and Sikhs, etc., in each caste in which there are many representatives of each religion.

Table VIII gives the data, for certain selected castes, of civil condition by age groups and religion.

Table XVIII gives the comparative strength of each of the selected castes for each census since 1881 together with the intercensal variation.

Table XIX gives the age-grouping of European and allied races and Anglo-Indians. Provincial Tables VIII A and XIV-A give, respectively, the strength and statistics for literacy by castes of certain sects, viz., Vedic Dharm, Dev Samaj and Brahmo Samaj.

Proportional figures are given in the Subsidiary Tables described below :—

Subsidiary Table I gives, for selected castes classified according to their traditional occupations, the strength (in thousands) and proportion per mille of the population of the Province.

Subsidiary Table II gives the comparative absolute strength (in thousands) of the selected castes at each of the last six censuses with percentage variation at each census. This table is based on Imperial Table XVIII.

General. 246. The instructions to enumerators in respect of the entry about caste, tribe and race were :—

> (Column 8—Caste)—For Hindus, Muslims, Jains, Sikhs, Aryas, Brahmos and aboriginal tribes enter the caste or tribe, but for wide castes enter sub-castes also. The class titles, Brahman, Kshatriya, Vaishya and Sudra, are usually insufficient by themselves. For Christians, Parsis and foreigners enter race as Anglo-Indian, Canadian, Goanese, Turkish. For Indians, such as some Christians, who have neither caste nor tribe, enter Indian.

These instructions were amplified by the following provisions in the Code :—

> (Column 8). The caste should be entered in case of Hindus, and in the case of Jains and Sikhs if stated, e.g., Brahman, Khatri, Arora, Jat, Rajput, etc. No Sikh should be pressed to name the caste to which he belongs if he does not wish to do so. In such cases the word "Sikh" should be entered in this column. In the case of Muslims the tribe should be noted thus— Sayad, Pathan, Baloch, Jat, Rajput, etc. The nationality should be noted in case of Christians, Parsis, etc., e.g., British, French, Portuguese, Goanese, Punjabi, Bengali, etc.

There is indeed a great variety of castes, tribes and races in this Province though not quite on the same scale as in some other provinces. These figures have always been tabulated at past censuses subject to certain limitations. For instance the castes returned by Indian Christians were never tabulated, though if tabulated they would have explained some of the variations met with from census to census, among the castes of other religions. On the present occasion after the recording of castes had been completed orders were received to cut down certain Tables, and in the case of castes and tribes to dispense with the sorting and tabulation of those more or less unimportant. The castes or tribes that have now been tabulated fall under the following categories :—

(a) All the castes or tribes, whose numerical strength was at least four *per mille* of the 1921 population.

(b) The four criminal tribes, *viz.*, Sansi, Bawaria, Harni and Pakhiwara.

(c) Castes which could be called depressed.

(d) Such non Hinduized primitive tribes as did not fall under categories (a) to (c).

(e) Others of an all India importance.

The castes included in category (e) either under instructions from or with the approval of the Census Commissioner for India were Darzi, Meo, Tank Kshatriya and Dhiman Brahman. Of the two last named castes Dhiman

Brahman was returned for the first time by Lohars and Tarkhans and Tank Kshatriya by Darzis, Dhobis, etc Meo is a tribe of Gurgaon District, and its figures were sorted in order to ascertain the results of the uplift work done during the last decade The figures have also been compiled for Brahmanic Hindus who refused to return any caste

The list of the selected castes belonging to each category is given below —

(a)
1 Aggarwal
2 Ahir
3 Arain
4 Arora
5 Awan
6 Biloch
7 Brahman
8 Chamar
9 Chhimba
10 Chuhra
11 Dagi and Koli
12 Dhobi
13 Faqir
14 Ghirath
15 Gujjar
16 Jat
17 Jhiwar
18 Julaha
19 Kamboh (Kamboj)
20 Kashmiri
21 Khatri
22 Kumhar
23 Lohar
24 Machhi
25 Mali
26 Mirasi
27 Mochi
28 Mussalli
29 Nai
30 Pathan
31 Qasab
32 Rajput { Kanet, Rajput, Rathi
33 Saini
34 Sayad
35 Sheikh
36 Sunar
37 Tarkhan
38 Teli

(b) 39 Bawaria 40 Harni 41 Pakhiwara 42 Sansi

*(c) 43 Bagaria 44 Dumna 45 Ghosi 46 Kahar 47 Mahtam. 48 Megh. 49 Od 50 Ramdasi 51 Sarera

(d) Nil

(e) 52 Darzi 53 Meo 54 Tank Kshatriya 55 Dhiman Brahman 56 Caste Nil (among Brahmanic Hindus)

Classification of Castes

247 The reduction in the number of castes, however, did not reduce the usual worries connected with their classification, as all the slips with doubtful entries had to be carefully examined before they could be included in or excluded from the selected castes A passage which sums up this class of difficulties is quoted below from the Census Report of 1891, and time has by no means brought about any mitigation of the difficulties

> "No one who has not gone into it himself has any idea of the extraordinary difficulty attending the whole subject The caste and sub-caste are of course returned correctly in a vast majority of cases, but this still leaves room for an immense number of vagaries, which causes the whole difficulty of tabulation Not only is the sub-caste returned in place of the caste, but the sub caste may be returned without any indication of a caste, or the name returned as a caste may be the name of an occupation, or caste names may appear both as caste and sub caste or no caste or sub-caste at all may be returned or in fact every kind of confusion must be expected. And the orders on the classification must, as a rule, be given without delay, a reference to the original schedules or an enquiry from the local authorities being a luxury in which one can only occasionally indulge without greatly impeding the work The individual undergoing enumeration often mis pronounces his caste-name, the enumerator often mis spells it, even when properly pronounced the abstractor may transcribe the enumerator's spelling after a fashion of his own, and the clerk who prepares the caste list may have further improved on the abstractor All this is however, of course inevitable it must be accepted as part of the risks in a large enterprise like this And yet there are pitfalls not a few, as will be seen plenty of times in this chapter A Bedi for instance (with a soft d) is a man of a saintly family, while a Bedi (with a hard d) is a thing of naught, whom we have to class with the Kanjars"

The Nature and Evolution of the Institution of Caste.

This is not all There are numerous difficulties arising from other important factors In the 1881 Report, paragraph 340, page 176, Sir Denzil Ibbetson remarked —

> "Thus we see that in India, as in all countries, society is arranged in strata which are based upon differences of social or political importance or of occupation But here the classification is hereditary rather than individual to the persons included under it, and an artificial standard is added which is peculiar to caste and which must be conformed with on pain of loss of position, while the rules which forbid social intercourse between castes of different rank render it infinitely difficult to rise in the scale So too the classification being hereditary, it is next to impossible for the individual himself to rise it is the tribe or section of the tribe that alone can improve its position and this it can do only after the lapse of several generations, during which time it must abandon a lower for a higher occupation, conform more strictly with the arbitrary rules affect social exclusiveness or special sanctity or separate itself after some similar fashion from the body of the caste to which it belongs The whole theory of society is that occupation and caste are hereditary, and the presumption that caste passes unchanged to the descendants is exceedingly strong But the presumption is one which can be

---

*It goes without saying that some of the depressed classes fall in category (a) all the castes included under this head are of course not untouchable but merely socially or educationally backward The castes eventually treated as depressed in the sense of being untouchable are discussed in Appendix III at the end of this Report, and besides many Hindu castes include all Ad Dharmis Their figures appear in Appendix I to Chapter XI in addition to being illustrated by the Social Map

> defeated, and has already been and is now in process of being defeated in numberless instances. As in all other countries and among all other nations, the graduations of the social scale are fixed but society is not solid but liquid, and portions of it are continually rising and sinking and changing their position as measured by that scale; and the only real difference between Indian society and that of other countries in this respect is, that the liquid is much more viscous, the friction and inertia to be overcome infinitely greater, and the movement therefore far slower and more difficult in the former than in the latter. This friction and inertia are largely due to the set of artificial rules which have been grafted on to the social prejudices common to all communities by the peculiar form which caste has taken in the Brahminical teachings. But there is every sign that these rules are gradually relaxing. Sikhism did much to weaken them in the centre of the Punjab, while they can now hardly be said to exist on the purely Mohammadan frontier and I think that we shall see still more rapid changes under the influences which our rule has brought to bear upon the society of the Province. Our disregard for inherited distinctions has already done something, and the introduction of railways will do much more, to loosen the bonds of caste. It is extraordinary how constantly in reporting customs, my correspondents note that the custom or restriction is fast dying out. The liberty enjoyed by the people of the Western Punjab is extending to their neighbours in the east, and especially the old tribal customs are gradually fading away. There cannot be the slightest doubt that in a few generations the materials for a study of caste as an institution will be infinitely less complete than they are even now.

The social evolution predicted in the above passage was noticed again and the future anticipated in the 1911 Report in the following remarks on page 409 —

> The modern classes like Khalsa and Arya which are being substituted for the old castes will probably in course of time become as rigid as any others. The revolt against caste is due mainly to the inconvenience of restrictions of inter-marriage and inter-dining. The effect of the modern tendency will, therefore, probably be a complete disappearance of restrictions of both kinds, while the name of the caste or tribe may be retained in the case of higher castes as a traditional distinction, the lower castes grouping themselves in large democratic classes of uniform status. But how long this process will take is very difficult to predict. My general conclusion is that there has been little change in this Province during the past thirty years with reference to the basis of caste distinctions, but that the restrictions have become very lax, the rules are being disregarded with impunity in respect of inter-marriage and inter-dining, the traditional occupations are being given up owing to the functional revolution which is in progress, and a general re-action has set in whereby members of lower or menial castes are trying to rise to the level of the higher ones, either by connecting themselves with a forefather belonging to one of those castes, or by discovering a new origin for their tribe or caste.

The remarks in the above quotation about inter marriage apply to a very limited number of cases, while inter-dining has become more widespread. The tendency among lower classes to rise in the social scale is obviously on the increase and in towns particularly it is quite easy for a low caste person to claim a higher caste without any fear of detection.

Castes and Social Precedence.

In 1911 an attempt was made to tabulate the Indian castes on a basis of social precedence. This attempt could not be expected to succeed in view of the fact that nearly all castes consider themselves to be most exclusive and high-born. It however had the effect of producing a competition among certain castes, in a particular stage of social evolution, to have their claims to some actual or mythical origin recognised by census authorities. The nature of these claims made at the censuses of 1911 and 1921 is discussed in the Census Reports of those years on pages 303 and 342 respectively. Many claims were advanced on the present occasion and the more important of them are noticed here. The Punjab Rajah Central Committee represented that Nai was not a caste but a mere occupational term, and on behalf of Nais professing Muslim, Hindu and Sikh religions asked for permission to return their caste as Brahman, Rajput or Jat. A representation was received from an association of Hindu Lohars and Tarkhans, who wanted to return their caste as Dhiman Brahman. The occupational castes, Darzi (tailor), Chhipi (calico-printer), Chhimba (washerman) too put in a claim for being recorded as Tank Kshatriya. An association of Mirasis, known as the Jamiat-ul Quraish of the Punjab and the North-West Frontier Province, claimed that Mirasis were in reality Qureshis and should be returned as such. A strong protest was entered by the Nadwat-ul-Quraish, a committee representing the Qureshis with headquarters at Amritsar, stating that Mirasis were a low class and should not be permitted to return themselves as Qureshi. Thus on the present occasion more than ever before a tendency was noticeable in many localities, particularly among occupational castes, to return a higher caste. One of the main reasons was a desire to be included in one of the agricultural tribes, such as Jat or Rajput and thus to secure exemption from the provisions of the Punjab Alienation of Land Act.

Option to Return any Caste

248. A real change in instructions made at this census with regard to the entry about caste was the option given to each individual to return whatever caste he pleased. Formerly the instructions to enumerators required that if a person of lower caste wanted to return a higher caste his claim should be rejected and only the caste to which he was supposed to belong should be recorded. The option given on the present occasion however was supplemented by the instruction that the traditional caste should in all cases be recorded in brackets after the caste claimed. The object in securing the figures of traditional castes was two-fold namely to ascertain how many people were anxious to claim a higher caste and to facilitate comparison with the past figures. The instruction issued was as follows —

"If any person returns a caste other than his traditional caste it should be recorded in column 8 of the general schedule with the traditional caste being added within brackets such as Brahman (Nai) Dhiman Brahman (Carpenter), Tank Kshatriya (Tailor) Moghal (Carpenter) and Awan (Nilgar)."

In order to utilize the return of dual castes the following instructions were issued during the tabulation of caste returns to the sorting and compilation staff —

TABLE XVII

"All the doubtful entries should be classified by the Deputy Superintendents as required by paragraph 52 of the Census Code. In the case of dual castes the entry should be made in the Sorter's Tickets on the following specimen —

Sunar	500
Sunar (*Rajput*)	400
Sunar (*Khatri*)	300
	1,200

The figures are to be shown under the original caste and not under the higher caste claimed at the time of the census."

It will be seen that as a result of these instructions the entries within brackets though also tabulated separately were included in the traditional caste and not in the caste claimed. This procedure helped to classify the returns correctly up to a limit, but there was no help for cases in which certain persons mainly those belonging to occupational castes had successfully withheld the traditional caste with the result that only the caste claimed was recorded. This happened on an extensive scale in urban areas where the immigrants, particularly the well-to-do and prosperous are little known so far as their castes and antecedents are concerned even to their next door neighbours. At the same time a tendency was noticeable for persons of low castes well placed in life, to return no caste and there had been a propaganda in this connection particularly by the *Jat Pat Torak Mandal* (an association designed to do away with the caste system). The instructions issued by me were that 'no caste return' should be recorded in cases in which the person enumerated had a genuine objection to the caste entry having ceased to observe caste in his marital and inter-dining relations. All these circumstances have combined to bring about a decrease in the number of certain occupational or lower castes which we shall notice later on. The number of persons, who claimed a higher caste but were included in the figures of traditional caste, appears in Appendix II at the end of this Chapter. Appendix I shows the details of the occupational castes included in total figures of Tank Kshatriyas and Dhiman Brahmans. Wherever the numerical strength of an important caste has increased at a rate in excess of the general rise in population we can safely assume that it is due mainly to accretions from a lower caste the persons concerned having succeeded in returning the higher caste without the addition of the traditional caste. As time goes on such efforts multiply but it is certainly worth while to study them

Aggarwal

254 The Aggarwals among Hindus number 352,999 and among Jains 24,341 The former have increased by 27,808 or by 9 per cent, while the latter have decreased by 1,508 or by 5 8 per cent, due partly to interchange and partly to Jains omitting in many cases to return a caste The line that divides the Hindu and Jain Aggarwals is extremely vague even vaguer than that which divides Jainism from Hinduism The classification of Aggarwals was full of pitfalls as many had only returned their sub-castes, such as Mittal, while some returned their caste as Bania, which is not a caste but merely an occupational term Among Hindu Aggarwals those engaged in the traditional occupation of trade show a decrease partly explained by an increase among Hindu Aggarwal lawyers and doctors, etc Jain Aggarwals show an increase in the traditional occupations as well as in learned professions

Ahir

255 The Ahirs have shown an all-round and quite legitimate increase, their present strength being 221,933 An unusual feature is met with in the figures for Ambala, where the proportion of females in a total of 1 598 is only 509 Such disparity was also noticeable in 1921 when there were 501 females per 1,000 males Ahir men come out to the Ambala Cantonment for labour and usually do not bring their women folk with them Muslim Ahirs are found only in Shahpur District Hindu Ahirs show an increase in the total population and among field and unclassed labourers, there being a specially large number of workers among them They show a decrease in all other occupations, notably in Public Force due most probably to demobilization, and among those engaged in cattle-breeding The latter circumstance seems to show that Ahirs are giving up cattle-breeding, believed to have been at one time their principal occupation.

Arain.

256 There is a decrease among Hindu Arains, who are very few They are found only in Patiala and Karnal District The increase among Muslim Arains, from 1,088,697 in 1921 to 1,330,057 in 1931, or by 22 per cent, is large and general, the principal increase being 26,036 persons or 20 9 per cent in the Jullundur District (more among women than among men), a circumstance which points to emigration of Arain males to colony areas In Montgomery and Multan Muslim Arains have increased during the last decade from 60,724 to 95,226 and from 43,826 to 67 340, or by 56 8 and 53 7 per cent, respectively, mainly due to the recent colonization of the Nili Bar According to Table XI an increase of 33,980 workers (27,584 males and 5,396 females) or 11 5 per cent is found among Arains in the traditional occupation of agriculture The other prominent increases are as follows —

198 3 per cent among field labourers, who now number 18 459,

68 8 per cent among those engaged in arts and professions, who now number 3,744,

28 5 per cent among those engaged in trade, and

43 8 per cent among owners of means of transport (presumably bullock cart owners)

The Arains can thus rightly claim to be a very enterprising class

Arora.

257 The Hindu Aroras have increased during the last decade by 11 2 per cent and now number 661,268 The increase among males is 33,363 or 10 4 per cent and among females 33,420 or 12 2 per cent This increase does not represent the actual rise in the Arora population as Hindu Aroras are often claimed by Sikhism, and they sometimes omit to return their caste or return it as Arya

The Hindu Aroras have decreased in Gurdaspur Amritsar Jhelum, Attock, Muzaffargarh and Dera Ghazi Khan. In the two last named districts the decline is most probably due to emigration to the Nili Bar as evidenced by the fact that males have decreased by 5 4 and 8·4 per cent. and females by only 1·8 and 5 6 per cent. respectively The biggest percentage increases are shown by Lyallpur (34 1) and Multan (18 7) an indication of the great attractiveness of canal colonies for Aroras. There is an increase in the case of males among workers engaged in the traditional occupation of trade while there is a decrease among females for reasons explained in Chapter VIII paragraph 145 Other notable increases are among those engaged in arts and professions and Public Administration as well as among those who live on their income There is a decrease among cultivators of all kinds, artisans, and officers of the Army The Hindu Aroras engaged in commercial occupations have increased, as many artisans and cultivators among them have gone over to Sikhism or omitted to return the caste, the object in both cases being to get rid of a caste which is not considered very elevated

The Sikh Aroras have decreased during the last decade from 121 096 to 114,320 the decrease being more noticeable among females. The decline is positively due to the return of no caste. For the same reason there is a decrease under most of the occupations.

The Muslim Aroras are only 88 in number as against 230 in 1921 They are known as Khojas or Sheikhs, and so there is nothing surprising about their decrease.

Awan.

258 There is a big increase among Awans, a purely Muslim tribe from 440 130 to 539,249 or 22 5 per cent The figures for Shahpur Jhelum, Rawalpindi Attock and Mianwali, where the tribe is most numerous, are given in the margin for the last six censuses. Other notable increases are of 3 889 or 84 8 per cent. in Lyallpur of 3,293 or 140 per cent. in Montgomery and of 5 705 or 170·2 per cent in Multan. In the figure of increase for Lyallpur females are in the majority a fact which points to permanent settlement of Awans in this old colony

District	1881	1891	1901	1911	1921	1931
1	2	3	4	5	6	7
Jullundur	9,420	10,791	12,250	10,696	11,306	15,710
Sialkot	10,733	22,020	24,309	10,740	20 412	22,027
Shahpur	48,485	52,402	55,267	65,005	73,041	81,339
Jhelum	92,836	97,583	93,5[illegible]	51,536	49,193	61,321
Rawalpindi	154,824	129,012	140,033	38,951	40,030	46,027
Attock	Not Available			165,031	183 791	204,203
Mianwali	Not Available		22,417	20,425	19,091	27 467

According to Table XI the main increase is to be found among persons whose traditional occupation is agriculture there being 10 530 more male and 6,810 more female workers than in 1921 There is a decrease of 1 061 in Public Force The loss under this head due to demobilization might have been much larger but it appears to have been partly made up by the increase in Police Service etc. There is an increase of 1 663 under Liberal Arts and a decrease of 314 under Public Administration. The proportion of literates *per mille* is 28 as compared to 20 in 1921 Awan is a leading and influential caste in the north west of the Province and gains by accretions from other castes, particularly occupational.

259 The Bagaria has been shown as a separate caste since 1911 It is returned chiefly from Ferozepore (8,467), Bahawalpur (5,971) and Hissar (4,061), the total number in the Province amounting to 32,527 Bagarias are immigrants from Bagar or the country lying to the south of Loharu, Hissar and Ferozepore, and are chiefly labourers engaged in earth-work on canals or buildings **Bagaria.**

260 Of the 32,527 Bawarias, enumerated in the Punjab at this census, practically all are either Hindus or Sikhs, the number being almost equally divided between the two communities At last census there were 26,000 Hindu Bawarias and only 9,000 Sikh Bawarias There is a decrease among Bawarias which is particularly noticeable in Ludhiana and Ferozepore, mainly due to the fact that at this census Bawarias have in large numbers returned themselves as Sikhs without stating their caste This view is corroborated by occupational figures (in Table XI) which show a decrease among cultivators, field-labourers and cattle-breeders, public force (village *chaukidars* mostly), learned professions and those living on their income, as only the well-to-do among Bawarias would care to return no caste **Bawaria.**

• 261 The Biloches have increased from 531,381 to 624,695 or by 17 6 per cent The figures for the districts and states having the largest number together with the percentage increase are given in the margin The increase among the Biloches is usually greater than the total increase among Muslims The increase in Dera Ghazi Khan and Muzaffargarh, the home districts of the tribe, is much higher than in the total population of these districts and may be due partly to a claim of Biloch status by some members of certain other tribes The Biloch is a most respectable tribe in Dera Ghazi Khan, but is anything but respectable in Karnal while in all the other districts most of the Muslim camel-drivers, whatever their original caste may be, are almost invariably designated as Biloch **Biloch**

DISTRICT OR STATE	Total strength in 1931	Variation per cent 1921—1931
1	2	3
Dera Ghazi Khan	223,592	11 1
Muzaffargarh	121,300	11 9
Bahawalpur	87,768	20 4
Multan	43,068	40 8
Montgomery	32,095	48 3
Lyallpur	26,070	35·0
Jhang	24,498	20 3
Shahpur	19,241	18 3
Mianwali	18,245	16 6

Turning to the occupations we find that there is an increase of [illegible] male and 1,566 female workers in the traditional occupation of camel-driving There is also an increase of 5,434 or 5 2 per cent in agriculturists of all kinds and of 2,898 or 39 per cent among breeders of animals Artisans [illegible] of 1,056 or 20 2 per cent, trade of 421 or 48 9 per cent [illegible] in Public Administration of 29 or 181 3 per cent and Arts and Professions of 688 or 68 3 per cent Very few Biloch women [illegible] is 45 female workers per 1,000 male workers as compared to 165 per 1,000 in the total workers of the Province according to Table X

Hissar and Karnal, though considerable numbers are also found in Gurgaon, Hoshiarpur Sialkot and Ferozepore Their figures for this and the last census

District or State.	HINDU JAT. 1921	1931.	Variation per cent.	District or State.	HINDU JAT. 1921.	1931	Variation per cent.
1	2	3	4	1	2	3	4
PUNJAB	*1,033,375*	*952,307*	−6·0	Montgomery	1,903	2,342	+23·0
British Territory	*834,231*	*772,446*	−7·4	Lyallpur	5,209	2,098	−59·7
Hissar	172,739	185,960	+7·6	Jhang	67	35	−47·8
Rohtak	238,313	242,366	+1·7	Multan	449	874	+94·7
Gurgaon	65,316	71,285	+9·2	Muzaffargarh	136	174	+27·9
Karnal	102,874	98,880	−3·9	D. G. Khan	10	7	−30·0
Ambala	34,307	20,515	−40·2	*Punjab States*	*199,237*	*179,763*	−9·7
Simla	209	107	−48·8	Dujana	2,878	3,176	+10·4
Kangra	9,821	9,450	−3·7	Pataudi	1,453	1,524	+4·9
Hoshiarpur	53,007	41,049	−22·1	Kalsia	3,480	3,161	−9·2
Jullundur	25,909	12,734	−50·8	Simla Hill States	863	840	−2·7
Ludhiana	11,045	3,657	−66·9	Loharu	10,083	10,673	+6·1
Ferozepore	22,243	16,495	−25·1	Sirmoor	354	244	−31·1
Lahore	4,179	3,402	−18·6	Bilaspur	1,377	1,370	−0·5
Amritsar	1,680	1,717	+2·2	Mandi	308	371	+20·5
Gurdaspur	9,244	3,909	−57·7	Suket	176	273	+55·1
Sialkot	33,673	23,948	−28·7	Kapurthala	1,439	1,148	−20·1
Gujranwala	8,629	5,156	−40·2	Maler Kotla	6,135	375	−93·9
Sheikhupura	2,290	857	−62·6	Faridkot	901	378	−58·2
Gujrat	2,443	2,299	−5·9	Chamba	225	180	−20·0
Shahpur	2,390	1,430	−40·0	Patiala	85,573	77,943	−8·9
Jhelum	148	193	+30·6	Jind	53,237	57,504	+8·0
Rawalpindi	1,161	174	−85·0	Nabha	16,556	13,213	−20·2
Attock	162	104	−35·8	Bahawalpur	4,176	17,418	+317·1
Mianwali	482	34	−92·9				

are here given for the Province and for each district and state Only in Rohtak Hissar and Karnal and in the neighbouring States of Jind, Loharu, Pataudi and Dujana has there been an increase among Hindu Jats. There are minor increases in Montgomery and Multan, mainly due to colonization of Hindu Jats who have recently come over from Hissar and Rohtak Districts. The rise among Hindu Jats is nowhere very large and in the three districts where they predominate it is proportionate to the small increase in the total population of the south-eastern part of the Province Moreover among Jats of this part of the Province there are no accretions from other castes.

Hindu-Sikh Border.

276 The figures for Hindu and Sikh Jats of certain districts and states are quoted below —

JAT (HINDU SIKH).

istrict or State.	1881. Hindu.	Sikh.	1891 Hindu.	Sikh	1901. Hindu.	Sikh.	1911. Hindu.	Sikh.	1921. Hindu.	Sikh.	1931. Hindu.	Sikh.
1	2	3	4	5	6		8	9	10	11	12	13
tal Province	*1,475,376*	*1,222,673*	*1,679,177*	*1,316,417*	*1,617,871*	*1,359,577*	*1,090,035*	*1,617,832*	*1,036,236*	*1,823,331*	*952,307*	*2,132,151*
oshiarpur	66,387	20,448	Detail by Religion not available		92,129	34,843	80,109	39,142	53,077	63,815	41,060	64,203
ullundur	87,28	38,672			63,512	66,824	41,720	103,041	25,909	130,827	12,734	161,286
urdaspur	29,047	44,079			34,265	69,374	30,843	74,309	9,244	86,909	3,909	109,212
mritsar	16,843	131,107			10,101	179,673	..019	185,690	1,680	182,097	1,717	204,731
ahore	4,301	79,763			4,221	101,629	3,946	95,211	4,179	104,832	3,402	122,571
heikhupura	23,373	16, 19			22,181	27,979			2,290	32,809	857	41,813
ujranwala							30,186	47,633	8,629	23,433	5,156	33,330
ialkot	69	26,067			63,222	35,497	33,694	30,473	33,673	80,330	23,948	63,639
erozepore	23,7	136,134			29,257	178,071	18,333	181,415	22,243	215,404	16,495	231,333
udhiana	93,010	102,447			70,998	131,963	13,199	143,723	11,045	167,987	3,657	211,842
mbala	111,849	47,279			70,049	37,222	37,074	37,356	34,307	57,076	20,515	71,927
atial	171,102	253,601			98,654	234,77	73,444	323,960	85,573	348,911	77,943	362,573
aridkot	37	33,453			42,945	2,341	591	43,677	901	43,233	378	54,059
r Kotla	90	23,139			17,074	8,433	6,309	13,724	6,135	17,022	375	7,776

In these districts Hindu Jats were an important section of the population in the past but are no longer so being superseded by Sikh Jats. The transition from Hinduism to Sikhism in Lahore Amritsar and Ferozepore obviously took place more than fifty years ago and these district had a considerable element of Sikh Jats even in 1881 The almost complete disappearance of Hindu Jats in Ludhiana and Gurdaspur has occurred during the last fifty years, while in Maler Kotla and Faridkot the figures of Hindu and Sikh Jats fluctuated violently between 1881 and 1901 and during the last thirty years Hindu Jats have almost entirely disappeared owing to conversion to Sikhism The moral is obvious enough and the extent of change from Hinduism to Sikhism is to be gauged from the amount of Sikh influence in each locality This transition seems by no means to have come to an end, and the Hindu Jat is, I think, likely to be completely replaced by the Sikh Jat except in the south-east of the Province

Sikh-Jat

277 For the reasons explained in the Chapter on Religion the number of Sikhs in the Province had, for a considerable period following the British occupation, been on the decline The strength of Sikh Jats who are the backbone of the community, had also been reduced accordingly Sikhism has, however, regained its strength with the lapse of time and its process of absorption continues The total increase among Sikh Jats can be gauged from the table in the preceding paragraph, which shows that during the last fifty years Hindu Jats have decreased by nearly half a million while Sikh Jats have risen by more than a million In the central Punjab particularly in Hoshiarpur and Jullundur Districts several reasons can be assigned for the conversion of Hindu Jats to Sikhism The foremost of these is the intensive campaign of religious preaching (*parchar*) carried on by the Akalis during the last decade At the time of the census considerable propaganda was carried on by the Akalis, who went round the villages of Hindu Jats and induced them to return themselves as Sikhs My inquiries show that the propaganda was successful in many villages Very few of the Hindu Jats of the two Districts mentioned above are in the Army, and it is considered easy by a Jat to get himself enrolled as a soldier if he offers himself as Sikh Jat For this reason also the tendency to go over to Sikhism has gained ground Numerous Khalsa schools have been established in rural areas during the last decade, and the children of Hindu Jats, who form a small minority in these schools, do not feel very happy and so in many cases their parents give them *pahol* and convert them to Sikhism It may be said here that a Hindu Jat of the *Doab* districts has no scruples whatever in converting his children to Sikhism while he himself remains a Hindu Another circumstance worth mentioning is that Sikh Jats during the last decade, mainly owing to the Akali movement, have developed a prejudice against giving their daughters in marriage to Hindu Jats, formerly inter-marriages between Hindu and Sikh Jats were of common occurrence This has also served as an incentive for many Hindu Jats to adopt Sikhism The figures for some other districts given in the margin will, I think, be of considerable interest in this connection, though the increase is not in all cases due to conversion from Hinduism The number of Sikh Jats in districts, such as Rohtak, Gurgaon, Simla, Jhelum, Rawalpindi, Attock, Mianwali, Jhang, Muzaffargarh and Dera Ghazi Khan, is very small indeed, and most of the Sikhs enumerated there are Khatris Aroras or artisans.

JAT (SIKH)

District or State	1881	1891	1901	1911	1921	1931
1	2	3	4	5	6	7
Hissar	2,067	Not available	24,171	26,125	31,601	33,623
Karnal	6,212		7,553	6,094	7,052	8,082
Jind	4,174		23,394	18,205	20,665	22,197
Nabha	51,656		60,553	56,427	58,947	66,897
Kalsia	3,895		4,280	3,905	4,904	4,992
Shahpur	646		86	7,005	6,900	6,867
Lyallpur				77,554	89,642	98,852
Montgomery	934		3,904	4,182	13,151	19,819
Multan	447		2,272	2,706	6,542	16,463
Bahawalpur	575		3,258	4,831	9,322	13,476

Muslim Jat.

278. The Muslim Jats are the most numerous of all the Jats, numbering 2,941 395 (1 604 028 males and 1,336,707 females). The total figures and variations since 1881 are compared below with those of Hindu and Sikh Jats. The figures are given for the Province, British Territory and its administrative divisions, and Punjab States.

JAT.

Locality	1881	1891	1901	1911	1921	1931	Net Variation, 1881—1931
1	2	3	4	5	6	7	8
PUNJAB	4,11[illegible]	4,270,978	4 [illegible],472	4,904,14[illegible]	5,462,956	6,0[illegible],303	+47 3
Hindu	1 443,374	1,670,539	1,330,674	1,007 73[illegible]	1,033,373	982,3[illegible]	−31 3
Sikh	1,122,984	1 118,804	1,2[illegible],470	1,618,867	1,[illegible],45[illegible]	2,134,5[illegible]	+90·1
Muslim	1,544,340	1,578,833	1,038,41[illegible]	2,277 [illegible]	[illegible],84,12[illegible]	2,941,393	+90 4
British Territory	*3,[illegible],667*	*3,[illegible],214*	*3,[illegible],[illegible]*	*[illegible]*	*4 411,[illegible]*	*[illegible]*	*+[illegible]*
Hindu	1,122,617	1,221,910	1,161,974	813,08[illegible]	834,12[illegible]	772,84[illegible]	−31·2
Sikh	728,917	850,234	968,4[illegible]	1,127,0[illegible]	1,282,378	1,[illegible],0[illegible]	+111 7
Muslim	1,394,133	1,244,030	1,737 473	2,057,[illegible]	2,294,[illegible]	2,538,7[illegible]	+82 1
AMBALA DIVISION	766,176	783,491	780 7[illegible]	699,49[illegible]	732,811	781,803	+2 1
Hindu	661,[illegible]	Detail	696,077	[illegible]	624,[illegible]	640,101	−3 3
Sikh	78,034	not	69,[illegible]	84,73[illegible]	96,364	117 164	+[illegible],1
Muslim	26,239	available.	23,472	20,[illegible]	21,74[illegible]	24,340	−7·2
JULLUNDUR DIVISION	729,[illegible]	834,[illegible]	831,070	740,781	801,672	890,[illegible]	+20 6
Hindu	302,967	Detail	302,07[illegible]	148,[illegible]	123,367	[illegible],672	−72·4
Sikh	324,[illegible]	not	428,[illegible]	503,207	578,[illegible]	692,40[illegible]	+113 3
Muslim	102,246	available	101,374	[illegible]	97 75[illegible]	104,314	+2·0
LAHORE DIVISION	902,[illegible]	903,724	1,0[illegible]	[illegible]	1,074,931	1,204,[illegible]	+33 3
Hindu	151 734	Detail	137,[illegible]	63,434	[illegible]	38,650	−74 5
Sikh	318,[illegible]	not	402,727	441,75[illegible]	4[illegible]	572,715	+79 0
Muslim	431,201	available.	4[illegible],460	434,[illegible]	[illegible],777	[illegible] 723	+28 9
RAWALPINDI DIVISION	[illegible],177	2[illegible]	516,648	561,[illegible]	601,173	673,[illegible]	+91·9
Hindu	5,341	Detail	3,1[illegible]	4 179	6,73[illegible]	4,2[illegible]	−20 6
Sikh	2,422	not	2,[illegible]	10 46[illegible]	10,90[illegible]	11,261	+364·9
Muslim	344 414	available	510,030	547,215	583,507	[illegible]	+91 7
MULTAN DIVISION	463,836	490,978	703,[illegible]	1,004,905	1 172,[illegible]	1,306,[illegible]	+181·6
Hindu	1,692	Detail	20,24[illegible]	6,171	7,9[illegible]	5,[illegible]	+233·4
Sikh	1,931	not	66,[illegible]	84,[illegible]	106,7[illegible]	143,4[illegible]	+7 434 1
Muslim	460 [illegible]	available	616,137	915,[illegible]	1,060 787	1,1[illegible]	+151 1
Punjab States	*5[illegible]*	*[illegible]*	*1,0[illegible]*	*[illegible]*	*1,051,[illegible]*	*1,3[illegible]*	*+[illegible]*
Hindu	321,757	437,62[illegible]	377,[illegible]	194,671	221,331	210,7[illegible]	−31 7
Sikh	3[illegible],067	1[illegible]	4[illegible]	491,841	541,078	501,[illegible]	+80 4
Muslim	150 4[illegible]	3[illegible]	21[illegible]	218,843	2[illegible]	4[illegible]	+167 7

The increase per cent. during the last fifty years among Muslim and Sikh Jats is almost equal while among Hindu Jats there has been a decrease of about 400 000 or 31·2 per cent. in British Territory The home of Muslim Jats is the Western Punjab while in the Ambala Division their number is very small and it has slightly decreased during the last decade. In the Jullundur Division the smaller increase is attributable to emigration to the colonies. The increase in the other Divisions is enormous, particularly in the Rawalpindi and Multan Divisions. For variations among the figures of Muslim Jats, which are due considerably to inclusion of other castes, the paragraph on Rajputs may be referred to.

Proportion of workers among Jats.

279 Coming to the changes in the occupations followed by Jats we find that among Hindus there are now 3 777 more male and 101 706 more female workers as compared to 1021 This is indeed remarkable The proportion of femal workers per 1 000 males was 132 in 1921 and is 423 now as compared to 41 and 54 respectively among Sikh Jats. Absolute figures of workers among Hindu Sikh and Muslim Jats for the two censuses are noted in the margin. The total figures of Muslim and Sikh Jats show an increase in all occupations (see Table XI of 1931 and XXI of 10[illegible]1) The Jats receive

Jats (workers [illegible] plus working dependents)		1931	1921
1		2	3
Hindu	Males	345,179	3 [illegible]
	Females	147 [illegible]	45,719
Sikh	Males	739 191	633,791
	Females	40,292	26,114
Muslim	Males	914,347	781,096
	Females	53,733	33,180

accretions from other castes and tribes, but as only the selected castes were sorted the sources of absorption are not known According to Appendix II at the end of this Chapter 18,373 persons belonging to some of the selected castes have returned themselves as Jats In their case traditional castes were also recorded, and it was therefore possible to classify them

Jhiwar.

280 The figures of Jhiwars and Kahars in the case of Hindus are best studied together Kahars are tabulated separately for the first time on the present occasion, the figures of the two being lumped together in Table XVIII From the marginal figures it will be seen that Hindu Jhiwars and Kahars have been on the decrease since 1901, mainly due to a certain number of them returning a higher caste, such as Mehra, Mehra Rajput At this census 11,520 Hindu Jhiwars have returned other castes, chiefly Rajput The instructions were that the traditional caste should also be recorded by the enumerator within brackets after the caste claimed, and Jhiwars claiming Rajput status have been included among Jhiwars There might be more who returned no caste or returned a higher caste without revealing the traditional caste For the castes claimed by Jhiwars a reference may be made to Appendix II

Hindu 1	1881 2	1891 3	1901 4	1911 5	1921 6	1931 7
Jhiwars and Kahars	258,507	275,252	281,591	213,212	215,210	196,673

As regards Muslim Jhiwars, their figures should be studied along with Muslim Kahars and Machhis, with whom they often get intermingled The total figures are given in the margin for the six censuses along with separate details for each class Among Muslims this class has steadily risen except during 1901-11 The Machhis have gained at the expense of Jhiwars, but very few seem to have claimed a higher caste

Muslim 1	1881 2	1891 3	1901 4	1911 5	1921 6	1931 7
Jhiwar, Kahar and Machhi	282 153	328,282	350,007	308,805	367,676	425,751
Jhiwar and Kahar	114,279	133,261	114,285	69,103	86 720	110,960
Machhi	167,874	195,021	235,722	239,702	280,956	314,791

Julaha.

281 The Hindu and Sikh Julahas have decreased during the last decade from 58,575 and 5,632 to 53,488 and 5,449, respectively The decrease may be due to the return of no caste or a caste under a different name such as Koli The variations since 1881 are given in the margin, the figures for Muslim Julahas being also quoted Muslim Julahas have shown a considerable increase throughout except at the census of 1911 when the total population also showed a decline Among Muslims 151,321 or 78 1 per cent of workers, among Hindus 6,252 or 13 9 per cent, and among Sikhs 299 or 37 6 per cent are engaged in the traditional occupation of weaving Among Hindus the percentage is smallest and the desire to discard caste proportionately greater The number of literates in the three communities is 19, 14 and 70 *per mille* of the population aged 7 years and over, respectively At this census 16,511 Julahas claimed some other castes, mainly Rajput

Caste and Locality	*Variation since* 1881 (*from Table XVIII*)				
	1891	1901	1911	1921	1931
1	2	3	4	5	6
Total A. B C D	27,202	31,399	—24,840	16,443	28,840
Hindu A B C	6,424	—1,087	3,099	874	—5,440
Sikh C	—531	3,338	—167	—810	—632
Muslim A B C D	20,367	28,691	—26,021	13,347	33,175

Kahar.

282 See paragraph dealing with Jhiwars

Kamboh.

283 The total number of Hindu, Sikh and Muslim Kambohs is given in the margin for the six censuses. The interchange between the Hindu and Sikh Kambohs and the consequent large increase among the latter are at once noticeable, while Muslim Kambohs have also largely increased. The caste being particularly industrious and of good standing in many localities shows a tendency to expand. Muslim Kambohs show a decrease in Gujrat and Sialkot. In the former district they have mostly returned themselves as Arains, while in the latter the decrease is due to many Kambohs having left the district on being allotted colony land in Sheikhupura. The most remarkable feature about Kambohs, indicated by the marginal table, is their great expansion in colony districts as compared with their home districts. The figures are typical of the migration of large tribes from one area to another in recent times, a practice which seems according to tradition to have been fairly common in a remote past.

Particulars.	1881.	1891.	1901	1911.	1921.	1931.
1	2	3	4	5	6	7
Total	*123,463*	*130,646*	*173,780*	*171,436*	*186,470*	*238,388*
Hindu	32,044	38,222	48,156	32,073	33,606	37,408
Sikh	27 497	34,148	41,283	67,813	64,194	96,737
Muslim	44,834	42,014	77,333	65,885	78,629	96,703

KAMBOHS

District	1901	1911.	1921	1931.
1	2	3	4	5
Karnal	12,979	12,480	12,873	13,801
Ambala	8,278	7,610	7 436	8,379
Jullundur	6,317	6,133	5,629	6,340
Lahore	22,846	22,118	23,226	30,679
Sheikhupura			10,945	13,029
Shahpur	937	1,290	1,307	1,689
Montgomery	22,004	27,297	32,489	42,382
Lyallpur		17,900	20,941	30,012
Multan	1,947	1,301	3,222	5,037

Kashmiri.

284 The Kashmiri has always been tabulated as a caste though it is really a nationality. The instructions were that Kashmiri was not really the name of a caste but if a person could give no other caste he should be recorded as Kashmiri. Kashmiri Hindus are as a rule Brahmans. In the census tables Kashmiri has always appeared as a separate caste, almost all the persons returned as such being Muslims. Kashmiris are found spread over the central Punjab fairly evenly. The figures in the margin show their total strength in the Province for the last six censuses. The increase since 1921 amounts to 33 per cent which is mainly due to the fact that at this census which was held in the end of February about three weeks earlier than in 1921 all the periodic migrants from Kashmir who usually return home in March were still in this Province.

Caste.	1881.	1891	1901.	1911.	1921.	1931.
1	2	3	4	5	6	7
Kashmiri Muslims	149,625	160,833	168,806	174,812	166,340	190,040

The occupational distribution of 1,000 Kashmiri workers in 1921 and 1931 is given below

Particulars		Weaving	Exploitation of animals and vegetation.	Industry	Transport	Trade.	Public Force	Public Administration.	Arts and Professions.	Domestic service.	Labourers unspecified.	Others.
1		2	3	4	5	6	7	8	9	10	11	12
Proportion per 1,000 workers	1931	236	144	171	48	128	27	21	31	41	102	36
	1921	283	162	165	62	85	12	14	17	29	61	28

About one-fourth of the Kashmiri workers are weavers, one-fifth are engaged in other industries and a little less in cultivation, one-eighth being traders and one-tenth unspecified labourers.

Khatri.

285 The Khatri is one of the most important Hindu castes, and like Brahmans, Rajputs and Gujjars very few of its adherents are going over to Sikhism. There may be some Khatris who on conversion to the Sikh faith refrain from returning caste, but such cases must be rare as Khatris never think poorly of their caste and have no objection to returning it The figures of Hindu and Sikh Khatris are given in the margin for the last six censuses Hindu Khatris have shown a large increase at every census except in 1911 when they decreased like the total population Sikh Khatris in any considerable numbers are found only in the central and northern Punjab The map in the margin shows the proportion *per mille* of Khatris in the total population of each district or state They show a particularly large intercensal percentage of increase in areas, where colonization has been in progress during the last decade or where their number is inconsiderable Such areas are noted below —

Religion and Locality	*Actual Population of Khatris*					
	1881	1891	1901	1911	1921	1931
1	2	3	4	5	6	7
Hindu A B C D	363,096	372,236	370,042	335,980	390,253	460,861
Variation per cent		5 4	1 8	−11 4	10 2	18 1
Sikh C D	36,076	49,130	53,676	86,454	61,234	53,996
Variation per cent		36 2	9 3	61 1	−29 2	−11 8

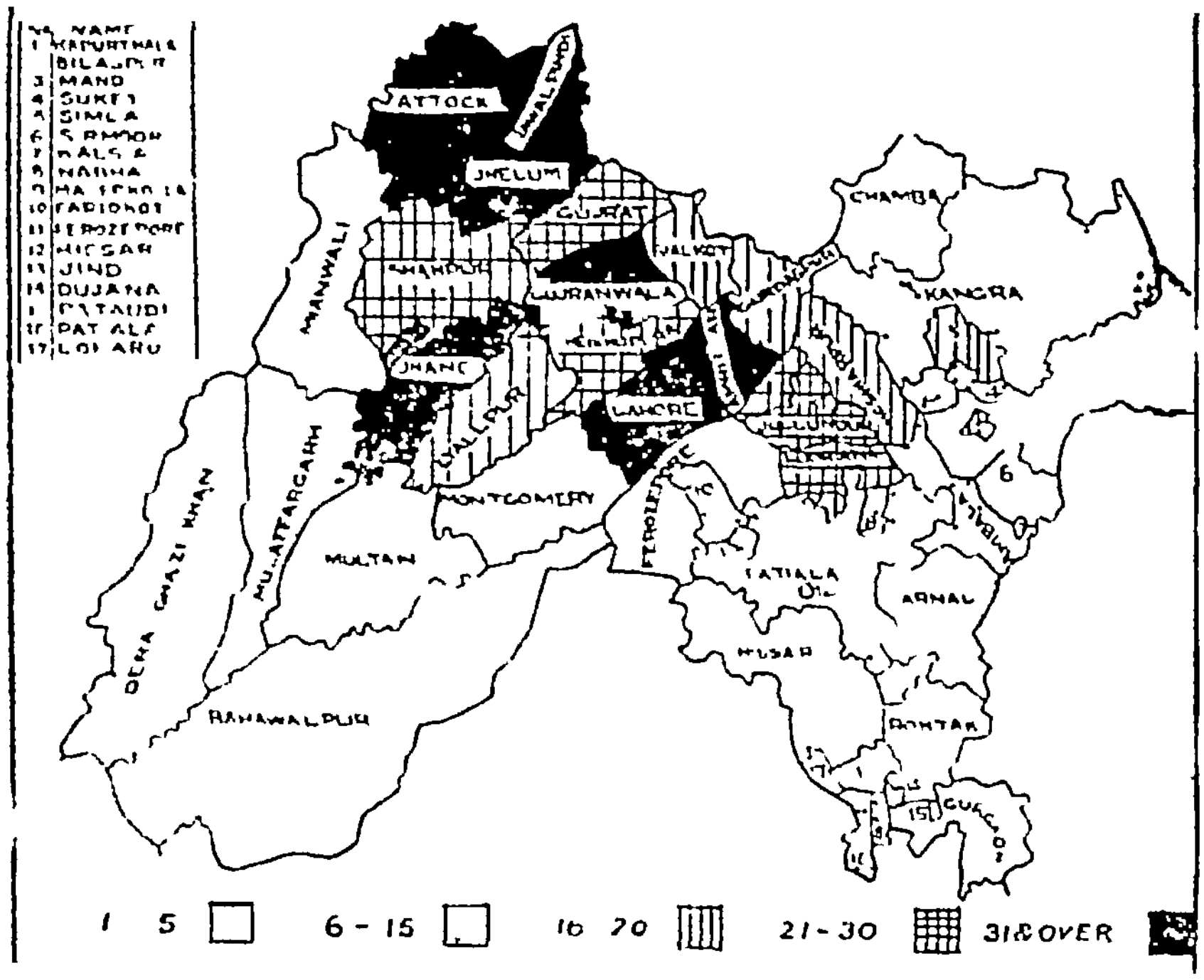
No. NAME
1 KAPURTHALA
2 BILASPUR
3 MANDI
4 SUKET
5 SIMLA
6 SIRMOOR
7 MALERKOTLA
8 NABHA
9 PATIALA
10 FARIDKOT
11 FEROZEPORE
12 HISSAR
13 JIND
14 DUJANA
15 PATAUDI
16 PATIALA
17 LOHARU
ATTOCK
RAWALPINDI
JHELUM
GUJRAT
SIALKOT
CHAMBA
KANGRA
SHAHPUR
MIANWALI
GUJRANWALA
SHEIKHUPURA
JHANG
AMRITSAR
LAHORE
LUDHIANA
FEROZEPORE
HOSHIARPUR
6
DERA GHAZI KHAN
MUZAFFARGARH
MONTGOMERY
MULTAN
LYALLPUR
FEROZEPORE
PATIALA
KARNAL
AMBALA
HISSAR
ROHTAK
BAHAWALPUR
GURGAON
1 - 5
6 - 15
16 - 20
21 - 30
31 & OVER

Khatris per mille *of population, 1931*

Area	Percentage increase	Area	Percentage increase	Area	Percentage increase	Area	Percentage increase
1	2	1	2	1	2	1	2
Bahawalpur	131 8	Montgomery	50 0	Lyallpur	32 1	*Nabha*	18 2
Suket	70 1	Amritsar	30 6	Ferozepore	28 5	*Jind*	17 6
Sheikhupura	60 2	Gurgaon	30 2	Hissar	27 9	Lahore	16 9
Multan	54·0	Jhang	34·0	Gujranwala	26 6	*Kapurthala*	16 5
						Rohtak	15 5

Kumbhar.

286 The Kumhar is a large occupational caste being mainly Muslim Their figures for the three communities are given in the margin A slight interchange between the Hindu and Sikh Kumhars is apparent enough while Muslims show a uniform increase The increase among Sikhs at the expense of Hindus is noticeable from the marginal figures, relating to Ludhiana, Gurdaspur, Amritsar, Sialkot, Sheikhupura and the

RELIGION 1	1881 2	1891 3	1901 4	1911 5	1921 6	1931 7
Hindu	164,024	177,401	184,623	157,532	165,879	150,913
Sikh	10,701	12,560	15,022	23,435	24,438	31,238
Muslim	288,131	323,242	359,418	358,208	383 952	423,430

District	*Hindu Kumhar*		*Sikh Kumhar*	
	1921	1931	1921	1931
Ludhiana	2,218	1,681	756	1,440
Gurdaspur	7,665	7,508	583	1,539
Amritsar	2,705	1,463	5,424	7,146
Sheikhupura	183	406	4	93
Sialkot	9,097	8,678	467	1,224
Multan Division	3,795	2,743	911	2,121

districts of the Multan Division. The reverse however seems to be the case in Hoshiarpur District where during the last decade Hindu Kumhars have increased from 3 43 to 5 079 and Sikh Kumhars have come down from 080 to 338 It is quite possible that the decrease among the latter is due to some of them having abstained from returning their caste The Muslim Kumhars have increased in all districts except in Sialkot and Ferozepore where Kumhars of all religions show a decrease evidently due to menials, especially Kumhars and Tarkhans taking to agriculture Among Kumhars 13·2 per cent of Hindu workers, 8 2 per cent of the Sikh and 16 5 per cent of the Muslim are engaged in the traditional occupation of pottery while 0 4 7 4 and 3·2 per cent respectively are cultivators.

Lohar.

287 The figures of Lohars and Tarkhans had better be studied together The total provincial figures for the six censuses are given in the margin by religion. Hindu Lohars have not shown an increase like other castes and may therefore be said to have been really decreasing all along while Sikh Lohars too have been decreasing though only since 1911 The Hindu Tarkhans, who are much more numerous than Lohars, have been decreasing considerably since 1901 while Sikh Tarkhans, who showed an increase till 1911 have been decreasing since The large increase among Sikh Tarkhans while it lasted was obviously at the expense of Hindus. The decrease in their number since 1911 is due to the discarding of the term Tarkhan and more recently to the adoption of Ramgarhia as their caste The Hindu Lohars and Tarkhans in Kangra Hoshiarpur and Ambala have returned themselves as Dhiman Brahmans and in the south-east they have claimed to be Jangida Brahman. In the central districts Hindu Lohars and Tarkhans as well as their Sikh counterpart have returned their caste as Ramgarhia in increasing numbers at this census.

Caste, Religion and Locality		1881	1891	1901	1911	1921	1931
1		2	3	4	5	6	7
LOHAR	Total A.B C D	[illegible]	[illegible]	[illegible]	[illegible]	[illegible]	[illegible]
	Hindu A.B.C	101 190	110,225	110,816	82,204	83,284	74,403
	Sikh A C	24,361	23,287	30 453	34 002	40,023	16,400
	Muslim A.C D	164,96	189,0	204,377	201,522	217 430	41,576
TARKHAN	Total A.B.C.D	544,335	621 1	675,262	637,9 1	614,972	644,843
	Hindu A.B C.	12,070	218,861	231,934	162,303	161,822	146,727
	Sikh A.C.D.	113,067	131 109	148,904	180,417	139,227	148,446
	Muslim A.C.D	236,446	270 101	292,_43	294,077	312,123	348,850

The Muslim Lohars and Tarkhans have never looked back. The two castes taken together show an increase of 46 6 per cent since 1881 as compared to 51 _ per cent which is the figure for the rise in total Muslim population. This disparity is mainly due to the fact that some Muslim Lohars and Tarkhans too return as their caste an agricultural tribe such as Awan or Rajput. In towns an educated Lohar or Tarkhan particularly when he holds a job in the public service would invariably abstain from returning his traditional caste

Among Tarkhans and Lohars 41 per cent of Hindu, 50 per cent of Sikh and 60 per cent of Muslim workers follow the traditional occupations as against 58 61 and 72 per cent in 1921 respectively It appears that among Hindus and Sikhs a comparatively large proportion of Lohars and Tarkhans has given up the traditional occupations and the percentages quoted for them would have been even smaller but for the fact that when traditional occupation is given up the return of caste is in many cases also given up

Machhi

288 See paragraph dealing with Jhiwar

Mahtam

289 The figures of Mahtams illustrate with great clarity the social evolution of tribes The figures are reproduced in the margin for the Province from Table XVIII and for each district from Table XVII and the corresponding tables of the past censuses Mahtams for the most part have within the last few generations regained Rajput status, from which according to Sir Denzil Ibbetson they had originally fallen That all sections of Mahtams—Hindu, Sikh or Muslim—were endeavouring to attain their lost status and that practically half of the Hindu and Sikh Mahtams have succeeded in so doing, so far as the census is concerned, is borne out by the figures which show a big decrease during the last decade At this census nearly 2,000 of them returned their caste as Rajput, but as their traditional caste was also recorded, they were not included among Rajputs

District Religion and caste 1		1881 2	1891 3	1901 4	1911 5	1921 6	1931 7
Punjab Mahtam	H	32,539	26,482	48,567	17,512	19,162	14,244
	S	8,047	17,536	19,176	50,056	63,322	36,347
	M	9,727	12,964	14,976	14,237	11,841	13,413
Ferozepore Mahtam	H	4,842	10,685	10,067	2,772	5,404	351
	S	29		2,326	10,202	10,849	11,102
	M	1,083		1,335	775	1,208	768
Lahore Mahtam	H	3,276	8,438	3,279	161	1,258	792
	S	2,516		2,184	6,471	5,334	7,025
	M	3,759		4,422	3,929	3,287	3,376
Montgomery Mahtam	H	9,271	14,061	6,793	278	529	2
	S	3,466		4,628	17,537	35,279	6,977
	M	410		757	732	594	671
Multan Mahtam	H	1,365	3,802	1,869	1,737	966	1,253
	S	44			273	682	1,100
	M	2,784		3,256	3,097	3,224	6,860
Muzaffargarh Mahtam	H.	2,680	3,994	4,139	5,021	4,925	4,687
	S	30			73		
	M	233		348	256	225	526
D G Khan Mahtam	H	822	2,024	1,281	1,199	1,094	1,344
	S					117	
	M			1,981	1,690	219	33
Hoshiarpur Mahtam	H	226	3	6,500			4,097
	S	4		3,013			3,311
	M			14	4		10
Rajput	H.	52,644	104,268	49,055	49,927	55,734	59,153
	S	2,536		223	1,087	2,944	926
	M	46,183		44,260	40,652	40,863	49,440
Jullundur Mahtam	H.	2,368	182	765			920
	S	783		1,326			935
	M	163		161	140	10	
Rajput	H	2,995	45,697	5,767	3,834	6,066	6,085
	S	2,610		2,014	3,137	4,542	7,049
	M	38,181		42,452	37,718	30,325	48,154

Mali

290 The Mali and Saini are in reality one and the same tribe, the former being considered inferior The recent variations in the strength of these two castes have been discussed in the last Chapter (paragraph 218), a reference to which will show an increasing tendency among Malis to return themselves as Sainis

Megh

291 The Meghs are an inferior caste, being more akin to Chuhra than to any other caste with this difference that their traditional occupation is weaving and not scavenging The home of Meghs is Gujrat, Sialkot and Gurdaspur The figures for these districts are given in the margin for the last six censuses They show a decrease in Sialkot, while in the case of the other two districts, the caste has practically disappeared at this census My enquiries show that in Gujrat Meghs have adopted Vedic Dharm and returned their caste as Arya instead of Megh, while in Gurdaspur they have returned themselves as Sikh or Ad-Dharmi without stating their caste

District	MEGH					
	1881	1891	1901	1911	1921	1931
1	2	3	4	5	6	7
Gurdaspur	6,373	6,818	6,501	6,360	6,130	803
Sialkot	28,705	32,405	34,198	30,483	21,163	20,923
Gujrat	1,373	1,438	1,640	1,019	1,028	

Meo.

292 The Meo is an agricultural tribe, confined almost entirely to the Gurgaon District. The number of Meos in Ferozepore has increased during the last decade from 127 to 3,253 owing to their presence as labourers on the Sutlej Valley Project (in the Ferozepore Tahsil) and in the Abohar and Fazilka *mandis*

The Meos are a backward tribe and agriculture is their traditional occupation. During the last decade their percentage of literacy has gone up from 6 to 9 mainly as a result of the uplift work among them. The occupational distribution of 10 000 Meos according to the last three censuses is given below

Occupational distribution of 10,000 Meo earners for the last three censuses.

Year.	Traditional occupation (agriculture)	Exploitation of animals and vegetation	Exploitation of Minerals	Industries.	Transport.	Trade.	Public Force.	Public Administration.	Arts and Professions.	Persons living on their income.	Domestic service.	Contractors, clerks, cashiers, &c.	Labourers unspecified.	Beggars, &c.
1	2	3	4	5	6	7	8	9	10	11	12	13	14	15
1911	9,182	429	39	168	83	28	7	11	23		18	1	28	13
1921	9,695	83	4	72	28	81	22	14	14	1	11	4	10	11
1931	8,729	969		45	66	77	12	34	37	4	15	1	2	11

Mirasi.

293. The figures of Mirasis, who are almost entirely Muslim, are given in the margin for the last six censuses. There is a decrease among Hindu Mirasis of Karnal Ambala and Kangra probably due to return of some other caste-name such as Bhat. There is a decrease from 9 033 in 1931 to 1 113 in 1931 among Hindu Mirasis of Sialkot due to most of them having adopted Vedic Dharm and returned their caste as Arya More recently in certain districts there has been a tendency among Muslim Mirasis to claim Qureshi as their caste but as they are mostly found in villages, the Patwaris who carried out the preliminary enumeration were able to record the traditional caste Only 1 441 Mirasis claimed dual castes as shown in Appendix II Jat being the favourite caste claimed, the next best being Pathan and Sheikh

Caste.	1881.	1891	1901.	1911.	1921.	1931.
1	2	3	4	5	6	7
Muslim Mirasi	191,283	217,622	220,174	221,602	223,164	241,060

Mochi.

294 The Hindu Mochis have been grouped with Chamars. They are shoemakers of the eastern districts, who have settled mostly in the urban areas of the central Punjab the largest numbers being found in Lahore District with a preponderance of males

The Muslim Mochis have increased during the last decade everywhere except in the Ambala Division, where they are not at all numerous, the only considerable number being returned from Hissar The strength of the Muslim Mochis in the central and western Punjab is shown in the margin for the last six censuses. The figures show a steady increase fairly commensurate with the general rise in total population.

Particulars.	1881.	1891	1901	1911	1921	1931
1	2	3	4	5	6	7
Muslim Mochis	333,424	379 102	405,728	408,843	424,702	461 416
Percentage increase	—	13 6	7 0	·2	4 4	8 5

The proportion of Muslim Mochis engaged in the traditional occupation of shoe-making is 692 *per mille* of the total workers and that of Hindu Mochis 615.

Mussalli.

295 Like Muslim Mochis Mussallis are only found in the central and western Punjab There is hardly any Mussalli in the Ambala Division and not a single one in the Punjab States except Bahawalpur During the last decade Mussallis have increased from 361,098 to 412,300 or by 14 2 per cent The percentage of rise is particularly large in colony districts, to which Mussallis migrate in lagre numbers mainly to become agricultural labourers and workers in factories The figures for colony districts are given in the margin In villages Mussallis are mostly engaged either in their traditional occupation of sweeping or in field labour But in urban areas besides their traditional occupation they take to a large variety of jobs and are found working as weavers, cooks, water-carriers, fireworks-makers, dyers, bandsmen, etc This would show that a chuhra on conversion to Islam takes to odd jobs, denied to a Hindu chuhra The figures below give the present occupational distribution of Mussallis

MUSSALLIS

District or State.	1921	1931	Variation percent age	Percentage increase among total Muslim
1	2	3	4	5
Gujranwala	16,833	19,001	18 2	17 6
Sheikhupura	9,066	16,062	77 2	34 8
Gujrat	40 403	48,465	20·0	10 9
Shahpur	56,402	63,773	13 1	14 0
Lyallpur	31,362	37,069	18 2	21 2
Bahawalpur	13,742	27,230	98 2	23 5

Occupational distribution of 10,000 Mussalli earners of both sexes for 1931

Sex.	(Sweeping) Traditional occupation.	Exploitation of animals and vegetation	Exploitation of Minerals	Industries	Transport	Trade	Public Force	Public administration	Arts and Professions	Persons living on their income	Domestic service	Contractors, Clerks, Cashiers, etc., otherwise unspecified	Labourers unspecified	Beggars, Prostitutes, criminals and inmates of jails and asylums
1	2	3	4	5	6	7	8	9	10	11	12	13	14	15
Male	2,993	3,029	34	592	205	82	13	40	62	7	215	5	972	216
Female	486	132	2	48	6	5			5	3	24	1	135	68

It is apparent that only a small number is engaged in the traditional occupation of sweeping, the proportion of women workers also being small (144 *per mille* of male workers as against 262 *per mille* among Chuhras) Most of the Mussallis are engaged in agriculture or are labourers unspecified, who are mainly agricultural

Nai

296 The Hindu Nais in the Province number 102,628 as against 107,655 at last census As already remarked at an early stage in this chapter some Hindu Nais were anxious to be classed as Kulin Brahmans, but were not permitted to return this caste as Kulin Brahman is a high caste of Brahmans in Bengal As many as 8,770 have, however, returned their caste as Nai Brahman, and 4,380 (including both Muslims and Hindus) as Rajput A number of Nais have adopted Vedic Dharm or Sikhism, probably with a view to get rid of their caste The figures below are illustrative

Caste	1911	1921	1931
Vedic Dharm Nai		411	966
Total Hindu Nai	108 600	107,655	102,628
Sikh Nai	34,342	34,360	41,820
	1881	1891	1901
Hindu Nai	127 481	181,273	143 257
Sikh Nai	21 459	25 317	25 058

District	*Hindu Nai* 1921	*Hindu Nai* 1931	*Sikh Nai* 1921	*Sikh Nai* 1931
Ferozepore	2,898	2 105	4,317	5,009
Ludhiana	3 559	2 239	3,182	5 012
Hoshiarpur	7 626	7,700	465	748
Lahore	1 044	812	3 776	4,104
Amritsar	2 062	1 050	5,566	5,984
Lyallpur	1 077	[illegible]	[illegible]	[illegible]

The Muslim Nais are found all over the Province, the only parts where they are not numerous being the Himalayas and the south-eastern tracts. They have shown an increase at all censuses except in 1911 when the total population decreased. The figures of the last six censuses for all the districts and states in the plains are given in the margin together with the percentage increase as well as the increase among total Muslims of the same areas. Many Muslim Nais like their Hindu and Sikh brethren seem only in recent times to have developed an aspiration to be called Rajputs. In fact, an association, known as the Punjab Rajah Central Committee and comprising representatives of the Nais of all the three communities, existed at the time of the census with headquarters at Lahore and pressed for permission to return a caste other than Nai. Their contention was that Nai was an occupational term and that Nais of different localities and different religions belonged to various castes, most of them being Brahmans, Rajputs or Jats. It is quite likely that many Nais, specially those engaged in occupations other than traditional were successful in returning some other caste. So the figures do not represent the actual strength of Nais.

PARTICULARS.	1881.	1891.	1901.	1911	1921	1931.
1	2	3	4	5	6	7
Muslim Nais (A.O.D.)	174,584	195,776	206,760	206,100	214,319	[illegible]
Variation		12·1	5·6	—·3	3·9	8·0
Increase among total Muslims (A. O. D.)		9·9	12·6	0·7	5·9	10·6

Od 297 The figures of the Hindu and Muslim Ods of the Punjab plains are given in the margin. The Ods are a nomadic tribe and might be enumerated in one district at one census and in another at the next. They are found mostly in the districts where canals exist, more particularly where canals are under construction, as Ods both male and female are considered very useful labourers for excavation work. They have been returned in considerable numbers from Gujranwala since 1891 Montgomery since 1911 and Karnal since 1921. In Gujranwala their presence dates back to the time of the construction of the Lower Chenab Canal and in Montgomery to that of the Lower Bari Doab Canal. In the canal colonies they also assist in the building of walls for the colonists. As many as 2,480 Ods have returned their caste as Rajput, but have been included among Ods.

CASTE.	1881	1891.	1901.	1911.	1921	1931.
1	2	3	4	5	6	7
Od Hindu	11,840	12,316	17,911	20,378	16,282	19,883
Od Muslim	4,065	10,082	8,174	11,170	10,103	12,041

Pakhiwara. 298. The Pakhiwara is a small criminal tribe mostly Muslim. The variation in its strength in the central Punjab is shown in the margin. Altogether 49 Pakhiwaras returned other castes, 19 returning themselves as Jats and 20 as Rajputs.

Caste and Locality	1881	1891.	1901.	1911	1921	1931.
1	2	3	4	5	6	7
Pakhiwara ( )	2,741	2,874	2,885	3,711	2,801	2,300

Pathan. 299 The Pathans enumerated in the Province number 345 438 as against 261 720 in 1921 which means an increase of 32 per cent. The statement on the next page shows their absolute strength and percentage increase in each district and the Punjab States, the persons with Afghanistan as their birth place having been excluded. The increase per cent. among all Muslims of each locality has also been quoted. The particularly large increases have been registered in Lahore (11 189) Mianwali (10 440) Gurdaspur (6 914) Sialkot (6 031) and Attock (5 832) and part of the increase in Lahore Gurdaspur and

Sialkot is due to the caste Pathan having been claimed by some other castes, notably Kakkezai

District	Number of Pathans in thousands 1931	Increase per cent among Pathans	Total Muslim increase per cent	District	Number of Pathans in thousands 1931	Increase per cent among Pathans	Total Muslim increase per cent
1	2	3	4	1	2	3	4
British Territory	*317*	*+32·3*	*+16 5*	Gujranwala	4	+203 1	+17 6
Hissar	5	+18 6	+17 5	Sheikhupura	3	+115 8	+20 9
Rohtak	9	+24 7	+10 3	Gujrat	4	+74 4	+10 9
Gurgaon	6	+26 1	+11 8	Shahpur	11	+31 9	+14·0
Karnal	8	+20 4	+10 2	Jhelum	4	+78 4	+14 0
Ambala	6	+17 4	+12 2	Rawalpindi	7	−16 3	+11 7
Simla	1	−30 1	−16 4	Attock	48	+13 5	+14 2
Kangra	1	+14 3	+5 8	Mianwali	67	+18 6	+15 6
Hoshiarpur	9	+37 0	+13 4	Montgomery	6	+76 5	+36·0
Jullundur	6	+13 7	+14 4	Lyallpur	8	+13 1	+21 2
Ludhiana	4	+39 7	+22 1	Jhang	2	+42 6	+16 5
Ferozepore	6	+33 7	+6 8	Multan	15	+66 8	+28 9
Lahore	22	+8 6	+26·0	Muzaffargarh	4	+9 9	+4 0
Amritsar	10	+125 7	+23 8	Dera Ghazi Khan	10	+7 1	+5 6
Gurdaspur	19	+58 5	+16 6	*Punjab States*	*33*	*+15 4*	*+16 7*
Sialkot	10	+156 3	+5·0				

Caste	1881	1891	1901	1911	1921	1931
Qasab	92,571	109,435	114,158	117,363	120,820	127,198

300 The Qasabs now number 127,198 They have shown an increase at almost all censuses as will appear from the marginal figures the increase being particularly large in the canal colonies during the last decade The figures of the south-eastern districts, however deserve a closer study The Qasab of the south-east, often designated as *Beopari*, claims to be Sheikh If he returns himself as Sheikh Beopari as he often does, we know his traditional caste is butcher, but there is no help when he returns himself merely as Sheikh The figures of Qasabs and Sheikhs for certain units of the eastern Punjab are given in the margin The large increase in the Sheikhs of Ambala and Rohtak is, no doubt, mainly due to the remarkable decrease among Qasabs In Hissar and Gurgaon the 1921 figures of Qasabs seem to have been exclusive of Beoparis, re-included in 1931 The complete disappearance of several thousands of Qasabs in Patiala State since 1911 is an eloquent testimony in support of this view **Qasab.**

Locality	*Qasab*			*Sheikh*		
	1911	1921	1931	1911	1921	1931
1	2	3	4	5	6	7
Hissar	5,574	4,583	3,164	9,234	9,776	10,465
Rohtak	7,980	8,228	4,829	8,760	13,274	23,149
Gurgaon	13,867	12,521	15,043	10,631	15,093	16,899
Karnal	6,155	5,349	6,274	17,198	18,157	21,346
Ambala	2,476	2,363	544	20,810	22,238	27,886
Ferozepore	2,043	2,735	1,981	10,891	11,387	18,490
Patiala State	4,405	63		17,624	16,360	22,933

Rajput.

101. As already remarked, the caste Rajput is next to Jat, the largest collection of castes or tribes in the Province. It will be well in the first instance to see the proportional distribution of Rajputs in the total population of each district and state, which is indicated by the map in the margin. The Rajputs are most numerous in the Himalayan Natural Division and Rawalpindi District where they form 300 to 500 *per mille* of the total population. The next highest proportion *i.e.* 100 to 150 *per mille* is found in Jhelum, Jhang, Montgomery, Hissar, Karnal and Hoshiarpur. The total strength of Rajputs and allied races such as Kanet, Rathi, Rawat, Thakar, Dhund and Gakkhar are given in the margin for the six censuses, for thus only is a fair comparison possible. The bulk of the Rajput population is Muslim and Hindu and like Khatris very few Hindu Rajputs have gone over to Sikhism. The big increase among Rajputs during the last decade does not appear to be due to natural increase. The respectability of Rajput caste is beyond doubt; the term Rajput literally means a Raja's (ruler) son. On the present occasion more than at any previous census numerous people belonging to various other castes not quite so elevated in the social scale have claimed Rajput status and in many cases succeeded in returning themselves as Rajput without disclosing their traditional caste. The line separating Jats from Rajputs is rather vague in certain localities. For example the Sials of Jhang who had previously been recorded mostly as Jats, have returned themselves at this census as Rajputs. A possible cause of variation in the number of Muslim Rajputs is, therefore, the inclusion or exclusion of certain sections of agricultural tribes. In the case of Hindu Rajputs the variation is partly explained by the decrease among such castes as Sunars and Jhiwars

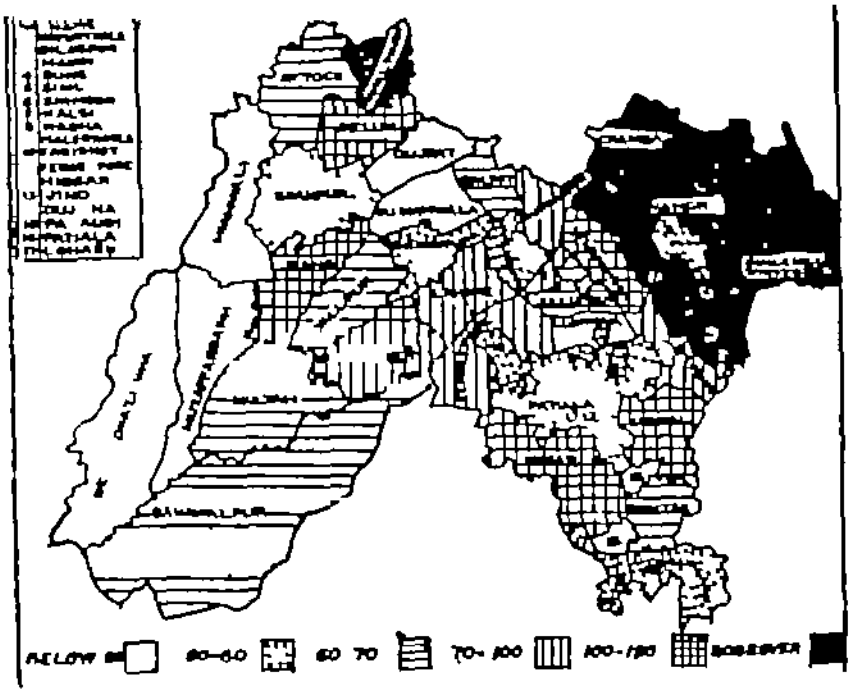

Rajputs and allied Castes per mille of population, 1931.

CASTE	RELIGION	1881	1891	1901	1911	1921	1931
1		2	3	4	5	6	7
Total Rajputs including Dhund and Gakkhar		2,130,781	[illegible]	2,291,684	2,196,863	[illegible]	2,781,560
Variation per cent			+0.6	+0.4	−4.2	+7.2	+18.3
Hindu Rajputs		*811,005	898,611	837,714	870,784	922,013	1,011,[illegible]
Variation per cent			+8.9	−3.2	+2.6	+4.9	+9.6
Sikh Rajputs		18,000	19,826	18,012	27,765	31,929	[illegible]
Variation per cent			+6.2	−4.1	+46.0	+15.0	+59.3
Muslim Rajputs		1,211,774	1,270,134	1,412,501	1,295,928	[illegible]	1,721,204
Variation per cent			+4.2	+3.6	−9.0	+8.0	+23.0

Actual variation among Hindu Rajputs and certain other Hindu castes

District	(1911—1921)			(1921—1931)		
	Rajput and allied castes	Sunar	Jhiwar including Kahar	Rajput and allied castes	Sunar	Jhiwar including Kahar
1	2	3	4	5	6	7
Kangra	−1,085	−46	+302	+13,231	+215	+13
Hoshiarpur	+5,705	−3,052	−289	+2,189	+3,252	−3,603
Jullundur	+2,233	−3,898	−324	−7	+4,256	−2,350
Ludhiana	+191	−543	+97	+918	−238	−3,421
Ferozepore	+266	+180	+2,835	+1,769	−565	−6,322
Lahore	+4,711	+137	+59	+2,365	−186	−3,651
Amritsar	+1,618	−1,089	−2,347	+2,664	+253	−4,053
Gujranwala	−470	−774	−968	+1,256	−251	−1,217
Multan	+2,005	−286	−88	+3,286	+100	+120

District	Absolute increase among Muslim Rajputs	Variation per cent among		District	Absolute increase among Muslim Rajputs	Variation per cent among	
		Muslim Rajputs	Total Muslim population			Muslim Rajputs.	Total Muslim population.
1	2	3	4	1	2	3	4
Jullundur	6,847	16 6	14 4	Gurdaspur	13,231	30 5	16 6
Karnal	6,243	8 7	10 2	Gujrat	11,408	44 9	10 9
Ambala	5,568	12 8	12 2	Sheikhupura	9,504	47 4	20 9
Attock	4,889	15 6	14 2	Sialkot	9,134	19 2	5 0
Ferozepore	4,650	4 7	6 8	Hoshiarpur	8 572	21 0	13 4
Rohtak	3,655	10 8	10 3	Gurgaon	4 307	33 1	11 8
Rawalpindi	36,843	21 0	11 7	Shahpur	4,145	−8 5	14 0
Montgomery	35,487	46 1	36 0	Ludhiana	3,589	14 4	22 1
Lahore	30,252	58 5	26 0	Gujranwala	3 497	50 1	17 6
Lyallpur	29,212	91 4	21 2	Mianwali	657	393 4	15 6
Multan	21,588	46 0	28 9	Muzaffargarh	420	70 7	4·0
Hissar	19,269	20 2	17 5	Kangra	190	20 5	5 8
Amritsar	18,796	59 0	23 8	Simla	−25	−7 8	−16 4
Jhang	15,804	24 3	16 3	Dera Ghazi Khan	−296	−20 6	5 6
Jhelum	15,724	25 2	14 0	*Punjab States*	*6,674*	*4 0*	*16 7*

inclusive of Mehras The figures of certain districts given in the margin furnish some evidence on this point Coming now to the big increase among Muslim Rajputs during the last decade, we should separate the districts in which the intercensal increase has been more or less proportionate to the rise in the total Muslim population and those in which it has been in excess The two sets of figures for each district and Punjab States are given in the table below The percentage increase in the case of the first six districts in the table, *viz*, Jullundur, Karnal Ambala, Attock, Ferozepore and Rohtak requires no explanation being proportionate to the general rise in the population In the case of some of the other districts an explanation is called for, though not so easy to furnish in all cases The rise is small in Simla, Kangra, Muzaffargarh and Mianwali, while there is actual decrease in Dera Ghazi Khan and Shahpur, and in all these districts Muslim Rajputs are very few The next higher rates of increase are in Gujranwala, Ludhiana, Shahpur, Gurgaon, Hoshiarpur, Sheikhupura and Sialkot, and in these districts too there are not many Rajputs The somewhat higher percentage increase in Gujrat, Gurdaspur, Jhelum Jhang and Amritsar is mainly attributable to some members of certain agricultural tribes and occupational castes having returned themselves as Rajput The increase in Lyallpur, Multan and Montgomery is mainly due to the influx of immigrants Coming to the districts where Rajputs are really numerous, we find that the increase in Hissar is mainly due to the return home of demobilized Rajput soldiers and to the fact that Pachadas, who return themselves as Rajputs, had temporarily migrated from the District in considerable numbers at the time of the 1921 census owing to the prevailing drought The large increase in Jhelum and Rawalpindi is due largely to the return home of ex-soldiers and to

It is apparent that Sansis are taking more and more to agriculture, having been allotted colony land and established in settlements under State supervision There is a large decrease under their traditional occupation of crime, but it is rather doubtful whether the traditional occupation was really returned by the person enumerated or merely presumed by the enumerator

Sarera.

305 The figures of Sarera for the last six censuses are given in the margin. This caste like other low castes has shown no advancement in numbers The figures for its home districts are given in the second table, and show that many Sareras, particularly in the Jullundur and Hoshiarpur Districts, have become Sikhs during the last decade

Particulars	1881	1891	1901	1911	1921	1931
1	2	3	4	5	6	7
Sarera B C	10,792	11,366	9,587	10,743	9,873	11,230

Locality	SARERA					
	Hindu			*Sikh*		
	1911	1921	1931	1911	1921.	1931
1	2	3	4	5	6	7
Kangra	4,378	3,845	3,378	9	30	2
Hoshiarpur	3,646	3,516	3,025	1,160	1,196	2,061
Jullundur	106	31	33	83	173	2,006
Gurdaspur	489	523	279	5	1	15

Sayad.

306 The figures of Sayads enumerated in the Punjab plains are given in the margin for the last six censuses The increase at each census and the total increase among all Muslims of the same locality is also given It is well known that Sayads receive accretions from other castes, many people claiming Sayad as their caste as soon as they become well-to-do

Locality	SAYAD					
	1881	1891	1901	1911	1921	1931
1	2	3	4	5	6	7
Sayad (A. C D)	200,728	217,034	230,802	239,160	247,087	293,313
Variation percentage		+8 1	+6 3	+3 6	+3 3	+18 7
Variation percentage among all Muslims (A C D)		+9 9	+12 6	+0 7	+5 9	+16 5

Sheikh.

307 From 256,971 in 1921 the Sheikhs of the plains have increased to 414,623 or by 61 4 per cent The figures for the last six censuses are given in the margin There seems to have been no remarkable variation between 1881 and 1921, the figures in the latter year being actually in defect The big increase during the last decade is due to numerous members of other castes, mainly occupational, having returned their

Caste and Locality	1881	1891.	1901	1911	1921	1931
1	2	3	4	5	6	7
Sheikh (A. C D)	293,606	287,778	264,656	276,687	244,800	407,576

DISTRICT	Absolute increase or decrease among Sheikhs	Increase per cent among Sheikhs	Total Muslim increase percentage	DISTRICT	Absolute increase or decrease among Sheikhs	Increase per cent among Sheikhs	Total Muslim increase percentage
1	2	3	4	1	2	3	4
Hissar	+689	+7 0	+17 5	Gujranwala	+3,734	+51 8	+17 6
Rohtak	+9,875	+74 4	+10 3	Sheikhupura	+6,184	+134 7	+20·9
Gurgaon	+1,806	+12 0	+11 8	Gujrat	+2,495	+47 3	+10 9
Karnal	+3,189	+17 6	+10 2	Shahpur	+5,491	+159 9	+14 0
Ambala	+5,648	+25 4	+12 2	Jhelum	+2,806	+97·0	+14 0
Simla	−809	−25 7	−16 4	Rawalpindi	+3,103	+31 8	+11 7
Kangra	+490	+47 8	+5 8	Attock	+2,120	+46·0	+14 2
Hoshiarpur	+2,897	+77 7	+13 4	Mianwali	+1,684	+116 1	+15 6
Jullundur	+3,643	+35 4	+14 4	Montgomery	+2,423	+90 5	+36 0
Ludhiana	+7,915	+94 3	+22 1	Lyallpur	+4,591	+108 2	+21 2
Ferozepore	+7,103	+62 4	+6 8	Jhang	+5,232	+697 6	+16 3
Lahore	+3,315	+136 2	+26·0	Multan	+3,719	+47 1	+28 9
Amritsar	+13,135	−167 6	+23 8	Muzaffargarh	+1,595	+126 5	+4·0
Gurdaspur	+3,407	+49 6	+16 6	Dera Ghazi Khan	+1,351	+65 8	+5 6
Sialkot	+4,520	+78 0	+5 0	*Punjab States*	*+14,219*	*+38 1*	*+16 7*

caste as Sheikh Qasab of the south-eastern part of the Province being prominent in this respect. It is quite likely that in some places respectable Kashmiris also returned their caste as Sheikh. The table on the last page shows the increase per cent. among Sheikhs in each district and state together with increase among all Muslims. A fertile cause of variation in the number of Sheikhs is the intermingling with them of the figures of Qureshis, separate figures for which are unfortunately not available on the present occasion.

Sunar.

308. The figures of Sunars are given in the margin for the last six censuses. The figures of Sikh and Muslim Sunars are given only for the central and western plains, where alone they are found in considerable numbers. There is an increase among Sunars of all religions during the last decade, though the maximum figures for Hindu and Sikh Sunars were reached in 1901 and 1911 respectively. The reason for the decline in their numbers is that Hindu Sunars sometimes return themselves as Rajput, while Sikh Sunars in many cases return no caste. The Muslim Sunars, who are comparatively fewer, have returned the maximum number at the present census.

Caste, Religion and Locality	1881	1891.	1901.	1911.	1921.	1931
1	2	3	4	5	6	7
Sunar Total A B C D	148,903	164,087	174,628	156,893	127,060	138,653
Hindu do	106,974	118,114	127,111	100,716	77,231	80,058
Sikh C D	12,600	17,238	18,6[illegible]4	27,332	18,067	[illegible]
Muslim C D	21,333	28,841	20,656	20,153	23,788	22,204

As regards the internal distribution Sunars seem to be a mobile race, travelling to places where they anticipate prosperous conditions or a good income though the figures of districts like Lahore and Amritsar are probably deflated on account of return of other castes, such as Tank, Mair, Mair Rajput.

District	Sunar. Hindu. 1931	1921.	Sikh. 1931.	1921.	Muslim. 1931.	1921
Hoshiarpur	1,568	4,870	91	283	226	428
Jullundur	1,678	6,934	160	731	580	985
Ludhiana	2,096	2,458	423	1,328	149	277
Ferozepore	3,187	582	233	3,574	2,197	2,121
Gujranwala	2,965	2,717	943	811	930	1,141
Rawalpindi	1,430	947	1,496	734	224	38
Montgomery	1,300	1,496	259	780	2,489	2,008
Lyallpur	2,803	2,017	721	705	1,718	2,289
Jhang	3,230	2,316	25	21	310	382
Bahawalpur State	985	1,144	21	132	1,317	985

The figures in the margin will be of interest. At this census 33,000 Sunars returned their caste as Rajput, but as their traditional caste was also recorded they were included among Sunars. The other caste claimed in considerable numbers is Khatri returned by about 2,000 Sunars. It is probable that many more Hindu Sunars will return Rajput or Khatri as their caste at future censuses.

Tank Kshatriya.

309. In the beginning of this Chapter a reference was made to the representation made on behalf of certain associations of Hindu and Sikh members of the occupational castes of Chhipis (calico-printers), Darzis (tailors), Chhimba (washermen) etc. to have their caste recorded as Tank Kshatriya. In the eastern part of the Province the claim was that they be recorded as Rohilla Tank Kshatriya whatever that may mean. Many members of this caste have risen to responsible positions in public service and business and claim that calico-printing, tailoring etc. are mere occupations and that their true caste is Tank Kshatriya. Their argument is contained in the following abstract from a representation of theirs.

> "The word Chhipi, Chhipa or Chimba takes its origin from "Shilp" which is but another name for handicraft, an art highly spoken of by the learned men of the past, and constituting a compulsory course of training for the Kshatriyas of the olden days. Hence it was that Sri Ram Chander Ji's sons Lava and Kusha, Dhrit Rashtra's sons Duryodhana, etc., and Pandu's sons (Pandav) were all expert in "Shilp" art or handicraft."

Their claim to return Tank Kshatriya as their caste was conceded with the proviso that the traditional caste should also be returned and added in brackets after the caste claimed, thus to make a comparison possible with the corresponding figures of the past censuses The following correction slip was issued for the guidance of the enumerators

> "Persons returning their caste as Tank Kshatriya will be recorded as such in column 8 with their traditional caste, such as tailor or calico printer being added within brackets, thus Tank Kshatriya (tailor), Tank Kshatriya (calico printer)"

Appendix I at the end of this Chapter shows the figures of Tank Kshatriyas for each district and state as well as the number of each traditional caste returned The provincial summary is given in the margin The traditional caste was recorded in the case of 25,524 out of 37,376 entries, and it is apparent from the table that more Sikhs than Hindus have claimed the new caste and that the castes which have mainly contributed to it are Chhimba and Darzi It will not be a matter for surprise if on future occasions many Tank Kshatriyas return their caste merely as Khatri, a leading caste which at this census appears to have been returned by many Ahluwalias also

TANK KSHATRIYA

Caste	Hindu	Sikh
Total	11,321	26,035
Total with traditional Occupation recorded	7,070	17,818
Arya	3	
Chhapagar		82
Chhimba	4,082	11,349
Darzi	2,035	6,121
Dhobi	68	18
Jhiwar	2	
Kahar	10	
Kumhar	7	
Lohar	1	
Rajput		81
Ramgarhia	44	2
Saini		3
Sunar	488	102
Tarkhan	36	

Tarkhan.

310 See paragraph regarding Lohars

Teli.

311 The Telis—Hindu, Sikh and Muslim—show an increase Teli is an occupational caste, whose members are evidently not at all anxious to give up their traditional occupation or to claim a higher caste The increase is, no doubt, due to the attractiveness of oil-milling, which is one of the few prosperous indigenous industries at present

Hindu (1931)	1,373
Sikh ,,	42
Muslim ,,	344,027

'No Caste' Entry

312 Numerous persons at this census abstained from returning a caste, and many of them deliberately It is quite possible that some of the omissions in the column of caste were accidental, having crept in during one of the several stages of the census operations The number of Brahmanic Hindus, who did not return a caste, is negligible, being 4,419 males and 2,397 females out of a total population of over eight millions, and Caste would thus seem to have, as ever, its grip on the population In the case of 50 per cent of the followers of Vedic Dharm, numbering 341,390 persons (194,355 males and 147,035 females), the entry in the caste column was Arya, which is the equivalent of 'no caste' entry in the case of Brahmanic Hindus (mainly Sanatanists) The main figures of 'no caste' entry among Brahmanic Hindus relate to Amritsar (1,626), Gujrat (1,191), Gujranwala (914) and Gurdaspur (685) It is rather surprising that Lahore, claiming as it does a large number of people with advanced views, has had very few such entries Some 'no caste' entries, practically all relating to females, in places like Suket and Jhelum, seem to be due to a statistical error, as also those relating to an excessive number of males in Amritsar On the whole, it can safely be said that very few of the Brahmanic Hindus have refrained from returning their caste although there was a considerable propaganda against the return of caste, particularly that emanating from the Jat Pat Torak Mandal My conclusion is that people prefer to return a higher caste to returning no caste, and that the caste system has still a great hold on them.

APPENDIX I TO CHAPTER XII.

The Table below shows the number of persons belonging to occupational castes such as Darzi Chhimba and Chhipi returning themselves as *Tank Kshatriya* and *Lohars* and *Tarkhans* returning themselves as *Dhiman Brahman*

District or State.	Tank Kshatriya.													
	Total.	Total Hindu.	Total Sikh.	Hindu Arya.	Sikh Chhapegar.	Chhimba.		Darzi.		Dhobi.		Hindu Jhiwar.	Hindu Kahar.	Hindu Kumhar.
						Hindu.	Sikh.	Hindu.	Sikh.	Hindu.	Sikh.			
1		3	4	5	6	7	8	9	10	11	12	13	14	15
PUNJAB	37,376	11,321	26,055	2	82	4,903	11,340	2,836	6,121	66	18	2	10	7
Hissar	218	42	176			15		4						
Rohtak	24	24												
Gurgaon	57	57						28						
Karnal	397	361	36			275								
Ambala	2,518	1,790	728	2		1,040	314	19	122		—	2	10	
Simla	64	41	23					2	11					
Kangra														
Hoshiarpur	2,896	2,112	784			1,919	563	200	189					
Jullundur	7,870	3,319	4,551		23	967	2,364	1,306	1,310	66				
Ludhiana	5,546	1,235	4,311			396	2,187	247	1,544					7
Ferozepore	5,146	328	4,818				3,333	22	1,533					
Lahore	1,848	11	1,837		59									
Amritsar	4,850	213	4,637			1	2,901		1,294		18			
Gurdaspur	1,105	329	776			74	112		32					
Sialkot	92	72	20											
Sheikhupura	295	4	291					—	60					
Shahpur	78	78												
Jhelum	24		24											
Montgomery	156	126	30											
Lyallpur	269	56	213											
Kalsia State	122	52	70			62	38							
Keonthal	1		1											
Jubbal														
Other Simla Hill States	44	38	6					2	6					
Sirmur	33	29	4						3					
Bilaspur	1	1												
Kapurthala	668	137	531											
Maler Kotla	65	25	40											
Faridkot	701	15	686				308		7					

APPENDIX I TO CHAPTER XII—*concld*

District or State	Tank Kshatriya								Dhiman Brahman						
	Hindu Lohar	Sikh Rajput	Ramgarhia		Sikh Saini	Sunar		Hindu Tarkhan	Total	*Total Hindu*	*Total Sikh*	Lohar		Tarkhan	
			Hindu	Sikh		Hindu	Sikh					Hindu	Sikh	Hindu	Sikh
1	16	17	18	19	20	21	22	23	24	25	26	27	28	29	30
PUNJAB	1	81	44	2	3	488	192	36	18,533	12,982	551	2,952	117	6,751	218
Hissar		62							*28*	*28*					
Rohtak									*16*	*16*					
Gurgaon									*24*	*24*					
Karnal									*2*	*2*					
Ambala			44	2					*8,116*	*7,817*	*299*	2,266	79	4,944	210
Simla									*63*	*63*				63	
Kangra									*2,220*	*2,220*					
Hoshiarpur						176			*1,872*	*1,680*	*192*	194		1,110	
Jullundur						129	69		*357*	*305*	*52*	36	38	116	
Ludhiana	1	19				99	115	36							
Ferozepore							8		*9*	*9*					
Lahore															
Amritsar						69									
Gurdaspur															
Sialkot															
Sheikhupura															
Shahpur															
Jhelum															
Montgomery					3										
Lyallpur															
Kalsia State									*757*	*749*	*8*	160		517	8
Keonthal															
Jubbal									*14*	*14*					
Other Simla Hill States															
Sirmoor									*55*	*55*		6		1	
Bilaspur															
Kapurthala															
Maler Kotla															
Faridkot						15									

APPENDIX II TO CHAPTER XII.

This Table shows the number of persons belonging to certain selected castes who claimed certain other castes. The traditional castes were to be shown within brackets in such cases in the General Schedule. These persons have been thrown in the traditional castes in Table XVII.

CASTES CLAIMED

Traditional Castes. 1	Total.	Ahir 3	Arain. 4	Arora. 5	Awan. 6	Baloch. 7	Brahman 8	Chamar 9	Chhimba. 10	Chuhra. 11	Dagi and Koli. 12	Darzi. 13	Dhobi. 14	Faqir 15	Ghirath. 16	Gujjar. 17	Harni. 18	Jat. 19	Julaha. 20	Kamboh. 21
PUNJAB	312,879	196	434	154	6,034	450	16,956	1,121	121	112	417	30	16	226	1	111	2	18,873	877	288
1. Aggarwal	6																			
2. Ahir	33																	33		
3. Arain	292																	178		12
4. Arora	81																			
5. Awan	340																	22		
6. Bawaria	236						1													
7. Chamar	43,114						1				417							20	740	
8. Chhimba	617						1					29		184				60		16
9. Chuhra	312						270							18			2			
10. Dagi and Koli	104																			
11. Darzi	2,062		6	20	127	4	16		20							2		91		6
12. Dhobi	3,215		26		104	4	1		70									1,079		165
13. Faqir	7,359	2	14	9	757	22	14	1		1		2				82		812		3
14. Ghosi	167									104										
15. Gujjar	103			1			40											50		
16. Harni	868																	181		
17. Jat	1,572				1,258									10	1					
18. Jhinwar	9,194			1	38	90												203		7
19. Julaha	16,511	134	37	1	1,377	16	11		22				2	10				2,706		
20. Kahar	2,7[illegible]																	6		
21. Kamboh	177		116															2		
22. Kashmiri	907				2													255		
23. Khatri	3																			
24. Kumhar	5,279	43	[illegible]	71	504	2	1											1,236		24
25. Lohar	4,136		8		440		1,003							7				677		
26. Machhi	6,462		7		67	10												1,821		
27. Mahtam	2,028																	20		
28. Mali	933				37															
29. Meo	506																			
30. Mirasi	1,1[illegible]				62	101	16		4					23		9		290	20	
31. Mochi	9,411		109		421			6		6		3				32		2,024	50	
32. Musalli	6,239	7	9		60	1								2		7		1,303		
33. Nai	18,605		8	2	209	130	8,770	6					11					1,631	1	1
34. Od	2,438																			
35. Pakhiwara	41																	12		
36. Pathan	98																			
37. Qassab	12,623		22		12	1												200		3
38. Rajput	[illegible]																	61		
39. Ramdasia	1,139							1,106											40	
40. Saini	1,101			1														5		
41. Sayyid																				
42. Sheikh	122																	11		
43. Sunar	22,270			13	7		20		1									201		
44. Tarkhan	11,139		22	2	891	85	7,021		4							8		1,377		1
45. Teli	3,4[illegible]			25	479								2					318	20	

APPENDIX II TO CHAPTER XII—*concld*

TRADITIONAL CASTES 1	Kashmiri 22	Khatri 23	Kumhar 24	Lohar 25	Machhi 26	Mali 27	Mirasi 28	Mochi 29	Mussalli 30	Nai 31	Pathan 32	Qasab 33	Rajput 34	Ramdasia 35	Saini 36	Sansi 37	Sayad 38	Sheikh 39	Sunar 40	Tarkhan 41	Toli 42
PUNJAB	523	4 002	12	47	24	32	236	44	425	150	2,123	34	94,485	41,767	262	7	317	19,814	15	9	2,682
1 Aggarwal		6																			
2 Ahir																					
3 Arain	9										14		42					38			
4 Arora		81																			
5 Awan	22										41		261								
6 Bawaria													235								
7 Chamar		77						3		113			112	41,631							
8 Chhimba		120											107		3			114			
9 Chuhra		1					193			30			58	22							
10 Dagi and Koli													104								
11 Darzi	41	224									47		1,738					600			
12 Dhobi		83									64		1,312					308			
13 Faqir	12		2				10	12			432		2,861				55	247		2	2,647
14 Ghosi													3								
15 Gujjar																		3			
16 Harni													387								
17 Jat	31												271		2						
18 Jhiwar													8,724					125			
19 Julaha	35		1		24			20	425	7	202		8,511	86			200	1,776			
20 Kahar													2,320								
21 Kamboh																		58			
22 Kashmiri		2									9		266					371			
23 Khatri													3								
24 Kumhar	215	31									73		2,850					100			
25 Lohar	16	54	9					3			125		2,328	1			9	450		5	
26 Machhi											151		3,105					598			
27 Mahtam				21									1,995								
28 Mali		104											446		256						
29 Meo													206								
30 Mirasi											326		179					308			
31 Mochi		3				32					103	1	5,516			2	10	484			
32 Mussalli				9							97		3,630					1,147			
33 Nai	6	44									126		4 382					344			28
34 Od													2,486								
35 Pakhiwara													20								
36 Pathan	2											32	39					25			
37 Qasab											146		910					11,224			6
38 Rajput		34									13							7			
39 Ramdasia													13								
40 Saini		1,011											84								
41 Sayad	2																				
42 Sheikh	95										1	1	25								
43 Sunar		2,022									44		33,001					59			
44 Tarkhan	2	6		13							91		4,447	27	1		35	360	15		1
45 Toli	35			4							18		1,493			5	8	1,068		2	

SUBSIDIARY TABLE I.

Actual and proportional figures of castes classified according to their traditional occupations.

No.	Group and Caste.	Strength (000's omitted).	Proportion per mille of the population of the Province.	No.	Group and Caste.	Strength (000's omitted).	Proportion per mille of the population of the Province.
1	2	3	4	1	2	3	4
	Agriculturists	*12,112*	*430*		Shoe-making	*1,692*	*60*
1	Jat	6 070	17	28	Chamar including Ramdasia	1,210	43
2	Rajput	2,332	63	29	Mochi	4 2	17
3	Arain	1,331	47		Dyeing	*96*	*3*
4	Awan	539	19	30	Chhimba	96	3
5	Kanet	308	11		Tailors	*46*	*2*
6	Kamboh	240	8	31	Darzi	46	2
7	Ghirath	124	4		Sweepers	*1,093*	*38*
8	Meo	133	5	32	Chuhra	681	24
9	Saini	165	6	33	Musalli	412	14
10	Rath	134	5		Washing	*176*	*6*
11	Dagi and Koli	183	6	34	Dhobi	176	6
12	Pathan	330	12		Begging	*531*	*19*
13	Ahir	222	8	35	Faqir	287	10
14	Mal	86	3	36	Mirasi	244	9
	Agriculture and cattle breeders.	*696*	[illegible]		Water carrying	*370*	*13*
15	Gujar	696	24	37	Jhiwar including Kahar	370	13
	Traders	*2,036*	*72*		Weaving	*875*	*31*
16	Aggarwal	370	13	38	Julaha	67_	24
17	Arora	778	27	39	Kashmiri	203	7
18	Khatri	416	1		Earthen Work	*630*	*22*
19	Sheikh	478	13	40	Kumhar	6_	22
	Chase, Hunting and Fowling	*97*	*3*		Artisans	*1,148*	*41*
20	Bawaria	33	1	41	Lohar	334	12
21	Mahtam	63		42	Sunar	164	6
	Criminal	*40*	*1*	43	Tarkhan	654	23
22	Hara	3			Boating and water carrying	*316*	*11*
23	Pakhiwara	4		44	Machhi	316	11
24	Sansi	33	1		Barbers	*311*	*11*
	Camel Driving	*631*	*22*	45	Nai	311	11
25	Biloch	621	2		Butchers	*127*	*4*
	Priests	*1,381*	*47*	46	Qassab	127	4
26	Brahman	1,080	37		Oil pressing	*316*	*11*
27	Sayad	291	10	47	Teli	316	11

SUBSIDIARY TABLE II

Variation in caste, tribe, since 1881

(*Based on Imperial Table XVIII*)

Serial No	Caste or Tribe	Persons (000's omitted)						Percentage of variation increase (+), decrease (—)					Percentage of net variation 1881—1931
		1931	1921	1911	1901	1891	1881	1921 to 1931	1911 to 1921	1901 to 1911	1891 to 1901	1881 to 1891	
1	2	3	4	5	6	7	8	9	10	11	12	13	14
1	Aggarwal	373	349	339				+6 8	+2 9				
2	Ahir	222	202	201	198	189	166	+10 1	+ 1	+1 8	+4 7	+13 8	+33 8
3	Arain	1,329	1,086	974	1,004	890	795	+22 4	+11 6	—3·0	+12 7	+11·9	+67 1
4	Arora	770	707	668	648	603	538	+8 8	+5 9	+3 1	+7 4	+12 0	+42 9
5	Awan	539	440	425	421	389	351	+22 5	+3 4	+1 2	+8 0	+11 0	+53 6
6	Bagaria	2	2	1				+51 1	+28 3				
7	Bawaria	33	35	33	29	26	22	—6 6	+6 0	+12 8	+10 2	+20 0	+47 7
8	Biloch	625	531	531	467	383	332	+17 6	+ 0	+13 8	+21 8	+15 5	+88 2
9	Brahman	1,059	995	986	1,077	1,069	1,041	+6 4	+ 9	—8 5	+ 8	+2 7	+1 7
10	Chamar	1,102	1,135	1,076	1,172	1 148	1,034	—2 8	+5 5	—8 2	+2 1	+11·0	+6·6
11	Chhimba	92	121	124	147	142	100	—23 4	—2 7	—15 7	+3 8	+41 2	—7 9
12	Chuhra	681	751	913	1,175	1,176	1,039	—9 2	—17 8	—22 3	— 0	+13 1	—34 4
13	Dagi and Koli	182	165	172	154	168	79	+10 2	—4 1	+11 9	—8 2	+113 6	+131·7
14	Darzi	46	38	30	39	37	30	+19 4	+7 7	—9 3	+6 1	+22 3	+51 3
15	Dhobi	175	164	152	142	130	124	+6 5	+8 1	+6 5	+2 1	+12·6	+41 0
16	Dumna	32	37	72	53	64	66	—12 6	—49 2	+35 3	—16 6	—3 2	—51·6
17	Faqir	284	270	263	362	300	112	+5 0	+2 9	—27 5	+20 7	+168 1	+153 3
18	Ghirath	123	118	121	122	119	111	+4 1	—2 6	— 5	+2 6	+7 4	+11 1
19	Ghosi	4	1	2	3	3	2	+664 1	—79 2	—19 7	+13 6	+19 4	+72 7
20	Gujjar	696	627	596	612	600	539	+11 0	+5 3	—2 6	+2·0	+11 3	+29 1
21	Harni	3	3	3	3	4	1	+13 4	—11 1	—2 9	—16 7	+215 4	+157·0
22	Jat	6 070	5,454	4 891	4,884	4,500	4,224	+11 3	+11 5	+ 1	+8·5	+6 5	+43 7
23	Jhiwar	370	371	332	450	459	418	— 3	+11·9	—26 3	—1 8	+9 6	—11 5
24	Julaha	672	643	627	652	620	593	+4 5	+2 6	—3 8	+5 1	+4 6	+13 3
25	Kamboh	239	181	172	174	151	129	+32 4	+5 4	—1 3	+15 4	+16 4	+84·9
26	Kashmiri	200	166	175	190	141	150	+20 2	—5 1	—7 7	+34 4	—5 6	+33 0
27	Khatri	516	453	424	434	419	392	+14 0	+6 9	—2 3	+3 5	+6 7	+31 5
28	Kumhar	620	570	543	561	515	466	+8 8	+5 0	—3 3	+8 9	+10 7	+33 2
29	Lohar	334	322	320	347	323	292	+3 6	+ 7	—7 9	+7 3	+10·9	+14 5
30	Machhi	315	281	240	236	197	168	+12 0	+17 2	+1 5	+20 1	+17 1	+87 5
31	Mahtam	64	94	82	83	57	50	—32 1	—15 3	—1 1	+45 2	+13 3	+27 2
32	Mali	72	93	97	106	96	59	—22 2	—4 1	—8 6	+10 4	+63 6	+23 2
33	Megh	23	30	40	44	41	37	—26·0	—23·0	—10 8	+7 9	+9 9	—39 7
34	Meo	125	112	121	133	116	113	+11 9	—7 6	—9 4	+15 0	+3 0	+10·9
35	Mirasi	243	232	223	245	231	192	+4 5	+4 1	—8 8	+6·0	+20 1	+26 3
36	Mochi	467	429	411	408	384	334	+8 8	+4 4	+ 7	+6 3	+15·0	+39 8
37	Mussalli	412	324	310	57			—27 4	+4 5	+439 6			
38	Nai	381	361	345	370	371	324	+5 5	+4 6	—6 8	— 3	+14 7	+17·6
39	Od	33	29	32	26	22	16	+14 8	—10 1	+21 1	+16 5	+43 4	+109 0
40	Pakhiwara	3	3	4	4	4	4	+10 7	—24 5	+3 2	—2 2	—1 8	—17 1
41	Pathan	345	262	273	247	221	211	+32 0	—4 0	+10 4	+11 5	+5 1	+64 0
42	Qasab	127	121	117	114	109	93	+5 3	+2 9	+2 8	+4 3	+18 2	+37 4
43	Kanet	306	288	404	390	370	346	+6 1	—28 6	+3 6	+5 4	+6 9	—11 6
44	Rajput	2,352	1 853	1,566	1,784	1,748	1,648	+26 9	+18 3	—12 2	+2 1	+6·0	+42 7
45	Rathi	134	118	98	38	101	83	+13 6	+20 7	+157 5	—62 3	+21 3	—61 6
46	Saini	157	120	108	122	121	147	—30 7	+11 7	—11 5	+1 0	—18 1	+6 9
47	Sansi	28	17	24	26	22	20	+62 1	—28 8	—6·0	+17·0	+11 5	+41 8
48	Sarera	11	10	11	10	11	11	+13 7	—8 1	+12 1	—15 7	+5 3	+4 1
49	Savad	293	247	239	231	217	201	+18 7	+3 3	+3 6	+6 3	+8 1	+46 1
50	Sheikh	408	245	277	265	288	294	+66 [illegible]	—11 5	+4 5	—8 0	—2·0	+38 8
51	Sunar	160	127	156	175	164	146	+25 6	—18 5	—10·7	+6 4	+12 5	+9 4
52	Tarkhan	654	615	638	675	622	564	+6 4	—3·6	—5 5	+8 6	+10 2	+15·9
53	Teli	339	305	285	300	292	251	+11 1	+7 2	—8 1	+6 1	+16 4	+35 4

INDEX

OF THE

More important Subjects and Terms

Subject or Term — Page.

A

Abbasia Canal, 39
Accuracy of census figures, 79
Acland, Government Actuary, 126
Act, number of factories under the, 41
Act, Sarda, 172 & 173
Act, Sikh Gurdwaras, 21
Actual age distribution, 126
Actuaries, 126
Ad Dharm, 310
Ad Dharm instruction about the record of, 289
Adjustment of population at past censuses, 15
Administrative Divisions, density in, 13
Administrative Divisions, names of, 2 & 3
Adult literacy, 255
Afghanistan, 116, 277, 360
Afghanistan trade with, 41
Age and civil condition distribution of population by, 185
Age and civil condition, proportional distribution according to, 172
Age and civil condition, unsmoothed figures by, 173
Age at marriage, 172, 174
Age distribution—
  at different censuses, 128
  by individual years, 126
  by sex, 131
  how affected by migration, 135
  of different castes, 136
  in England and France, 131
  in other provinces, 132
  of infirm, 203
Age distribution, percentage of variation in, 68
Age periods, proportion of infirm at different, 203
Age periods, quinquennial, 126
Age, preference for certain years of, 126
Age returns, peculiarities of, 126
Age, school going, 59, 253
Age, usual features of the return of, 125
Aged, the proportion of — in the total population, 130
Aged, where most numerous, 133
Aggarwal, 259, 329
Agriculture, 32, 220
Agriculture, improvement in methods of, 34
Agricultural College, the Punjab, 32
Agricultural conditions of the province, 28
Agricultural education, 32
Agricultural land, price per acre, 32
Agricultural research, 31
Agricultural stock and its care, 35 & 36
Agriculture, demonstration and propaganda in, 34
Ahir, 259, 329
Ahl i Hadis, 305
Ahluwalia, 357
Ahmadis, 313
Ahmdal, 43
Ajmer Merwara, 203, 261
Akali, Babbar — gang, 21
Akali Dal, 21
Akali movement, 293
Akali Parchar, 341
Altitude, effect of — on deaf mutism, 198
Ambala, 93, 174, 178, 202, 261
American cotton, 34
Amount of sterility, 182
Amritsar, 80, 93, 94, 178, 201, 250 & 251
Anglo-Indian, definition of the term, 361
Anglo-Indians, strength of — at past six censuses, 360
Annual birth and death rates, 48
Annual average prices, 48
Annual rate of increase per cent in population, 15

Subject or Term — Page.

A—*concluded*

Arabic, 278
Arain, 259, 329
Area, 1—7
Area, average irrigated, 38
Area, canal irrigated, 38
Area, changes in, 7
Area cultivable, 27
Area figures for districts, 7
Area, gross cultivated, 27
Area, increase in canal irrigated, 15
Area, increase in cultivable, 15 & 16
Area net-cultivated, 27
Area of the British Territory, 2
Area of the Punjab, 11
Area of the Punjab States, 3, 13
Area, population and density, 11—14
Area, population and density—comparison with foreign countries, 11
Area, sown under cereals, pulses and valuable crops, 31
Area, survey, 7
Area under (vital) registration, 66
Area, yearly sown and matured, 30
Area, proportion of widows in different, 187
Armenians, 360
Army, 230
Arora, 259, 299, 329
Artificial swelling of census figures, 80
Arya Bhasha, 271
Aryas, 290
Arya Samaj, the Census Committee, Wachhowali, 271
Assam, 261
Attock, 224, 251, 273, 289
Australia, 281
Australia, wheat imported from, 10
Average annual prices, 48
Average, calculations of — age of bride at marriage, 174 & 175
Average irrigated area, 38
Awan, 259, 330
Awan kari, 275

B

Babbar Akali gang, 21
Bagri, 274
Bahawalpur Canal, 39
Bahawalpur State, 2, 201, 221
Bahti, 338
Bande Matram, 213, 281
Banks, mortgage, 56
Bar di Boli, 275
Bari Doab, Lower, 18
Bari Doab, Upper, 15
Bashahr, 178
Bawaria, 331
Bazaz, 229
Beas, 2
Bodi, 323
Bees, keeping of, 225
Bengal Census Report of 1921, 174
Bengali, 278
Beopari, 351
Better living societies, 56 & 57
Bhangi, 326
Bhili, 277
Bhotia, 273
Bihar and Orissa, 261
Bikaner State, 2, 40
Bilaspur, 174, 178, 274
Bilingualism, 279
Biloch, 331
Bilochi, 276
Birds, keepers of, 225
Birth and death rates, annual, 17, 23
Birth and death rates during 1867—1921, 18

Subject or Term.	Page.
B—concluded.	
Births and deaths, natural increase due to	86—88
Births and deaths, recorded number of	147 149
Births in urban and rural areas	153
Births, the proportion of sexes at	159
Birth-rate in certain districts	191
Bishkarman	303
Blind	199, 206
Blindness, measures for combating	200
Bogus entries	80
Bombay	261
Books published in last decade	281, 287
Born in Europe	261
Boundaries, external changes in	3 & 6
Boundaries, internal changes in	6
Brahman	280, 290, 297, 302, 332
Brahmanic Hindus	287
Brahmans, occupation of	232
Brahmos	290
Brayne, Mr. —on rural uplift	61
Breeding Society, Horse, Pony and Mule	35—37
Bride, average age of — at marriage	175
Bridegroom, average age of — at marriage	175 & 176
British Territory	2
Broadcasting	62 & 63
Buddhists	316
Bullocks, number of — fit for plough	31
Burma	261
C.	
Calculations of average age at marriage	174
Calvert, Mr. H.	32
Canada	90
Canada, mode of taking the census in	10
Canal-irrigated area	29
Canal systems	2, 29
Canal, Triple — Project	18
Canals, Government — area irrigated by	2, 19
Carpenters, turners and joiners	228
Caste for which figures sorted	333
Caste, Race, Tribe and	322
Castes, age distribution of different	136
Castes, literacy in English for	259
Castes, literacy by selected	258
Castes, proportion of widows among different	1 & 169
Castes, proportion of workers in different	231
Castes, sex proportion in	141
Caste system, M. Emile Senart	326
Casual migration	113 & 114
Cataract, successful operations of	200
Cattle census	31
Cattle diseases, prevention and treatment of	27
Cattle farms	28
Cement Works	44
Census as test of vital record	125
Census Committee, the Arya Samaj, Wachhowali	271
Census enquiry, scope of	10 & 11
Census, fertility data compared with general	185
Census figures, accuracy of	79
Census figures, artificial swelling of	73
Census house, definition of	80 & 81
Census, past	14 & 15
Census Report, Bengal — of 1921	174
Central Financing Institutes	58
Central Pahari	278
Central Provinces and Berar	261
Ceramics, workers in	228
Cereals, area sown under — pulses and valuable crops	31
Chamar	226, 333
Chamba	173, 230, 274
Chang	333
Chaukhari	273
Chemical Products, trade in	229
Chenab	2
Child-marriage	198
Children, number of — dying within one year of birth	78
Chhimba	334
China, trade with	41

Subject or Term.	Page.
C—concluded.	
Chinese, Tibeto— languages	273
Chohatan	80
Chula	196
Chukla	61
Chuhra	288, 334
Chuhras the religion of	290
Christians	181, 312, 305
Cities and selected towns, literacy in	251
Cities, natural increase in	83
Cities with more than 100,000 inhabitants	93
City, definition of —	80
Civil and Military Gazette	281
Civil condition, age distribution by	183
Civil condition and age, unsmoothed figures of	173
Civil Disobedience	21
Class, size of the family by religion and —	21
Classification of castes	322
Colonies, migration to — during the decade	117
Colony towns	2, 91, 251
Combatants recruited, where	15
Commission, Indian Statutory	21
Communal conflict	21
Communications, Road	49 & 50
Companies, Joint Stock	44—47
Compulsory Education Societies	57
Concealment of infirmities	201
Conditions, agricultural	28
Conditions of the last decade	20
Conference, Round Table	22
Congress session, Lahore	21
Consolidation of holdings	54 & 56
Conversion of religion	288
Convention	22
Co-operative Bank, Provincial	57
Co-operative Movement	53, 55
Co-operative societies—	
Classification of —	54
Non-agricultural	56
Objects of loans from —	54
Percentage of recoveries from —	53
Total number of —	53
Types of primary agricultural	54
Volume of credit of —	57
Co-operative Union, Punjab	57
Co-sharers of *[illegible]* holdings	222
Cost of living	49
Cottage industries	43
Cotton, improved varieties of — and wheat	34
Cousin marriage	196
Cow-slaughter	21
Cricket Test Matches	287
Criminal Tribes	330
Crops, seasons and	29—30
Culturable area, definition of	27
Cultivators	230
D.	
Dagi and Koli	336
Dailies in circulation	281
Daily Herald	281
Dak editions of dailies	281
Dam, Nammal	20
Dardic languages	273
Darwin	183
Darzi	335
Daseya	303
Deaf and dumb	197
Deaths, recorded number of	147 150
Death-rate among the aged	131
Death-rate, annual birth and	22
Death-rate by main diseases	17 22
Death-rate, male and female	158
Death-rate, monthly	24
Death-roll during Great War	15
Decade, conditions of the last	20
Declining Birth rate	190
Delhi	1, 261
Demobilisation	21, 68, 221, 312
Demonstration and propaganda in agriculture	34
Density, area, population and	11, 14
Density, area, population and — compared to foreign countries	97 11 & 12
Density, area, population and — in administrative divisions	13

Subject or Term	Page.
D—*concluded*	
Density, area, population and — of districts and states	13 & 14
Density of rural population	73
Dental Hospital	27
Departmental educational returns	254, 268
Depressed castes	322
Depressed classes	310, 323, 373
Dera Ghazi Khan	2, 106, 219, 250 275
Deswali	
Dev Dharm	290, 301, 302
Dev Samaj	290, 301, 302
Dhanni cattle	36
Dharam Premi	303
Dhawal Pal	303
Dhiman Brahman	346
Dhobi	250, 335
Dictionary Dr Jukes Western Punjabi and English	274
Digambari	315
Disparity of sexes	151
Dispensaries, hospitals and	27
Districts, density in — and states	13 & 14
Divisions, linguistic	273
Divorce	169
Doab	341
Domestic Economy	61
Dress, industries of — and toilet	226
Drug habit	196
Duration of marriage and size of family	184
Dusehra festival	21
Dyeing, Government School of	60
E	
Early marriage and fecundity	296
Earner, definition of	208
Earthquake, Kangra	295
Eastern Punjab districts	291
Eastern Times	281
Edge, Vital Record in the tropics by	125
Educated unemployment	234
Education	59 & 60
Education Department, returns of	254, 268
Education, progress made in	59
Education, compulsory — society	57
Engineering College Maclagan — Moghalpura	60
England and Wales	63, 90, 125, 185 & 186
English	296
English as mother tongue	276
English dailies	281
English literacy by castes	259
English speakers, number of	361
Enquiry into marriage and fertility	178
Enquiry, scope and mode of census	9
Enquiry, special — into the extent of educated unemployment	8
Enquiry, special — into the size of families	10
Eranian languages	273
Errors in age returns, how corrected	126
European languages	361
Europeans, birthplace of	301
Europeans, sex proportion among	161
Europeans, strength of — at past six censuses	360
Evolution of castes	323
F	
Factories, different kinds of	42
Factories Act, number of factories under the	41
Factory operatives	41, 48
Families, houses and	80—83
Families, size of	82
Family, size of — according to age of wife at marriage	180 & 181
Family, size of — according to duration of marriage	182
Family, size of — correlated to occupation of husband	178
Farms, cattle	33
Farms, experimental seeds	33
Fecundity	296

Subject or Term	Page
F—*concluded*	
Female education	60
Female hospitals	27
Female immigration	157
Female infanticide	151, 154
Female workers	216
Female workers in different castes	233
Females, neglect of	166
Ferozepore	2, 93, 154, 178, 251, 279
Fertile and sterile marriages, percentage of	183
Fertility, special enquiry into	185
Fevers	15
Figures, unsmoothed — by civil condition and age	173
Financial stringency	19
Financing Institutions, Central	58
Fishing	255
Floods, river	8, 30
Food effect of — on fecundity	298
Food industries	226
Food stuffs, trade in	229
Fordwah Canal	39
Foreign born enumeration of — in selected towns	93
Foreign countries, sex proportion in	159
Foreign state service	230
Foreign trade of India	41
Foundries	39, 42
France	63, 90
Fruit orchards	35
Fuel	229
G	
Gahbar Ghambir	303
Gakkhar	352
Gang, Babbar Akali	21
Garhshankar	302
Garhwal hills	275
Garrett, Mr	305
Gazette, Civil and Military	281
Gazetted Government servants, actual figures of — by castes	350
General Schedule, specimen of	8
Ghaggar	274
Ghirath	338
Glossary of castes, tribes and races	326
Goitre	198
Gojra, cataract operations at	201
Golden Temple	20
Gossains	338
Governor of the Punjab, attempt made on the life of	22
Government Actuaries	126
Grand Trunk Road	20
Great War	16
Grey Canals	36
Grierson, Sir George	272
Gross-cultivated area	27
Gujarati	278
Gujjar	259, 330
Gujranwala	250
Gujrat	250, 330
Gurdaspur	72, 74, 251
Gurgaon	174, 219, 250
Gurmukhi, literates in	260
Gurmukhi, Urdu Hindi — controversy	256
Guru Gobind Singh	305
H	
Halal khor	326
Hardy, Sir George	123
Hariana	36
Hari Kishan Kaul, Pandit	14
Harni	339
Health conditions	22—26
Hides and skins industry	226
Hides and skins, trade in	229
Hill States, Simla	3, 250
Himalayan Natural Division	4 & 5
Himalayan, pronominalized — group of languages	273
Hindi, Urdu — Gurmukhi controversy	256
Hindi, literates in	260
Hindko	275
Hindu Jat	300, 339

Subject or Term.	Page.
H—concluded.	
Hindu majority, where?	225
Hindu-Muslim riots	21, 290
Hindu Rajput	300
Hindu Rajputs, sex proportion among	144
Hindu sects	301
Hindus, causes of decreasing number of	293
Hindus, detailed study of the figures of	293
Hindustani	271 276
Hissar	174, 196, 251
Hissar Cattle	38
Holdings, size of agricultural	224
Horse, Pony and Mule Breeding Society	23—27
Hoshiarpur	2, 174, 196, 251
Hosiery	43
Hospital, Dental	27
Hospitals and dispensaries	27
Hospitals for females	27
Hospitals, Veterinary	37
Hotels	229
House, definition of census	80 & 81
Houses and Families	80—83
Houses, number of	81
Hyderabad	261
Hydro-Electric Scheme, the Mandi	62
I.	
Ibbetson, Sir D. J.	14
Ibbetson on castes	323
Implements, use of improved	33
Inauguration of Reforms	20 & 21
Incidence of the rural population	74
Increase or decrease during the last decade among unmarried, married and widowed	212, 213
Indian States Service	230
Indian Statutory Commission	21
Indo-European languages	273
Indo-Gangetic Plain West Natural Division	5
Indoor patients, number of — treated at Government hospitals	27
Indus	
Industrial schools	12
Industrial societies	36
Industry	41 42, 223
Infantile mortality	26
Infirm, age distribution of	203
Infirm, sex proportion among	201
Infirmities, comparison of incidence of — with other provinces	203
Infirmities for census purposes	193
Infirmities, local distribution of	196—207
Influenza epidemic, effect on sex proportion	151
Influenza, number of deaths caused by	7 63
Inhabited villages, average distance between	97
Inhabited villages, increase in	96
Inqilab	241
Insane	193
Insane, proportion of — at different ages	198
Inspector-General of Civil Hospitals	200
Intentional errors in age returns	133
Inter-district migration	111
Inter-marriage between religions	240
Ireland, area of	11
Irrigated area, average	33
Irrigation, canal	37—39
Ishaat-i-Islam	240
Islam Weir	39
Irrigation, main sources of	37
J.	
Jain	315
Jamaat-ul-Quraish	321
Jammu and Kashmir	261
Jangida Brahman	334, 346
Jangli	275
Jat	230, 309 & 339
Jatki	273
Jat Pat Torak Mandal	321
Jat Sikh	341
Jassa Singh Ramgarhia	337
Jews	316
Jhang	63, 76, 117, 196, 221 & 231

Subject or Term.	Page.
J—concluded.	
Jhelum	2, 178, 225 & 230
Jhelumi	275
Jhiwar	343
Jind	174
Jogi	338
Joint-stock	44—47
Jukes, Dr.	274
Julaha	238 & 343
Jullundur	93 & 231
Jumna	2, 28
K.	
Kachhari	276
Kahar	343
Kaithal	303
Kalkaman	341
Karal Baran	303
Kamboh	230, 344
Kanauri	273, 276
Kanet	342
Kangra	174, 178, 196, 230 & 274
Kasthrewal	303
Kapurthala	178
Karachi	2, 81
Karewa	180
Karnal	174, 244, 276 & 291
Kandhari	306
Khalqob	320
Khalsa College	30
Khatri	230, 290 & 345
Khair	42
Khewra	43
Khilafatists	20
Koli	236 & 302
Kumaon	273
Kumar	340, 345
L.	
Lahnda	273
Lahnda or Western Punjabi	274
Lahore City	93 & 94
Lahore City, age distribution of	135
Lahore District	2
Lahore Mental Hospital	197
Lahore riots	21
Lande or Hindu Mahajani	251
Landhokar	275
Languages—	271
Dravidian	273, 278
Indo-European	272
Literary activity in different	280
Other minor	276
Scheme of classification of	272
Subsidiary	279
Tibeto-Chinese	272 & 276
Legislative Council	20 189
Leper Asylums	202
Letters, number of — delivered	82
Leucoderma	201
Lingua franca	280
Linguistic families	272
Linguistic survey of India, Grierson	274
Literacy among certain religions and districts	256
Literacy by main religions	251
Literacy by selected castes	258
Literacy certificates granted to adults	256
Literacy, comparison of — with other provinces	260
Literacy figures	248
Literacy in cities and selected towns	251
Literacy in English by caste	259
Literacy in vernaculars	260
Literacy, local distribution of—	249
Literacy of adults	253
Literacy, progress of — in the young	253
Literary activity in different languages	280
Literate aged 5 and over	245

Subject or Term.	Page.
P	
Pachadas	303
Pahari, central	278
Pahari, variation in Punjabi and	274
Pahari, western	276
Pabol	310 & 308
Pampad	39
Pakhiwara	299, 300
Pakpattan Canal	39
Palampur, leper asylum	202
Panchayat system	60 & 61
Paras	315
Partap	290
Passengers travelling by North-Western Railway	51
Pashto	276
Pathan	238, 290
Patiala	14, 291
Patients in Government hospitals	16, 17
Patients in leper asylums	202
Patients in Mental Hospital	197
Pell, C. E. — Law of Births and Deaths by	153 & 154
Periodic migration	112, 116
Permanent migration	112, 117
Persians	277
Persian wheels	35
Petroleum wells	43 & 44
Plague	15
Plague, effect of — on sex proportion	151
Ploughed area	31
Plumping of age returns	138, 139
Police	230
Polyandry	178
Polygamy	177
Pony, mule and horse breeding society	33—37
Population, actual — of the province	63
Population, age distribution of the	123
Population, amount of urban	80
Population, area — and density	11 14
Population, causes of the variation in the	65 & 66
Population, comparison of — with foreign countries	11, 63
Population, de facto	8
Population, definition of	7, 11
Population, definition of rural	88
Population, definition of urban	85
Population, de jure	8
Population, density of rural	73
Population, figures of rural	87
Population, general	7 & 8
Population, incidence per square mile of the rural	71
Population, increase in	63
Population, influence of religion on the movement of the	69 & 70
Population in the past censuses	11 & 12
Population, median point of	12 & 13
Population, movement of — in each British district	71 & 72
Population, movement of — in natural divisions	70
Population, movement of — in Punjab States	77
Population, movement of — in smaller units	79, 80
Population, movement of the total	63
Population of the aged	130
Population of towns by class	91 & 92
Population, percentage of increase in	64
Population, progressive	299
Population, proportion of — in towns and cities	88 85
Population, proportion of — in villages	89
Population, provisional totals of	9
Population, regressive	299
Population, special enquiries in certain aspects of	9 & 10
Population, variations in	14 & 20
Post offices, total number of —	52
Post, telegraph and telephone services	52
Post, telegraph and telephone services, persons employed in	233
Pothowari	273
Pottery workers in	226
Poultry farm	6
Pressure on resources	73, 77
Prices	45
Prices, movement of — in Bombay	49

Subject or Term.	Page.
P—concluded.	
Price per cultivated acre	32
Primary-passed	262, 264
Primitive tribes	223
Progress of literacy in younger generation	263
Progressive population	299
Proportional distribution according to age and civil condition	172
Proportion of followers of different religions	177
Proportion of unmarried	179
Proportion of sexes	151
Proportion of sexes in marriageable population	179
Proportion of widows among different castes	187 & 188
Proportion of widows in females of different religions	188
Proportion of widows in different areas	187
Provincial Co-operative Bank	57
Public Administration, number of persons engaged in	230
Public Health Department, Punjab	201
Pulses, area sown under cereals and	31
Punjab Co-operative Union	57
Punjabi	274
Punjabi and English dictionary Dr Jukes	276
Punjabi and Pahari, variation in	274
Punjabi, Western — or Lahnda	274
Punjab States, increase in population of	77
Q.	
Qadian	278
Qadri	306
Qabulpur canal	39
Qassab	301
Quarries of stone (ballast)	60
Quinquennial age-periods	128
Qureshi	306
R.	
Race, tribe and caste	222
Radhaswami	290, 301
Railway communications	19
Railway transport	50 & 227
Railway, goods carried by	51
Railway, new-lines opened	51
Railway, number of passengers carried by	51
Rajah Committee	61, 224
Rajasthani	275
Rajput	300, 322
Rajputana	273, 281
Rajput, Hindu	300
Ramdasia	222, 224
Ram Dalji	303
Ramgarhia	248
Ram Rahi	302
Rangla Rural area	31
Ravi	2
Rawalpindi	21, 220 221
Rawalpindi City	92, 93
Rawalpindi Leper Asylum	202
Rawat	222
Reforms, inauguration of	20 & 21
Reformers, sects of — among Hindus	291
Registration, see under	66, 132
Regressive population	299
Relapsing fever	23
Religion	285
Religion and class, size of family by	179
Religion, influence of — on the movement of the population	69 & 70
Religions, literacy by main	263
Religions, proportion of widows among females of —	188
Religious sects	301, 304, 313, 314
Religions, sex proportion among different	160
Re-marriage of widows	189
Rent-receivers	220
Representation of castes in services	259
Research, agricultural	33
Resources, pressure on	73, 77
Returns of the Education Department	254
Returns, peculiarities of age	126
Revolt of untouchables	294
Riots, communal	21
Risley, Sir Herbert	226

Subject or Term.	Page
U—concluded.	
United Provinces	2, 281
United States of America, mode of taking the census of	10
University Hall outrage	23
Unassorted age returns	158
Untouchables, revolt of	294
Upper Bari Doab	15
Urban area, births in	152
Urban population by religion	96
Urban population, definition of	86
Urban population, increase in	91
Urban population, percentage in total population of	89
Urban population, proportion of — in past censuses	90
Urban population, proportion of — in other countries	90
Urban sex-ratio	96
Urdu books published in	281
Urdu dailies	281
Urdu-Hindi-Gurmukhi controversy	284
Urdu, literates in	280
V	
Valuable crops, area sown under cereals, pulses and	21
[illegible]	62
Vedic Dharm, followers of	302
Vernaculars, literacy in	280
Veterinary College, Punjab	27
Veterinary Department	25
Vidhva Vivah Sahaik Sabha	188
Village, definition of	89
Villages, average population of	87
Villages, average distance between inhabited	87
Villages, increase in inhabited	86
Village service	230
Village watchmen	230
Vital records and age distribution	134

Subject or Term.	Page.
W	
Wages	47 & 48
Wage earner	308
Wah	44, 80
Wara bandi	60
Waraba	60
Waterlogging	40
Watson, Dr. Chalmers	280
Wealth and Welfare of the Punjab by Calvert	22
Weaving, spinning and	42
Weekly newspapers	281
Wells, area irrigated by	27
Western Jumna Canal	15
Western Pahari	34
Western Punjabi (Lahnda)	274
Wheat, improved varieties of	302
Widowed, the	185
Widows, proportion of — in different areas	187
Widows, proportion of — among different castes	187
Widows, proportion of — among females of main religions	186
Widow re-marriage	188
Women's Christian College	27
Wood, trade in	229
Wood workers	224
Workers among selected castes	231
Working dependents	208, 218
Y	
Y [illegible]	302
Y.M.C.A., uplift work by	62
Z	
Zamindar	281
Zoroastrian	316